Simulation packages for rivers, estuaries and seas

D-HYDRO Suite

Dutch Delta Systems

D-Morphology

User Manual

D-Morphology, 1D/2D/3D

D-Morphology in Delta Shell

User Manual

Released for:
Delft3D FM Suite 2020

Version: 1.5
SVN Revision: 63656

November 4, 2019

D-Morphology, 1D/2D/3D, User Manual

Published and printed by:
Deltares
Boussinesqweg 1
2629 HV Delft
P.O. 177
2600 MH Delft
The Netherlands

telephone: +31 88 335 82 73
fax: +31 88 335 85 82
e-mail: info@deltares.nl
www: https://www.deltares.nl

For sales contact:
telephone: +31 88 335 81 88
fax: +31 88 335 81 11
e-mail: software@deltares.nl
www: https://www.deltares.nl/software

For support contact:
telephone: +31 88 335 81 00
fax: +31 88 335 81 11
e-mail: software.support@deltares.nl
www: https://www.deltares.nl/software

Copyright © 2019 Deltares
All rights reserved. No part of this document may be reproduced in any form by print, photo print, photo copy, microfilm or any other means, without written permission from the publisher: Deltares.

Contents

List of Figures v

List of Tables vii

1 A guide to this manual 1
- 1.1 Introduction . . . 1
- 1.2 Overview . . . 1
- 1.3 Manual version and revisions . . . 2
- 1.4 Typographical conventions . . . 2
- 1.5 Changes with respect to previous versions . . . 3

2 Introduction to D-Morphology 5

3 Getting started 7

4 Tutorial 9
- 4.1 Introduction . . . 9
- 4.2 Tutorial: Offshore breakwater . . . 9

5 All about the modelling process 19
- 5.1 Introduction . . . 19
- 5.2 Setting up a D-Morphology model . . . 19
  - 5.2.1 Selecting a D-Flow Flexible Mesh model . . . 19
  - 5.2.2 Processes . . . 19
  - 5.2.3 Sediment . . . 20
  - 5.2.4 Morphology . . . 22
- 5.3 Save project, MDU file and attribute files . . . 26

6 Running a model 29

7 Visualize results 31

8 Sediment transport and morphology 33
- 8.1 General formulations . . . 33
  - 8.1.1 Introduction . . . 33
  - 8.1.2 Suspended transport . . . 33
  - 8.1.3 Effect of sediment on fluid density . . . 34
  - 8.1.4 Sediment settling velocity . . . 34
  - 8.1.5 Dispersive transport . . . 35
  - 8.1.6 Three-dimensional wave effects . . . 35
  - 8.1.7 Initial and boundary conditions . . . 35
    - 8.1.7.1 Initial condition . . . 36
    - 8.1.7.2 Boundary conditions . . . 36
- 8.2 Cohesive sediment . . . 37
  - 8.2.1 Cohesive sediment settling velocity . . . 37
  - 8.2.2 Cohesive sediment dispersion . . . 38
  - 8.2.3 Cohesive sediment erosion and deposition . . . 38
  - 8.2.4 Interaction of sediment fractions . . . 39
  - 8.2.5 Influence of waves on cohesive sediment transport . . . 39
  - 8.2.6 Inclusion of a fixed layer . . . 39
  - 8.2.7 Inflow boundary conditions cohesive sediment . . . 40
- 8.3 Non-cohesive sediment . . . 40
  - 8.3.1 Non-cohesive sediment settling velocity . . . 40
  - 8.3.2 Non-cohesive sediment dispersion . . . 41

8.3.2.1 Using the k-epsilon turbulence model . . . 41
8.3.2.2 Using the k-tau turbulence model . . . 42
8.3.3 Reference concentration . . . 42
8.3.4 Non-cohesive sediment erosion and deposition . . . 43
8.3.5 Inclusion of a fixed layer . . . 46
8.3.6 Inflow boundary conditions non-cohesive sediment . . . 46
8.4 Bedload sediment transport of non-cohesive sediment . . . 47
8.4.1 Basic formulation . . . 47
8.4.2 Suspended sediment correction vector . . . 48
8.4.3 Interaction of sediment fractions . . . 48
8.4.4 Inclusion of a fixed layer . . . 49
8.4.5 Calculation of bedload transport at open boundaries . . . 49
8.4.6 Bedload transport at velocity points . . . 50
8.4.7 Adjustment of bedload transport for bed-slope effects . . . 50
8.5 Transport formulations for non-cohesive sediment . . . 53
8.5.1 Van Rijn (2007) . . . 53
8.5.2 Van Rijn (1993) . . . 53
8.5.3 Engelund-Hansen (1967) . . . 58
8.5.4 Meyer-Peter-Muller (1948) . . . 58
8.5.5 General formula . . . 59
8.5.6 Bijker (1971) . . . 59
8.5.6.1 Basic formulation . . . 60
8.5.6.2 Transport in wave propagation direction (Bailard-approach) . 61
8.5.7 Van Rijn (1984) . . . 63
8.5.8 Soulsby/Van Rijn . . . 65
8.5.9 Soulsby . . . 66
8.5.10 Ashida-Michiue (1974) . . . 69
8.5.11 Wilcock-Crowe (2003) . . . 69
8.5.12 Gaeuman et al. (2009) laboratory calibration . . . 70
8.5.13 Gaeuman et al. (2009) Trinity River calibration . . . 70
8.6 Morphological updating . . . 71
8.6.1 Bathymetry updating including bedload transport . . . 73
8.6.2 Erosion of (temporarily) dry points . . . 74
8.6.3 Dredging and dumping . . . 74
8.6.4 Bed composition models and sediment availability . . . 75
8.7 Specific implementation aspects . . . 76

A File descriptions **79**
A.1 Sediment input file . . . 79
A.2 Morphology input file . . . 85
A.3 Sediment transport input file . . . 96
A.4 User defined transport routine for sand or bedload fractions . . . 103
A.5 User defined transport routine for mud fractions . . . 107
A.6 User defined routine for the settling velocity . . . 111
A.7 Morphological factor file . . . 114
A.8 Initial bed composition file . . . 115
A.9 Dredge and dump characteristics . . . 116
A.10 Dredge and nourishment time-series . . . 124

References **127**

List of Figures

4.1 Overview initial bed levels. 10
4.2 Harmonic water level boundary conditions for the left boundary. 11
4.3 Harmonic Neumann boundary conditions for the top or bottom boundary. . . . 11
4.4 All boundaries and the observation point added. 12
4.5 Velocity vectors showing the inflow of water when the water level at the sea boundary rises. 13
4.6 Graph showing the velocity magnitude along the sketched cross section. . . . 14
4.7 Graph showing the time-variation of the x- and y-components of the velocity at the observation point. 14
4.8 A breakwater has been added to the model. 15
4.9 Figure showing the bed levels at the end of the simulation. 16
4.10 Figure showing the sediment thickness at the end of the simulation. 16
4.11 Figure showing the cumulative erosion and sedimentation (bed levels at the end of the simulation minus those at the beginning). 17

5.1 Overview processes tab 19
5.2 Overview of the *Sediment* tab, showing a sediment of type 'sand'. 20
5.3 Default view of the *Morphology* tab. 22
5.4 Model/data import drop-down menu 26
5.5 Model/data import wizard 26

8.1 Selection of the *kmx* layer; where a is Van Rijn's reference height 43
8.2 Schematic arrangement of flux bottom boundary condition 43
8.3 Approximation of concentration and concentration gradient at bottom of *kmx* layer 44
8.4 Setting of bedload transport components at velocity points 50
8.5 Morphological control volume and bedload transport components 73

List of Tables

5.1 List of sediment specific parameters 20

8.1 Additional transport relations 53
8.2 Overview of the coefficients used in the various regression models (Soulsby *et al.*, 1993) 67
8.3 Overview of the coefficients used in the various regression models, *continued* (Soulsby *et al.*, 1993) 68

A.1 Sediment input file with keywords 79
A.2 Options for sediment diameter characteristics 81
A.3 Sediment input file without keywords 83
A.4 Morphological input file with keywords 85
A.5 Morphological input file without keywords 93
A.5 Morphological input file without keywords 94
A.6 List of transport formulae implemented 97
A.7 Transport formula parameters 98
A.8 Sediment transport formula input file with keywords 102
A.9 Initial bed composition file keywords 115
A.10 Dredge and dump input file with keywords 117

1 A guide to this manual

1.1 Introduction

This is the User Manual of D-Morphology. It describes the processes and equations implemented, provides information on how to use the module, and gives a detailed overview of the associated input files and options. The sediment transport and morphology module is closely integrated with the hydrodynamics module, D-Flow Flexible Mesh, part of the Delft3D Flexible Mesh Suite or D-HYDRO Suite. The two modules are provided as one software component. The D-Morphology interface is basically an extension of the interface of D-Flow Flexible Mesh. The user is, therefore, advised to read and be accustomed with the D-Flow FM User Manual.

This module is part of several Modelling suites, released by Deltares as Deltares Systems or Dutch Delta Systems. These modelling suites are based on the Delta Shell framework. The framework enables to develop a range of modeling suites, each distinguished by the components and — most significantly — the (numerical) modules, which are plugged in. The modules which are compliant with the Delta Shell framework are released as D-*Name of the module*, for example: D-Flow Flexible Mesh, D-Waves, D-Water Quality, D-Real Time Control and D-Rainfall Runoff.

Therefore, this User Manual is shipped with several modelling suites. On the *Start Page* links are provided to all relevant User Manuals (and Technical Reference Manuals) for that modelling suite. It will be clear that the Delta Shell User Manual is shipped with all these modelling suites. Other user manuals can be referenced. In that case, you need to open the specific user manual from the *Start Page* in the central window. Some texts are shared in different user manuals, in order to improve the readability.

1.2 Overview

To make this manual more accessible we will briefly describe the contents of each chapter.

Chapter 3: Getting started, contains a reference to the corresponding chapter of the D-Flow FM User Manual where the user will find an overview of the GUI, the dockable views and the ribbons and toolbars.

Chapter 4: Tutorial, gives you hands-on experience in using the D-Morphology GUI to define the input of a simple problem, in validating this input, in executing the simulation and in inspecting the results.

Chapter 5: All about the modelling process, provides practical information on the GUI, extending a D-Flow FM model with parameters on sediment transport and morphology and tuning the model.

Chapter 6: Running a model, discusses how to validate and execute a model run. It contains a reference to the corresponding chapter of the D-Flow FM User Manual.

Chapter 7: Visualize results, explains in short the visualization of results within the GUI and by using Quickplot, MATLAB and Python. Again, it contains a reference to the corresponding chapter of the D-Flow FM User Manual.

Chapter 8: Sediment transport and morphology, describes the mathematical background of three-dimensional transport of suspended sediment, bedload transport and morphological updating of the bed (level).

1.3 Manual version and revisions

This manual applies to:

- the D-HYDRO Suite, version 2019.01
- the Delft3D Flexible Mesh Suite, version 2019.01

1.4 Typographical conventions

Throughout this manual, the following conventions help you to distinguish between different elements of text.

Example	Description
Module **Project**	Title of a window or a sub-window are in given in **bold**. Sub-windows are displayed in the **Module** window and cannot be moved. Windows can be moved independently from the **Module** window, such as the **Visualisation Area** window.
Save	Item from a menu, title of a push button or the name of a user interface input field. Upon selecting this item (click or in some cases double click with the left mouse button on it) a related action will be executed; in most cases it will result in displaying some other (sub-)window. In case of an input field you are supposed to enter input data of the required format and in the required domain.
<\tutorial\wave\swan-curvi> <siu.mdw>	Directory names, filenames, and path names are expressed between angle brackets, <>. For the Linux and UNIX environment a forward slash (/) is used instead of the backward slash (\) for PCs.
“27 08 1999”	Data to be typed by you into the input fields are displayed between double quotes. Selections of menu items, option boxes etc. are described as such: for instance ‘select *Save* and go to the next window’.
`delft3d-menu`	Commands to be typed by you are given in the font Courier New, 10 points.
➢	In this User manual, user actions are indicated with this arrow.
[m s^{-1}] [–]	Units are given between square brackets when used next to the formulae. Leaving them out might result in misinterpretation.

Command prompts and terminal output are shown in framed boxes with typewriter font:

```
> ./dflowfm --version
Deltares, D-Flow FM Version 1.1.149.41663, Sep 02 2015, 10:40:42
Compiled with support for:
IntGUI: no
OpenGL: no
OpenMP: yes
MPI   : yes
PETSc : yes
METIS : yes
```

1.5 Changes with respect to previous versions

This is the first release of a separate User Manual for the module D-Morphology.

2 Introduction to D-Morphology

D-Morphology, the sediment transport and morphology module supports both bedload and suspended load transport of non-cohesive sediments and suspended load of cohesive sediments due to waves and currents. The module is implemented as an extension of the hydrodynamic module D-Flow Flexible Mesh.

In the schematisation process we distinguish "mud" (cohesive suspended load transport), "sand" (non-cohesive bedload and suspended load transport) and "bedload" (non-cohesive bedload only or total load transport) fractions. The simulation may include an arbitrary number of these fractions as computer memory and simulation time allow. Sediment interactions are taken into account, although this is still an active research area.

The advection-diffusion equation is solved to determine the suspended transport due to currents for "sand" and "mud" fractions. If the dynamic effect of the suspended load is known to be negligible (either due to sediment diameter or sediment transport formula chosen), the "bedload" approach is more efficient. The advection-diffusion equation is not solved for those fractions which therefore require less memory and less simulation time. If the selected sediment transport formula includes a suspended component, this component is added to the bedload to obtain a total load behaviour.

The bed composition may be modelled either as a single well-mixed layer, or as a multi-layer bed to keep track of the development of different layers of sediment over time. The latter option is not (yet) supported by the user interface. It is particularly useful for tracking deposits over long time scales, and for studying beds with strongly varying erodibility due to variations in bed composition.

D-Morphology includes an extensive set of features for sediment management using dredging, dumping and nourishment operations.

3 Getting started

We refer to *Getting started* of the D-Flow Flexible Mesh User Manual on the *Start* page.

4 Tutorial

4.1 Introduction

The user is advised to start with the basic tutorials on setting up and running a hydrodynamic simulation (see D-Flow Flexible Mesh, User Manual).

This chapter continues with a more advanced tutorial on performing a simulation including sediment transport and morphology.

4.2 Tutorial: Offshore breakwater

In this tutorial you'll set up a simple model for an offshore breakwater. This tutorial is a first step in a coupled flow-morphology-wave tutorial. We'll start by opening D-HYDRO Suite, creating a new D-Flow Flexible Mesh model instance, and importing the grid.

- ➢ Double click on the D-HYDRO Suite or Delft3D Flexible Mesh Suite icon on the desktop of your computer.
- ➢ Click on *New Model* → Double click on *Flow Flexible Mesh Model* or select and click *OK*.
- ➢ Load the grid file from the folder <Tutorial_D-Morphology> by means of a right click on *Grid* → *Import...* and select file <straight_coast_net.nc>. The selected grid file doesn't include the bed levels, so let's add it.
- ➢ Double click on the *Bed Level* in the *Project* panel; this will select the *Bed Level* in the list box in the *Spatial Operations* section of the *GIS Map* toolbar.
- ➢ Click on the *Import* icon and open <straight_coast_net.xyz> without any coordinate transformation on import.
- ➢ Bring the *Operations* panel docked on the right side of the screen to the front by clicking on the tab with that name and subsequently expand the *set 1* item to show the *Import samples 1* item. Selecting that item will enable the *Interpolate* icon in the *Spatial Operations* section of the toolbar.
- ➢ Select *Interpolate* → *Interpolate selected set* and choose to use the default triangular interpolation. The interpolated bed level is visualized on the map; see Figure 4.1. You have interpolated the bed level samples to the nodes of the grid; we will change this in a minute.

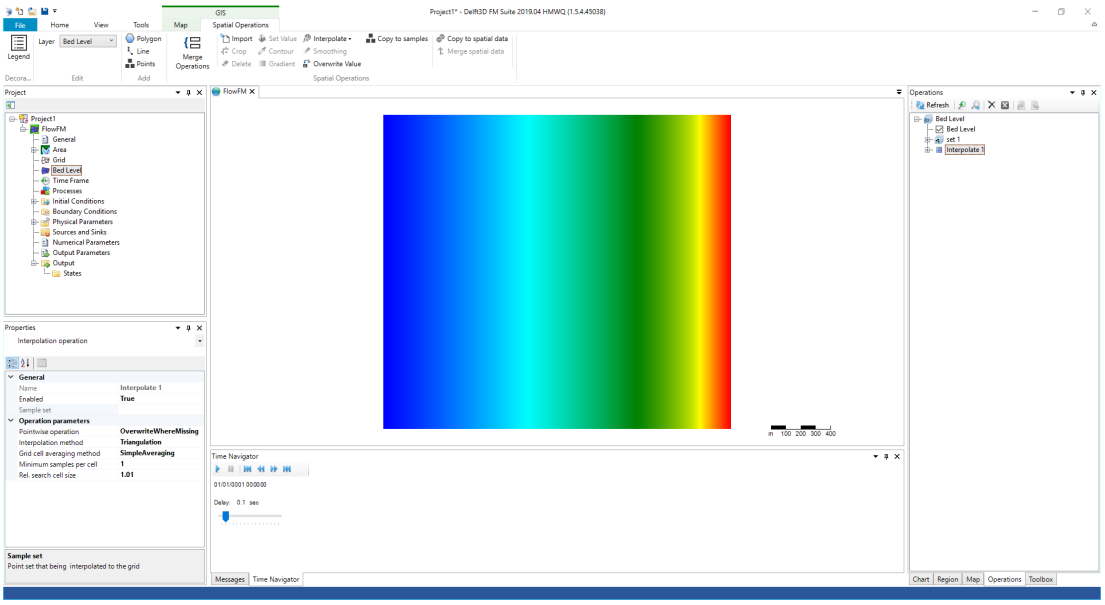

Figure 4.1: *Overview initial bed levels.*

The model contains a sloping bed that is uniform along the coast (on the right). For the boundary conditions, we'll use a water level boundary along the left edge of the grid, and Neumann boundaries along the top and bottom edges of the grid.

- Click on the *Add (2D) Flow Boundary* icon (located at the left end of the *GIS Map* ribbon and insert a polyline along the left edge of the grid by means of a single click just outside the model at the top left corner of the domain, followed by a double click just outside the model at the bottom left corner of the domain.
- Switch back to selection mode by clicking on the *Select* icon in the *Tools* section of the ribbon.
- Double click on the boundary line you just drew; this will open the boundary dialog window.
- Click on the + button to add a water level boundary along this sea boundary.
- Tides are most easily prescribed using *Harmonic* or *Astronomic* forcing conditions. In this case set the *Forcing type* to *Harmonic*.
- Press the *Add components ...* button and set the *Frequency* to 360 deg/h, the *Amplitude* to 3 m, and finally the *Phase* to 90 deg. Press *OK* to close the dialog, and choose to apply the changes to *All support points*. See Figure 4.2.
- Close the *Boundary conditions* tab, and repeat the aforementioned steps for the boundaries along the top and bottom edges of the grid respectively. Choose a *Neumann gradient* type boundary instead of the water level boundary. Impose a constant forcing equal to 0. This can also be done through the selection of *Harmonic* forcing type with frequency, amplitude and phase equal to zero. See Figure 4.3.

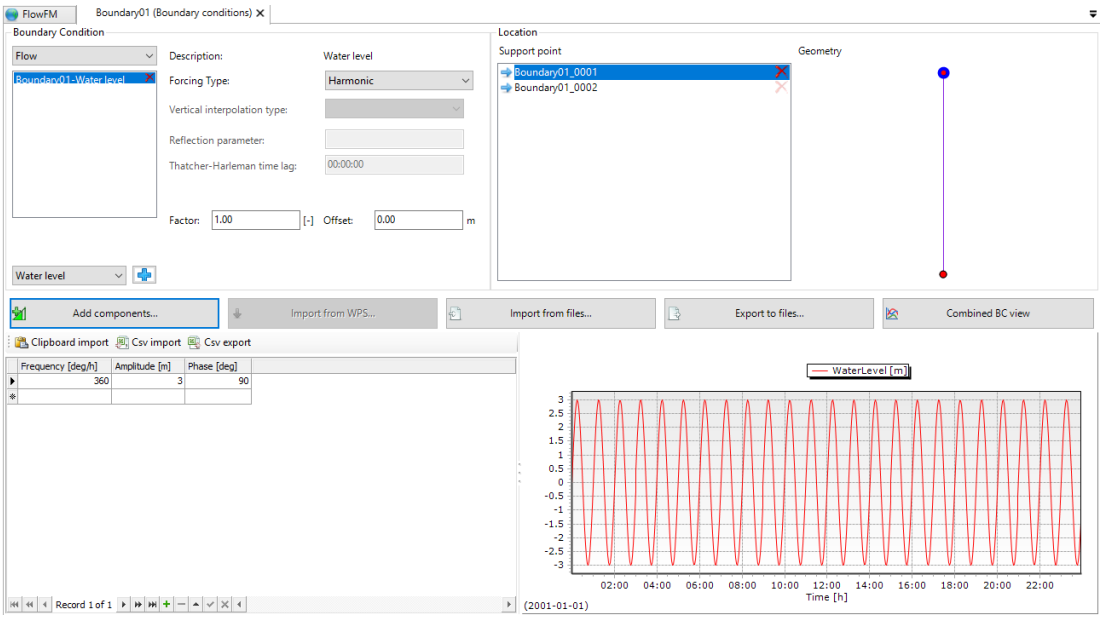

Figure 4.2: *Harmonic water level boundary conditions for the left boundary.*

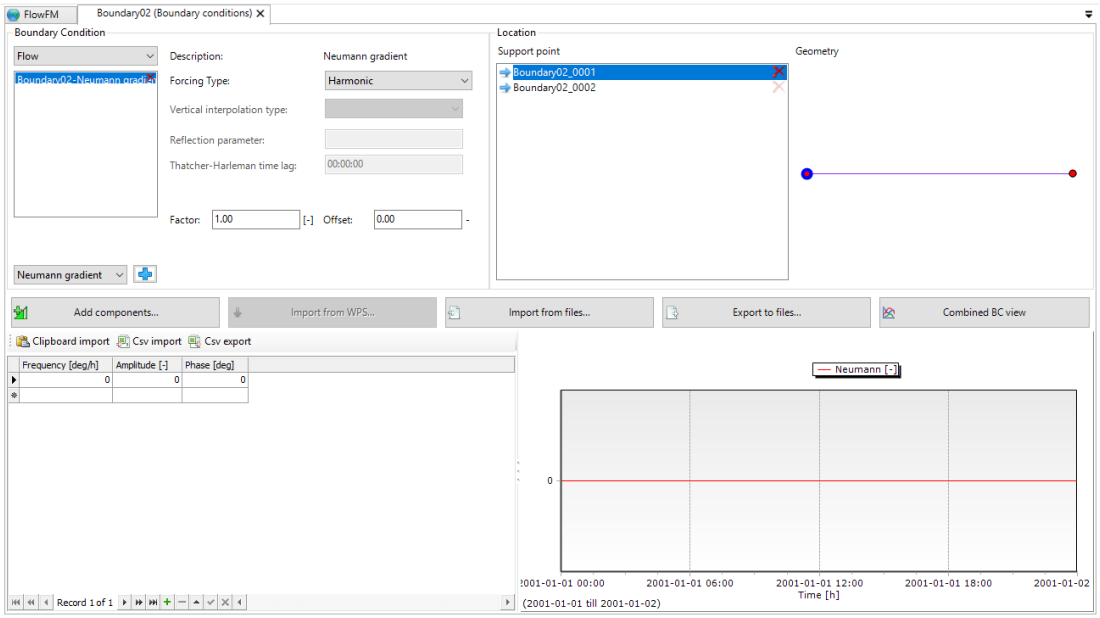

Figure 4.3: *Harmonic Neumann boundary conditions for the top or bottom boundary.*

As the final geospatial step let us add an observation point in the middle of the domain.

- ➢ Click on the *Add new observation point (2D)* icon in the *Area* section in the right part of the *GIS Map* ribbon and click once in the middle of the domain.
- ➢ Switch back to selection mode by clicking on the *Select* icon. See Figure 4.4.

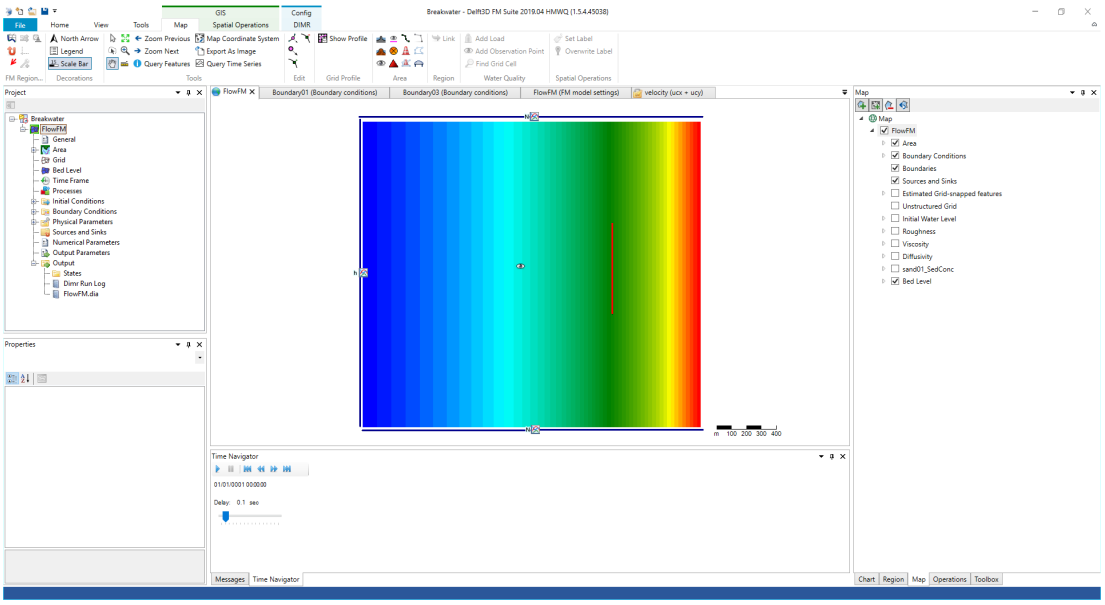

Figure 4.4: *All boundaries and the observation point added.*

It's now time to open the settings window to set various simulation parameters.

- Open the *FM model settings* window by double clicking on the *FlowFM* → *Physical Parameters* item in the *Project* panel.
- As the first action in the opened tab, change the setting of the *Bed level locations* to *faces (cell centers)*. This change is required for the morphological simulation that we want to do in the end, so let's start by setting up a model consistent with that requirement. Note that triggered by this change, the bed level samples will be re-interpolated to the cell centres.
- To see the change in the bed levels, switch to the *FlowFM* tab, bring the *Map* panel on the right to the front and check the box for *Bed Level* in the *Map* panel. Since the bed levels are now defined in the cell centres, the visualization will have switched to flat colours per cell. You may have to refresh the view to see the result properly. The most thorough way to do this is by closing the FlowFM window and reopening it.
- Back in the *FlowFM (FM model settings)* panel, we continue in the *Physical Parameters* tab. Change the bed roughness type from *Manning* to *Chézy* and set the value to 65 $m^{1/2}/s$.
- As the final action in the *Physical Parameters* tab, we will use a user specified constant water density. Switch *Equation of state* to *Uniform* and set the *Default water density* equal to 1025 kg/m^3. Alternatively, the water density can be computed from the background salinity and temperature by means of the Eckhart or UNESCO formula.
- In the *Numerical Parameters* tab, set the *Boundary smoothing time* to 720 s.
- In the *Output Parameters* tab, set the *His(tory) output Interval* equal to the *Map output interval*, i.e. 20 minutes.
- In the Miscellaneous tab, set the *Dry cell threshold* to 0.01 m to indicate that for a cell should be switched to dry if the computed water depth drops below that value.
- Save the project as <Breakwater.dsproj> by selecting *File* → *Save*.

Run the simulation

- Start the simulation by means of a right click on the *FlowFM* model in the *Project* panel and selecting *Run Model*.

Viewing results

- When the simulation has ended, a list of output quantities is added to the *Output* item of the *FlowFM* model in the *Project* panel on the left. Double click on the item *velocity (ucx + ucy)* item in that list of output quantities. The map view will open or come to top again.
- If you look at the bed levels before, the figure will be still showing them. Switch off the initial *Bed Level* in the *Map* panel.
- This will show the arrows representing the velocities computed during the simulation. By default we'll see the initial velocities all equal to zero, and hence plotted as dots. When we move the time slider in the *Time Navigator* panel at the bottom of the screen, the dots change into coloured arrows scaled such that a velocity of 1 m/s is drawn as an arrow of 1 m on the map. For our model with grid cell size in the order of 20 to 200 m, these arrows still look like dots.
- To change the arrow length we have to first select the *velocity (ucx + ucy)* quantity in the *Map* panel on the right. Expand the *Output (map)* item in the *Map* panel to show it, and subsequently select it. The properties of this map layer are now shown in the *Properties* panel in the lower left corner of the screen. Set the value of *Vector scale* to 0.01 such that a velocity of 0.01 m/s is drawn as a vector of 1 m on the map, or equivalently that a velocity of 1 m/s is drawn as a vector of 100 m on the map.
- Play the time animation of the velocity vectors by clicking on the *Play* button in the *Time Navigator* panel. Check the *Legend* (which can be activated from the *Decorations* section of the *GIS Map* toolbar) to see that the velocities vary from 0 to 1 m/s. See Figure 4.5.

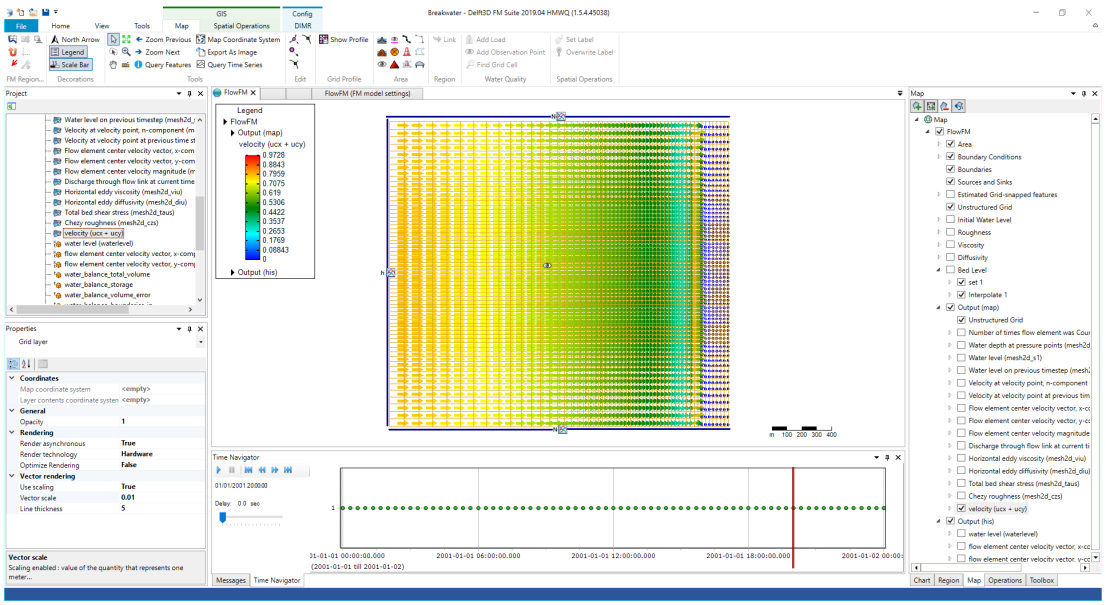

Figure 4.5: *Velocity vectors showing the inflow of water when the water level at the sea boundary rises.*

- View a cross-section by clicking on the *Show Profile* icon in the *Grid Profile* section of the *GIS Map* toolbar and drawing a line on the map perpendicular to the coast (use a single click for the first point) and a double click for the last point). See Figure 4.6. You may notice that the graph is updated when you scroll through the times in the *Time Navigation* panel when viewing the map.

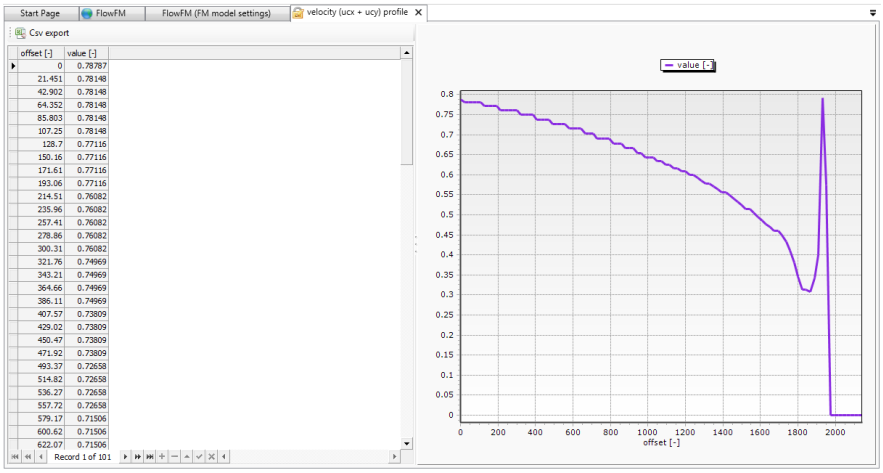

Figure 4.6: *Graph showing the velocity magnitude along the sketched cross section.*

➢ View the time-series at the observation point by right clicking on the observation point, choose *Query timeseries*, select both *flow element center velocity vector x- and y-components* in the subsequent dialog, and press *OK*. The new figure shows the cross-shore velocity vary (after the spin-up period) periodically between 0.6 m/s onshore to 0.4 m/s offshore, whereas the alongshore velocity remains negligible. See Figure 4.7.

Figure 4.7: *Graph showing the time-variation of the x- and y-components of the velocity at the observation point.*

So far we only simulated the hydrodynamics. Now we're going to add sediment transport and morphology. Let's close any open windows for cross sections and time-series at observation points.

➢ Open the *FM model settings* window again by double clicking on the *Processes* item in the *Project* panel.

- In the *Processes* tab, switch on the *Sediment/Morphology* process; this will add *Morphology* and *Sediment* tabs to the model settings window.
- In the *Sediment* tab, add a sediment fraction by typing the name "'sand01"' and clicking *New*. Use the default sediment characteristics such a median diameter of 200 µm and Van Rijn (1993) sediment transport formula. However, set the *Initial sediment layer thickness at bed* equal to uniform 10 m.
- In the *Morphology* tab, set the *Morphological scale factor* equal to 100 to speed up the morphological developments by a factor hundred.
- Set the *Spin-up before morphological changes* equal to 0.
- Switch to the map view by clicking on the *FlowFM* tab, or by double clicking on the the *FlowFM* item in the *Project* panel.
- Click on the *Add new thin dam (2D)* icon in the *Area* section of the *GIS Map* toolbar.
- Draw a breakwater by clicking once to start drawing the location and clicking twice to end drawing. Position the construction such that it is located at about the 500 m from the right edge of the domain (just right of the –5 m bed level contour), and length of about 600 m. See Figure 4.8.

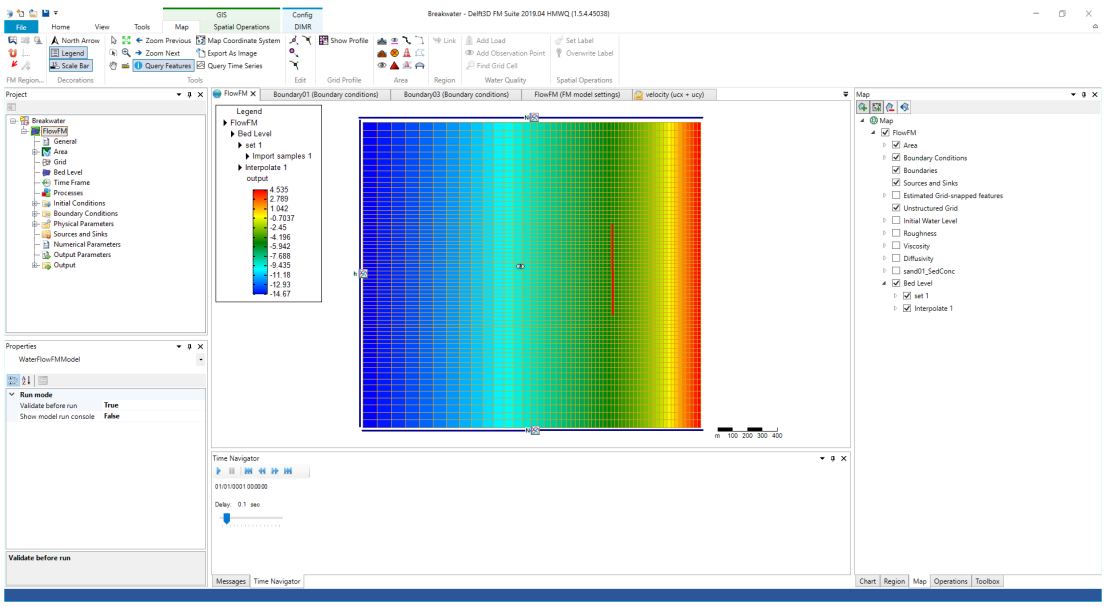

Figure 4.8: *A breakwater has been added to the model.*

Run the model again. Since the model now includes sediment transport and morphology, it will run a bit slower than the previous flow only simulation.

- Visualize the morphological change by selecting *Time-varying bottom level in flow cell center* and scroll through time. Observe that scour holes are formed at both ends of the breakwater with sedimentation occurring behind the breakwater. See Figure 4.9.

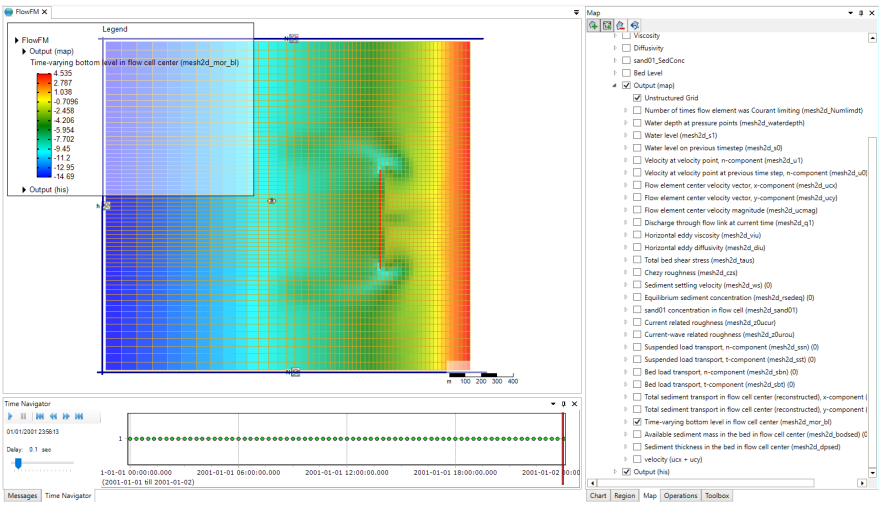

Figure 4.9: *Figure showing the bed levels at the end of the simulation.*

➢ Switch to the *Sediment thickness in the bed in flow cell center* to observe that by the end of the simulation the sediment thickness has locally increased to over 12 m behind the breakwater and dropped below 6 m in the scour holes. See Figure 4.10.

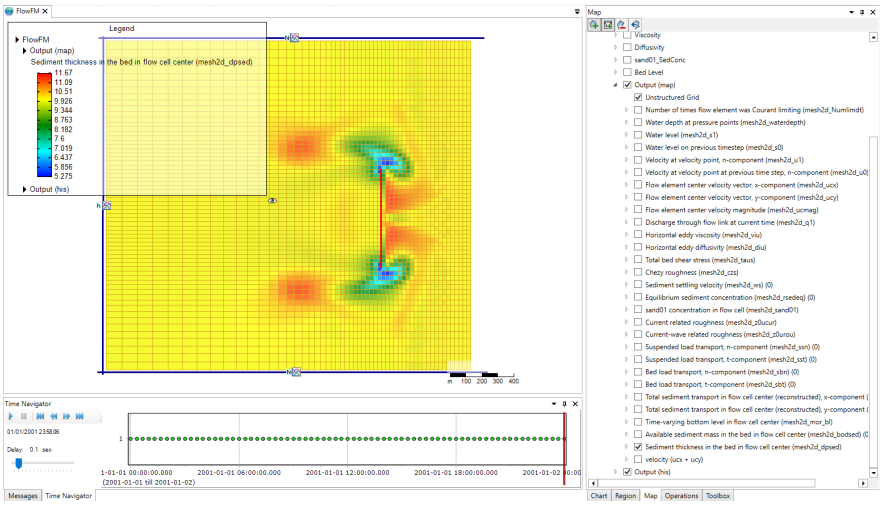

Figure 4.10: *Figure showing the sediment thickness at the end of the simulation.*

➢ For the final step of the visualization we'll use QUICKPLOT. Save the project by going to *File* → *Save* and selecting a location and name for the project.

➢ Open QUICKPLOT (separate installation process) and select *File* → *Open File...*. Search for the location where you saved the project, e.g. <d:\MyPath\Project1.dsproj>. Enter subsequently the <d:\MyPath\Project1.dsproj_data> folder, the subfolder <FlowFM> (the name of the model in your project) and finally the <output> folder to locate the <FlowFM_map.nc> file. Open that file. In the *data field* list box, search for the quantity *cum. erosion/sedimentation* just below *Time-varying bottom level in flow cell center*. Press *Quick View*, see Figure 4.11. The figure shows the erosion and sedimentation patterns.

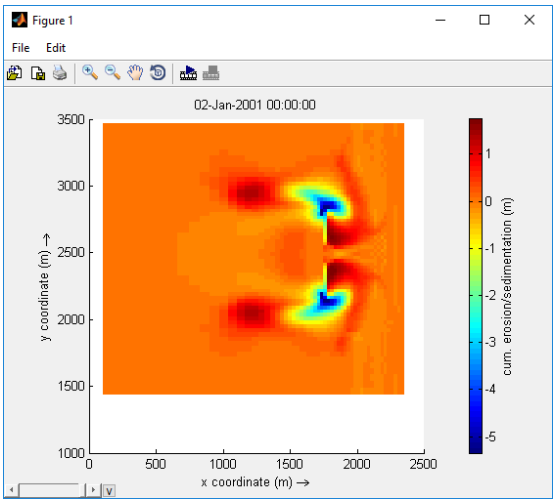

Figure 4.11: *Figure showing the cumulative erosion and sedimentation (bed levels at the end of the simulation minus those at the beginning).*

5 All about the modelling process

5.1 Introduction

As a D-Morphology model is an extension of an hydrodynamic model, you must start with a D-Flow Flexible Mesh model. Then, activate sediment and morphology under the *Processes* tab and specify the sediment transport and morphology parameters. The input data is collected into the Master Definition Unstructured file, called a **.mdu* file. For a description of this file we refer to the D-Flow Flexible Mesh User Manual.

5.2 Setting up a D-Morphology model

5.2.1 Selecting a D-Flow Flexible Mesh model

We refer to the D-Flow Flexible Mesh User Manual on the *Start Page*, on how to create a D-Flow FM model. Here we further assume that you have already created a basic D-Flow FM model that you want to extend with sediment transport and morphology. Open the associated Delta Shell project and select the D-Flow FM model in the **Project** window.

Note: it is strongly advised to validate the model, perform a calculation and inspect the results.

Then, click the plus sign (+) before the name of the model to expand all model attributes in the **Project** window. If you click on one of them the D-Flow FM editor will open; this editor consists of multiple tabs that partially match the model attributes listed in the **Project** window. Here, we describe only the D-Flow FM editor tabs that are relevant for a D-Morphology model: Processes, Sediment and Morphology.

5.2.2 Processes

In the processes tab (Figure 5.1) you can specify which processes, such as tidal forcing and waves, you want to incorporate into the D-Flow FM simulation. This is the place where you need to activate sediment/morphology by ticking the associated check box.

Note: that when ticking the sediment/morphology check box, two tabs for setting sediment and morphology parameters appear.

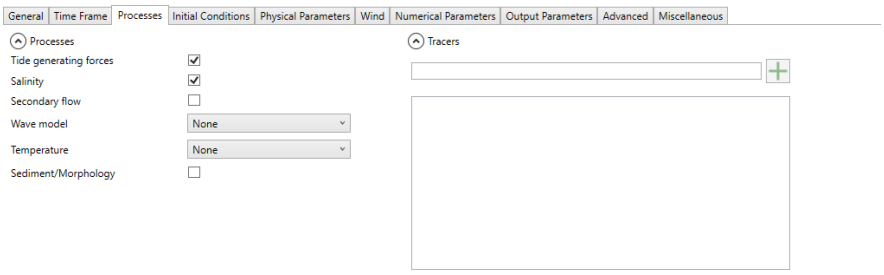

Figure 5.1: *Overview processes tab*

5.2.3 Sediment

If you have activated the process sediment/morphology in the *Processes* tab (section 5.2.2), the tab *Sediment* appears. In this tab, you can add, delete and modify sediment fractions and the parameters and settings that are associated to the individual sediment fractions. In order to add and define a sediment fraction, the following steps can be taken:

1 Specify the name of the new sediment fraction, and press *New*.
2 If needed, adjust the reference density for hindered settling calculations.
3 Select the type of fraction (either Sand, Mud or Bed-load).
4 Specify the parameters associated with the selected type of fraction.
5 Select a transport formula to be used with the sediment fraction.
6 Specify the parameters associated with the selected transport formula.

You can repeat these steps in case you want to incorporate multiple fractions within your model. A sediment fraction can be deleted by first selecting the fraction you wish to remove, and then clicking the *Remove Fraction* button.

After selection of the *Sediment* tab and adding a new sediment fraction, the window given by (Figure 5.2) is shown. The left column contains a list of sediment fraction specific settings that are independent of the transport formula. The right column contains a list of parameters that are specific for the transport formula. See section A.3 for an overview of the parameters per transport formula.

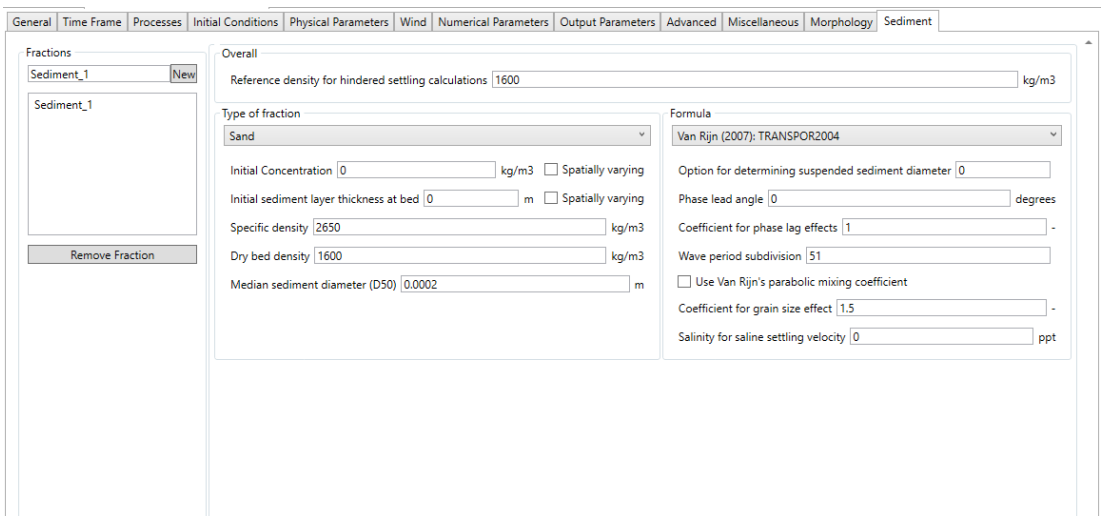

Figure 5.2: *Overview of the* Sediment *tab, showing a sediment of type 'sand'.*

Below, an overview of keywords that are associated to different types of sediment is provided

Table 5.1: *List of sediment specific parameters (not related to sediment transport formula).*

Parameter	**Lower limit**	**Upper limit**	**Default**	**Unit**	**Type of sediment**
Reference density hindered settling	100	10000	1600	kg/m^3	Uniform for all fractions

(continued on next page)

Table 5.1 – continued from previous page

Parameter	Lower limit	Upper limit	Default	Unit	Type of sediment
Initial sediment layer thickness at bed	0	∞	0	m	Sand, mud and bed-load
Specific density	100	4000	2650	kg/m^3	Sand, mud and bed-load
Dry bed density	0	10000	1600	kg/m^3	Sand and bed-load
	0	10000	500	kg/m^3	Mud
Initial concentration	0	Inf	0	kg/m^3	Sand and mud
Median sediment diameter D_{50}	0.000063	0.002	0.0002	m	Sand and bed-load
Salinity for saline settling velocity	0.01	391	31	ppt	Mud
Settling velocity fresh water	0	1	0.00025	m/s	Mud
Settling velocity saline water	0	1	0.00025	m/s	Mud

Reference density for hindered settling — In high concentration mixtures, the settling velocity of a single particle is reduced due to the presence of other particles. In order to account for this hindered settling effect Richardson and Zaki (1954) are followed. The reference density is a parameter in their formulation. See section 8.1.4.

Specific density — For sediment transport the Eckart relation is extended to include the density effect of sediment fractions in the fluid mixture, see section 8.1.3. The specific density of each sediment fraction is part of this formulation.

Dry bed density — The thickness of the sediment above the fixed layer is calculated by dividing the mass of sediment available at the bed by the user specified dry bed density.

Initial concentration — The initial suspended sediment concentration of the fraction. It can be specified as uniform or spatially varying.

Note: Currently only the option of a spatially varying initial concentration work. Please specify a constant field to use a constant value.

Median sediment diameter (D_{50}) — The settling velocity of a non-cohesive ("sand") sediment fraction is computed following the method of Van Rijn (1993). The formulation used depends on the diameter of the sediment in suspension: See section 8.3.1

Settling velocity — The settling velocity of the cohesive sediment, note that this is specified in m/s

Initial sediment layer thickness at bed — The initial sediment layer thickness at the bed in metre, can be spec-

ified as uniform or spatially varying.

Remark:

- ◇ When adding multiple sediment fractions with an initial sediment layer thickness, the layers are completely mixed by default. E.g. a uniform layer of 4 m present for one sediment fraction, and a uniform layer of 6 m for another fraction, results in an initial sediment layer of 10 m, in which 40 % and 60 % of the respective sediment fractions is present. If you wish to have the model behave differently, options for bed stratigraphy are available, refer to section 8.6.4.

Spatially varying variables

As indicated above, some variables can be defined as spatially varying. Note that when activating a variable as spatially varying, the selected variable is added to the list of spatially varying variables in the spatial editor. A detailed description on how to work with this spatial editor is provided in one of the appendices of the D-Flow FM User Manual. Note that you can no longer specify a uniform value for a variable that is selected as spatially varying.

5.2.4 Morphology

If you have activated the process sediment/morphology in the *Processes* tab (section 5.2.2), the tab *Morphology* appears. In this tab, you can modify sediment transport and morphology parameters/settings that are independent of the sediment fractions. After selection of the *Morphology* tab, the window given by (Figure 5.3) is shown.

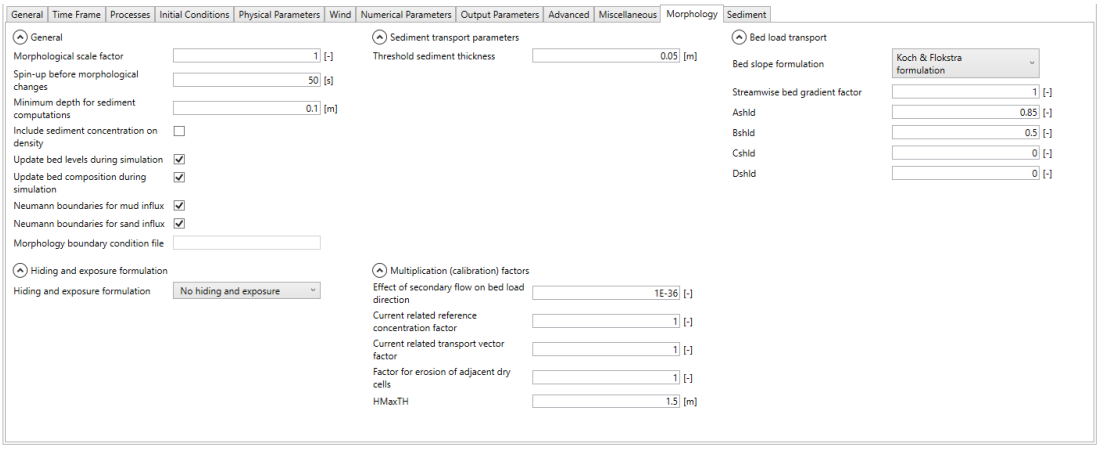

Figure 5.3: *Default view of the* Morphology *tab.*

With the feedback of bed level changes to the hydrodynamic computation you can execute a full morphodynamic computation. You can also include the influence of waves by running this version of D-Flow FM in combination with the D-Waves module. See section 8.6 for details. A description of the various morphological parameters follows below.

General

One of the complications inherent in carrying out morphological projections on the basis of hydrodynamic flows is that morphological developments take place on a time scale several times longer than typical flow changes (for example, tidal flows change significantly in a period of hours, whereas the morphology of a coastline will usually take weeks, months, or years to change significantly). One technique for approaching this problem is to use a *Morphological*

time scale factor whereby the speed of the changes in the morphology is scaled up to a rate that it begins to have a significant impact on the hydrodynamic flows.

Morphological scale factor	The above can be achieved by specifying a non-unity value. The *Morphological scale factor* can also be time-varying, see section A.7. This feature is not yet supported by the GUI.

The implementation of the *Morphological time scale factor* is achieved by simply multiplying the erosion and deposition fluxes from the bed to the flow and vice-versa by this scale factor, at each computational time-step. This allows accelerated bed-level changes to be incorporated dynamically into the hydrodynamic flow calculations.

Frequently, a hydrodynamic simulation will take some time to stabilise after transitioning from the initial conditions to the (dynamic) boundary conditions. It is likely that during this stabilisation period the patterns of erosion and accretion that take place do not accurately reflect the true morphological development and should be ignored.

Spin-up before morphological changes	Specify a time interval (in seconds[1] after the start time) after which the bed updating will begin. During this time interval all other calculations will proceed as normal (sediment will be available for suspension for example) however the effect of the sediment fluxes on bed level and bed composition will not be taken into account.
Include sediment concentration on density	Option to include the sediment concentration on the fluid density. This option is typically switched off.
Minimum depth for sediment calculation	In the case of erosion near dry points a threshold depth for computing sediment transport can be used, see section 8.6.2.
Morphological boundary condition file	Name of the file in which the morphological boundary conditions are stored. The value is indicated for your information; it can't be edited.

Sediment transport parameters

This section currently only contains one parameter.

Threshold sediment thickness	If the thickness of the layer of sediment in the bed is less than the specified value, the bed-load transport fluxes out of the grid cell and entrainment fluxes of the suspended load component are reduced as indicated in section 8.4.4.

Unlabelled block

This block contains a second set of general parameters.

Update bathymetry during simulation	Option to select whether you want to update the bed levels (and hence provide morphological feedback to the hydrodynamics) during the simulation. This option is enabled by default. The bed level updating is always switched off during the spin-up interval.
Update bed composition during simulation	Option to select whether you want to update the bed composition during the simulation. This option is enabled by default. The bed composition updating is always switched off during the spin-up interval.

It can be difficult to specify appropriate sediment concentrations for all sediment fractions at

[1] The time unit actually matches the unit selected by the keyword `Tunit` in the mdu-file. By default this unit is set to seconds. The unit used is reported in the diagnostic output file.

the inflow boundaries of the model In the ideal case the sediment load entering through the boundaries will be near-perfectly adapted to the local flow conditions, and very little accretion or erosion should be experienced near the model boundaries. Specifying an equilibrium concentration would clearly be very useful, but the concept of "equilibrium concentration" is poorly defined. Therefore, we have implemented in D-Morphology the equilibrium concentration option as a mathematically well defined zero-gradient concentration boundary condition.

Neumann boundaries for mud influx	Option to use a zero-gradient Neumann boundary condition for the mud fractions at inflow boundaries. Switched off by default since mud concentrations have a weak local coupling to the bed composition potentially erroneous results. When not activated the inflow concentrations specified in Data Group *Boundaries* → *Transport conditions* will be used.
Neumann boundaries for sand influx	Option to use a zero-gradient Neumann boundary condition for the sand fractions at inflow boundaries. Switched on by default since sand concentrations have typically a strong enough local coupling to the bed composition to guarantee stable results. When not activated the inflow concentrations specified in Data Group *Boundaries* → *Transport conditions* will be used.

The local bed slope influences the bedload transport magnitude and direction. Different options have been implemented. See section 8.4.7 for details on the formulations that have been implemented.

Bed slope formulation	Select the bed slope formulation that you want to apply in the simulation. By default the Bagnold formulation is selected.

Bed load transport

This section lists the parameters associated with the bed slope formulation selected above. See section 8.4.7 for details on the parameters.

Hiding and exposure formulation

In this section you can select the hiding and exposure formulation. See section 8.4.3 for details on the formulations that have been implemented.

Multiplication (calibration) factors

Effect of secondary flow on bed load direction	Calibration factor for the effect of parametrized secondary flow in a 2D model on the bed load transport direction (make sure to switch on the *Secondary flow* process in the *Processes* tab).
Current related reference concentration factor	Calibration factor for the suspended sediment transport due to currents.
Current related transport vector factor	Calibration factor for the bedload transport due to currents.

In the case of erosion near a dry beach or bank, the standard scheme will not allow erosion of the adjacent cells, even when a steep scour hole would develop right next to the beach. Therefore a scheme has been implemented, where for each wet cell, if there are dry points adjacent to it; the erosion volume is distributed over the wet cell and the adjacent dry cells.

Factor for erosion of adjacent dry cells	The distribution is governed by a user-specified *factor for erosion of adjacent dry cells*, which determines the fraction of the erosion

to assign (evenly) to the adjacent cells; if this factor equals zero, the standard scheme is used; if this factor equals 1, all erosion that would occur in the wet cell is assigned to the adjacent dry cells.

HMaxTH Maximum water depth in metres up to which the factor for erosion of adjacent dry cells is applied. The applied factor is linearly reduced from the specified maximum value to 0 as the water depth increases to the specified threshold value.

Domain:

Parameter	**Lower limit**	**Upper limit**	**Default**	**Unit**
Morphological scale factor	0.0	10000.0	1.0	-
Spin-up interval	0		∞	s
Include sediment concentration on density	yes or no		no	none
Minimum depth for sediment calculation	0.1	10.0	0.1	m
Threshold sediment thickness	0.005	10.0	0.05	m
Update bathymetry during simulation	yes or no		yes	none
Update bed composition during simulation	yes or no		yes	none
Neumann boundaries for mud influx	yes or no		no	none
Neumann boundaries for sand influx	yes or no		yes	none
Bed slope formulation	1	4	2	-
Hiding and exposure formulation	1	5	1	-
Effect of secondary flow	0	∞	0.5	-
Current related reference concentration factor	0	∞	1	-
Current related transport vector magnitude factor	0	∞	1	-
Factor for erosion of adjacent dry cells	0	1	0	-

5.3 Save project, MDU file and attribute files

To save your Delta Shell project, navigate the menu ribbons to *File* and click *Save as*. Choose a location, specify a name and click *Save*. Your project will now be saved in a folder called <*name*.dsproj_data> and a <*name*.dsproj> file is written. Within this folder you will find all input ASCII input files of your model, output files of your model (if the model was run using the GUI) and zip folders containing your restart files. Be aware that the output files are stored within a separate folder in which the input files of your model are stored. The output folder on the same level as the folder containing model input files is empty.

To open a project, navigate the menu ribbons to *File* and click *Open*. Select the <∗.dsproj>-file of choice and click *Open*.

Importing model or data within a Delta Shell project can be achieved in two ways. In the *Home* ribbon, click *Import* icon to launch a drop-down menu with all the import options as shown in Figure 5.4.

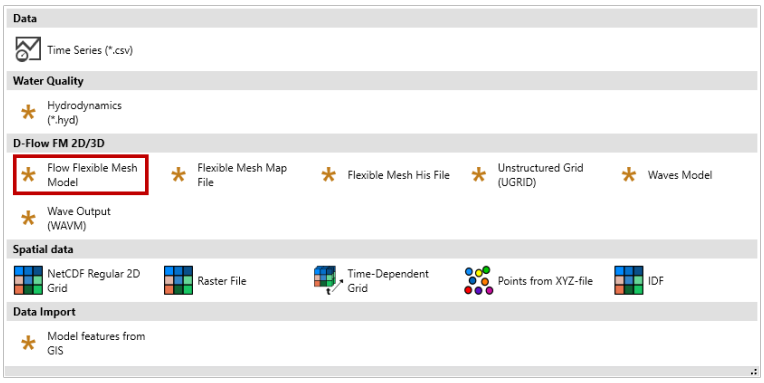

Figure 5.4: *Model/data import drop-down menu*

Alternatively, you can also right mouse click on the name of your project in the *Project* window and select *Import*. The import wizard appears, allowing you to select what you want to import (Figure 5.5).

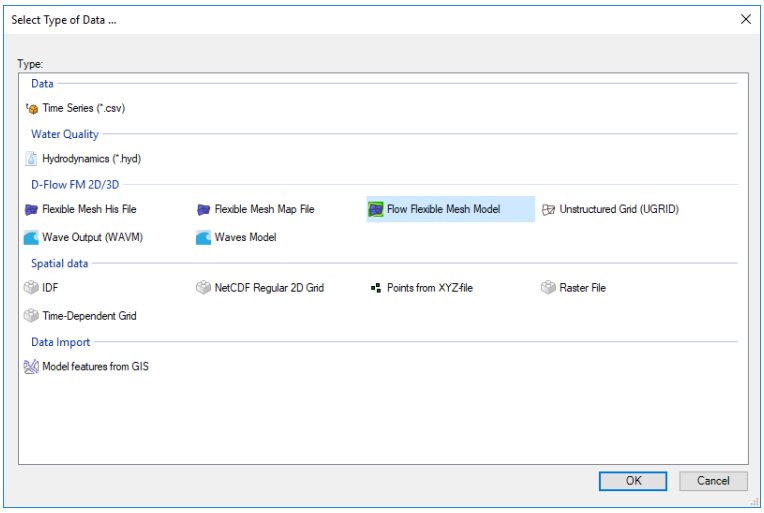

Figure 5.5: *Model/data import wizard*

Exporting your model can be achieved in the same fashion as importing your model. All model

input files will be written to the folder you select. Be aware that model files exported to a folder in which other model files with the same names are present will be overwritten.

6 Running a model

We refer to *Running a model* of the D-Flow Flexible Mesh User Manual on the *Start* page.

7 Visualize results

We refer to *Visualize results* of the D-Flow Flexible Mesh User Manual on the *Start* page.

8 Sediment transport and morphology

8.1 General formulations

8.1.1 Introduction

The sediment transport and morphology module supports both bedload and suspended load transport of non-cohesive sediments and suspended load of cohesive sediments. For schematisation we distinguish "mud" (cohesive suspended load transport), "sand" (non-cohesive bedload and suspended load transport) and "bedload" (non-cohesive bedload only or total load transport) fractions. A model may contain a mixture of up to 99 suspended (i.e. "sand" and "mud") fraction and an arbitrary amount of "bedload" fractions if computer memory and simulation time allows. The only difference between "bedload" and "sand" fractions lies in the fact that the suspended load advection-diffusion equation is not solved for the "bedload" fraction. If the suspended load is known to be negligible (either due to sediment diameter or sediment transport formula chosen), the "bedload" approach is more efficient.

Sediment interactions are taken into account although especially in the field of sand-mud interactions still a couple of processes are lacking.

8.1.2 Suspended transport

Three-dimensional transport of suspended sediment is calculated by solving the three-dimensional advection-diffusion (mass-balance) equation for the suspended sediment:

$$\frac{\partial c^{(\ell)}}{\partial t} + \frac{\partial u c^{(\ell)}}{\partial x} + \frac{\partial v c^{(\ell)}}{\partial y} + \frac{\partial \left(w - w_s^{(\ell)}\right) c^{(\ell)}}{\partial z} + \\ - \frac{\partial}{\partial x}\left(\varepsilon_{s,x}^{(\ell)} \frac{\partial c^{(\ell)}}{\partial x}\right) - \frac{\partial}{\partial y}\left(\varepsilon_{s,y}^{(\ell)} \frac{\partial c^{(\ell)}}{\partial y}\right) - \frac{\partial}{\partial z}\left(\varepsilon_{s,z}^{(\ell)} \frac{\partial c^{(\ell)}}{\partial z}\right) = 0, \quad (8.1)$$

where:

$c^{(\ell)}$	mass concentration of sediment fraction (ℓ) [kg/m^3]
u, v and w	flow velocity components [m/s]
$\varepsilon_{s,x}^{(\ell)}$, $\varepsilon_{s,y}^{(\ell)}$ and $\varepsilon_{s,z}^{(\ell)}$	eddy diffusivities of sediment fraction (ℓ) [m^2/s]
$w_s^{(\ell)}$	(hindered) sediment settling velocity of sediment fraction (ℓ) [m/s]

The local flow velocities and eddy diffusivities are based on the results of the hydrodynamic computations. Computationally, the three-dimensional transport of sediment is computed in exactly the same way as the transport of any other conservative constituent, such as salinity, heat, and constituents. There are, however, a number of important differences between sediment and other constituents, for example, the exchange of sediment between the bed and the flow, and the settling velocity of sediment under the action of gravity. These additional processes for sediment are obviously of critical importance. Other processes such as the effect that sediment has on the local mixture density, and hence on turbulence damping, can also be taken into account. In addition, if a net flux of sediment from the bed to the flow, or vice versa, occurs then the resulting change in the bathymetry should influence subsequent hydrodynamic calculations. The formulation of several of these processes (such as, settling velocity, sediment deposition and pickup) are sediment-type specific, this especially applies for sand and mud. Furthermore, the interaction of sediment fractions is important for many processes, for instance the simultaneous presence of multiple suspended sediment fractions has implications for the calculation of the local hindered settling velocity of any one sediment fraction as well as for the resulting mixture density.

The following sections describe, at a conceptual level, the differences between the suspended transport of sediments and the transport of other conservative constituents. At the same time we discuss some of the differences in general terms and refer for the details of the mathematical formulations to section 8.2 and section 8.3.

Remarks:

- ◇ The presence of multiple sediment fractions considerably complicates the calculation of the density of the bed and the availability of a particular class of sediment at the bed. See the sections on sediment interaction (section 8.4.3) and bed composition models (section 8.6.4).
- ◇ Small negative sediment concentrations (-1×10^{-3} kg/m^3) can be found in a computation. These negative concentrations can be suppressed by applying a horizontal Forester filter. However, this can result in a substantially larger computing time. It is suggested to accept small negative concentrations and to apply a Forester filter only when the negative concentrations become unacceptably large.
- ◇ A *vertical* Forester filter applied in a sediment transport computation will not affect the sediments. Since this filter smoothes the vertical profile and thus can have a strong influence on the vertical mixing processes, this vertical filter has been de-activated for sediments.

8.1.3 Effect of sediment on fluid density

The effect of sediment on fluid density is not implemented in D-Flow FM yet.

8.1.4 Sediment settling velocity

The settling velocity $w_s^{(\ell)}$ for sand and mud are strongly different in formulation; see Sections 8.2.1 and 8.3.1 for details. In high concentration mixtures, the settling velocity of a single particle is reduced due to the presence of other particles. In order to account for this hindered settling effect we follow Richardson and Zaki (1954) and determine the settling velocity in a fluid-sediment mixture as a function of the sediment concentration and the non-hindered settling fall velocity:

$$w_s^{(\ell)} = \left(1 - \frac{c_s^{tot}}{C_{soil}}\right)^5 w_{s,0}^{(\ell)}. \tag{8.2}$$

where C_{soil} is the reference density (input parameter), $w_{s,0}$ is the 'basic' sediment fraction specific settling velocity. The total mass concentration c_m^{tot} is the sum of the mass concentrations of the sediment fractions:

$$c_m^{tot} = \sum_{\ell=1}^{lsed} c_s^{(\ell)}. \tag{8.3}$$

As the fall velocity is now a function of the sediment fractions concentration, this implies that each sediment fraction has a fall velocity which is a function of location and time.

Remark:

- ◇ The process of sediment settling is computed with a first-order upwind numerical scheme. While use of the upwind settling formulation does slightly under-predict the mass of sediment settling, the magnitude of this error has been shown to be rather small (Lesser *et al.*, 2000).

8.1.5 Dispersive transport

The eddy diffusivities $\varepsilon_{s,x}^{(\ell)}$, $\varepsilon_{s,y}^{(\ell)}$ and $\varepsilon_{s,z}^{(\ell)}$ depend on the flow characteristics (turbulence level, taking into account the effect of high sediment concentrations on damping turbulent exchange processes) and the influence of waves (due to wave induced currents and enhanced bottom shear stresses). D-Flow FM supports four so-called "turbulence closure models":

1 Constant coefficient.
2 Algebraic eddy viscosity closure model.
3 k-ε turbulence closure model.
4 k-τ turbulence closure model (β-functionality).

The first is a simple constant value which is specified by you. A constant eddy viscosity will lead to parabolic vertical velocity profiles (laminar flow). The other three turbulence closure models are based on the eddy viscosity concept of Kolmogorov (1942) and Prandtl (1945) and offer zero, first, and second order closures for the turbulent kinetic energy (k) and for the mixing length (L). All three of the more advanced turbulence closure models take into account the effect that a vertical density gradient has on damping the amount of vertical turbulent mixing. See the D-Flow FM User Manual for a full description of the available turbulence closure models.

The output of a turbulence closure model is the eddy viscosity at each layer interface; from this the vertical sediment mixing coefficient is calculated:

$$\varepsilon_s^{(\ell)} = \beta \varepsilon_f, \tag{8.4}$$

where:

$\varepsilon_s^{(\ell)}$	vertical sediment mixing coefficient for the sediment fraction (ℓ)
β	non-cohesive sediment: Van Rijn's 'beta' factor or effective 'beta' factor.
	cohesive sediment fractions and fine sand ($< 150\ \mu$m): 1.0.
ε_f	vertical fluid mixing coefficient calculated by the selected turbulence model.

Remarks:

- For cohesive sediment fractions the extra turbulent mixing due to waves is not yet included in the eddy diffusivity. This is a limitation of the present implementation. See also section 8.2.2.
- For non-cohesive sediment the effect of waves is accounted for by using a modified or effective 'beta' factor of Van Rijn (k-ε model) or by using a separate formula to compute ε_f (algebraic or k-L) model. See also section 8.3.2.

8.1.6 Three-dimensional wave effects

Note: The three-dimensional sediment transport is not implemented in D-Flow FM yet.

These effects are important when computing the transport of sediment in wave and current situations; see Sections 8.2.5 and 8.3.4 for full details regarding their effect on cohesive and non-cohesive sediments respectively.

8.1.7 Initial and boundary conditions

To solve Equation (8.1) you need to prescribe initial and boundary conditions for each suspended sediment fraction.

8.1.7.1 Initial condition

The initial conditions for the sediment fractions are handled in exactly the same manner as those for any other conservative constituent, i.e. you can specify:

- ◇ One global initial concentration for each sediment fraction.
- ◇ Space-varying initial concentrations read from a restart file generated by a previous run.
- ◇ Space-varying initial concentrations read from a user-defined input file.

In these options cohesive and non-cohesive sediment fractions are treated in the same way.

In many practical applications the non-cohesive sediment concentrations adapt very rapidly to equilibrium conditions, so in the case of a cold start where the hydrodynamic model also takes some time to stabilise, a uniform zero concentration for the non-cohesive sediment fractions is usually adequate.

8.1.7.2 Boundary conditions

For each of the model boundaries you must prescribe the boundary condition for each sediment fraction. We discuss in short the general type of conditions and refer for the details to the sections to follow.

Water surface boundary

The vertical diffusive flux through the free surface is set to zero for all conservative constituents (except heat, which can cross this boundary). This is left unchanged for suspended sediment.

$$-w_s^{(\ell)} c^{(\ell)} - \varepsilon_{s,z}^{(\ell)} \frac{\partial c^{(\ell)}}{\partial z} = 0, \quad \text{at } z = \zeta \tag{8.5}$$

where $z = \zeta$ is the location of the free surface.

Bed boundary condition

The exchange of material in suspension and the bed is modelled by calculating the sediment fluxes from the bottom computational layer to the bed, and vice versa. These fluxes are then applied to the bottom computational layer by means of a sediment source and/or sink term in each computational cell. The calculated fluxes are also applied to the bed in order to update the bed level. The boundary condition at the bed is given by:

$$-w_s^{(\ell)} c^{(\ell)} - \varepsilon_{s,z}^{(\ell)} \frac{\partial c^{(\ell)}}{\partial z} = D^{(\ell)} - E^{(\ell)}, \quad \text{at } z = z_b \tag{8.6}$$

where:

$D^{(\ell)}$	sediment deposition rate of sediment fraction (ℓ).
$E^{(\ell)}$	sediment erosion rate of sediment fraction (ℓ).

The formulations of $D^{(\ell)}$ and $E^{(\ell)}$ strongly differ for cohesive and non-cohesive sediment; for the details you are referred to Sections 8.2.3 and 8.3.4 respectively.

Open inflow boundaries

D-Flow FM requires you to specify boundary conditions for all conservative constituents at all open inflow boundaries. When modelling in three dimensions you may choose to specify boundary concentrations that have a uniform, linear, or step distribution over the vertical. You may also choose to specify a “Thatcher-Harleman” return time to simulate the re-entry of material that flowed out of the model after the flow reverses direction.

All of these options are also available for sediment constituents, although they are probably more appropriate for fine, cohesive sediment than for sand-sized particles. To assist with modelling coarser material an additional option has been included. This option allows you to specify that, at all open inflow boundaries, the flow should enter carrying all “sand” sediment fractions at their “equilibrium” concentration profiles. This feature has been implemented as a Neumann boundary condition, that is, zero concentration gradient at the boundary. By setting the sediment concentrations at the boundary equal to those just inside model domain, a near-perfectly adapted flow will enter the domain and very little accretion or erosion should be experienced near the model boundaries. This will generally be the desired situation if the model boundaries are well chosen. This feature can be activated for sand and mud fraction separately by setting `NeuBcSand` (previously, `EqmBc`) and/or `NeuBcMud` to true in the morphology input file.

Open outflow boundaries

No boundary condition is prescribed at outflow boundaries; effectively this means that the dispersive transport of sediment at the outflow boundary is neglected compared to the advective transport.

8.2 Cohesive sediment

Note: The cohesive sediment is not yet implemented in D-Flow FM.

8.2.1 Cohesive sediment settling velocity

In salt water cohesive sediment tends to flocculate to form sediment "flocs", with the degree of flocculation depending on the salinity of the water. These flocs are much larger than the individual sediment particles and settle at a faster rate. In order to model this salinity dependency you must supply two settling velocities and a maximum salinity. The first velocity, `WS0`, is taken to be the settling velocity of the sediment fraction in fresh water (salinity = 0). The second velocity, `WSM`, is the settling velocity of the fraction in water having a salinity equal to `SALMAX`. The settling velocity of the sediment flocs is calculated as follows:

$$w_{s,0}^{(\ell)} = \begin{cases} \frac{w_{s,\max}^{(\ell)}}{2}\left(1-\cos(\frac{\pi S}{S_{\max}})\right) + \frac{w_{s,f}^{(\ell)}}{2}\left(1+\cos(\frac{\pi S}{S_{\max}})\right), & \text{when } S \le S_{\max} \\ w_{s,\max}^{(\ell)}, & \text{when } S > S_{\max} \end{cases} \tag{8.7}$$

where:

$w_{s,0}^{(\ell)}$	the (non-hindered) settling velocity of sediment fraction (ℓ)
$w_{s,\max}^{(\ell)}$	WSM, settling velocity of sediment fraction (ℓ) at salinity concentration SALMAX
$w_{s,f}^{(\ell)}$	WS0, fresh water settling velocity of sediment fraction (ℓ)
S	salinity
$S_{\max}$	SALMAX, maximal salinity at which WSM is specified

Remarks:

- ◇ Modelling turbulence induced flocculation or the break-up of sediment flocs is not yet implemented.
- ◇ The influence of flocculation is disregarded by setting WSM = WS0.

8.2.2 Cohesive sediment dispersion

The vertical mixing coefficient for sediment is equal to the vertical fluid mixing coefficient calculated by the selected turbulence closure model, i.e.:

$$\varepsilon_s^{(\ell)} = \varepsilon_f, \tag{8.8}$$

where:

$\varepsilon_s^{(\ell)}$	vertical sediment mixing coefficient for sediment fraction (ℓ)
ε_f	vertical fluid mixing coefficient calculated by the selected turbulence closure model

8.2.3 Cohesive sediment erosion and deposition

For cohesive sediment fractions the fluxes between the water phase and the bed are calculated with the well-known Partheniades-Krone formulations (Partheniades, 1965):

$$E^{(\ell)} = M^{(\ell)} S\left(\tau_{cw}, \tau_{cr,e}^{(\ell)}\right), \tag{8.9}$$

$$D^{(\ell)} = w_s^{(\ell)} c_b^{\ell} S\left(\tau_{cw}, \tau_{cr,d}^{(\ell)}\right), \tag{8.10}$$

$$c_b^{(\ell)} = c^{(\ell)}\left(z = \frac{\Delta z_b}{2}, t\right), \tag{8.11}$$

where:

$E^{(\ell)}$	erosion flux [kg m^{-2} s^{-1}]
$M^{(\ell)}$	user-defined erosion parameter EROUNI [kg m^{-2} s^{-1}]
$S\left(\tau_{cw}, \tau_{cr,e}^{(\ell)}\right)$	erosion step function:

$$S\left(\tau_{cw}, \tau_{cr,e}^{(\ell)}\right) = \begin{cases} \left(\dfrac{\tau_{cw}}{\tau_{cr,e}^{(\ell)}} - 1\right), & \text{when } \tau_{cw} > \tau_{cr,e}^{(\ell)}, \\ 0, & \text{when } \tau_{cw} \leq \tau_{cr,e}^{(\ell)}. \end{cases} \tag{8.12}$$

$D^{(\ell)}$	deposition flux [kg m^{-2} s^{-1}]
$w_s^{(\ell)}$	fall velocity (hindered) [m/s]
$c_b^{(\ell)}$	average sediment concentration in the near bottom computational layer
$S\left(\tau_{cw}, \tau_{cr,d}^{(\ell)}\right)$	deposition step function:

$$S\left(\tau_{cw}, \tau_{cr,d}^{(\ell)}\right) = \begin{cases} \left(1 - \dfrac{\tau_{cw}}{\tau_{cr,d}^{(\ell)}}\right), & \text{when } \tau_{cw} < \tau_{cr,d}^{(\ell)}, \\ 0, & \text{when } \tau_{cw} \geq \tau_{cr,d}^{(\ell)}. \end{cases} \tag{8.13}$$

τ_{cw}	maximum bed shear stress due to current and waves as calculated by the wave-current interaction model selected by the user.
$\tau_{cr,e}^{(\ell)}$	user-defined critical erosion shear stress TCEUNI [N/m^2]

$\tau_{cr,d}^{(\ell)}$ user-defined critical deposition shear stress TCDUNI [N/m^2]

Remark:

- ◇ Superscript (ℓ) implies that this quantity applies to sediment fraction (ℓ).

The calculated erosion or deposition flux is applied to the near bottom computational cell by setting the appropriate sink and source terms for that cell. Advection, particle settling, and diffusion through the bottom of the near bottom computational cell are all set to zero to prevent double counting these fluxes.

8.2.4 Interaction of sediment fractions

The following notes hold only in case of multiple sediment fractions. The formulations given in the previous section have been formulated for uniform cohesive sediment beds. However, often the bed will be made up of a range of sediment types and sizes. In such cases the erosion rate will be affected. If the bed stratigraphy is modelled in detail, it may be assumed that the erosion rate is proportional to the availability of the sediment fraction considered in the top-most layer of the bed stratigraphy. On the other hand if the bed stratigraphy is not explicitly included in the model and only the overall characteristics of the local bed composition is known, one must assume either that the bed composition is almost uniform (in which case the erosion rate can again be assumed to be proportional to the bed composition) or that the cohesive sediment fraction considered forms a layer that covers the other sediment fractions (in this case the erosion rate of the cohesive sediment will not be reduced). The former approach is nowadays the default approach for the online-morphology module, but the latter behaviour may be activated by setting the `OldMudFrac` keyword tot true in the morphology input file.

Remarks:

- ◇ Assuming an erosion rate proportional to the availability of the sediment fraction considered may result in a significant underestimation of the erosion rate if the bed is modelled as a single uniformly mixed layer (default setting) and the mud contents is low.
- ◇ Assuming that the erosion rate is independent of the availability of the sediment fraction considered will lead to an overestimation of the erosion rate. For instance, if the model includes two equal cohesive sediment fractions their total transport rate will be double that of the rate observed in an identical simulation carried out using the total amount of the two sediment fractions in the former simulation.

8.2.5 Influence of waves on cohesive sediment transport

The influence of wave on cohesive sediment is not implemented in D-Flow FM yet.

8.2.6 Inclusion of a fixed layer

If the thickness of the sediment layer becomes small then the erosion flux is reduced by a factor f_{FIXFAC} as defined in section 8.4.4. This reduction factor is related to the formulations implemented for non cohesive sediment transport (see Sections 8.3.5 and 8.4.4 for suspended and bedload transport respectively).

8.2.7 Inflow boundary conditions cohesive sediment

Although it is general good advice to locate the open boundaries sufficiently far away from the area of interest, this is not always possible in long-term simulations. In such cases it is desirable to impose some kind of equilibrium boundary conditions. The mud concentrations are in general more loosely coupled to local morphology than the concentrations of coarser non-cohesive sediment fractions; a unique "equilibrium" concentration (profile) does often not exist due to differences in critical shear stresses for erosion and sedimentation. So, D-Flow FM allows for a different approach. For cohesive material you can specify that, at all open inflow boundaries, the flow should enter carrying the same mud concentration as computed in the interior of the model. This feature is enabled by setting `NeuBcMud` in the morphology input file to true (Neumann boundary condition: concentration gradient perpendicular to open boundary equal to zero). Although this option may sometimes be very useful, one must be careful when applying it: the sediment concentration of the incoming flow may take on any value that does not lead to significant deposition in the first grid cell.

By setting `NeuBcMud = false`, the concentrations to be applied at the inflow boundaries are read from the <∗.bcc> file, which has to be created with the FLOW User Interface. If the parameter is set to true, the values specified in the <∗.bcc> file are overruled.

8.3 Non-cohesive sediment

For the transport of non-cohesive sediment, Van Rijn *et al.* (2000) approach is followed by default. You can also specify a number of other transport formulations (see section 8.5)

8.3.1 Non-cohesive sediment settling velocity

The settling velocity of a non-cohesive (“sand”) sediment fraction is computed following the method of Van Rijn (1993). The formulation used depends on the diameter of the sediment in suspension:

$$w_{s,0}^{(\ell)} = \begin{cases} \dfrac{(s^{(\ell)}-1)gD_s^{(\ell)2}}{18\nu}, & 65\ \mu\text{m} < D_s \leq 100\ \mu\text{m} \\ \dfrac{10\nu}{D_s}\left(\sqrt{1+\dfrac{0.01(s^{(\ell)}-1)gD_s^{(\ell)3}}{\nu^2}}-1\right), & 100\ \mu\text{m} < D_s \leq 1000\ \mu\text{m} \\ 1.1\sqrt{(s^{(\ell)}-1)gD_s^{(\ell)}}, & 1000\ \mu\text{m} < D_s \end{cases} \tag{8.14}$$

where:

$s^{(\ell)}$	relative density $\rho_s^{(\ell)}/\rho_w$ of sediment fraction(ℓ)
$D_s^{(\ell)}$	representative diameter of sediment fraction (ℓ)
ν	kinematic viscosity coefficient of water [m^2/s]

$D_s^{(\ell)}$ is the representative diameter of the suspended sediment given by the user-defined sediment diameter `SEDDIA` (D_{50} of bed material) multiplied by the user-defined factor `FACDSS` (see also remarks). This value of $D_s^{(\ell)}$ will be overruled if `IOPSUS=1` and the transport formula of Van Rijn (1993) has been selected, see section 8.5.2 for details.

Remark:

- In the case of non-uniform bed material Van Rijn (1993) concluded that, on the basis of measurements, $D_s^{(\ell)}$ should be in the range of 60 to 100 % of D_{50} of the bed material.

If the bed material is very widely graded (well sorted) consideration should be given to using several sediment fractions to model its behaviour more accurately.

8.3.2 Non-cohesive sediment dispersion

The output of a turbulence closure model is the eddy viscosity at each layer interface; from this the vertical sediment mixing coefficient is calculated using the following expressions:

8.3.2.1 Using the k-ε turbulence model

In the case of the k-ε turbulence closure model the vertical sediment mixing coefficient can be calculated directly from the vertical fluid mixing coefficient calculated by the turbulence closure model, using the following expression:

$$\varepsilon_s^{(\ell)} = \beta_{eff}^{(\ell)} \varepsilon_f, \tag{8.15}$$

where:

$\varepsilon_s^{(\ell)}$	vertical sediment mixing coefficient of sediment fraction (ℓ)
$\beta_{eff}^{(\ell)}$	the effective Van Rijn's 'beta' factor of sediment fraction (ℓ) As the beta factor should only be applied to the current-related mixing this is estimated as:

$$\beta_{eff}^{(\ell)} = 1 + \left(\beta^{(\ell)} - 1\right) \frac{\tau_c}{\tau_w + \tau_c}, \tag{8.16}$$

	for non-cohesive sediment fractions
$\beta^{(\ell)}$	Van Rijn's 'beta' factor of the sediment fraction (ℓ), Equation (8.17)
τ_c	bed shear stress due to currents
τ_w	bed shear stress due to waves
ε_f	vertical fluid mixing coefficient calculated by the k-ε turbulence closure model

Van Rijn's 'beta' factor is calculated from (Van Rijn, 1984b):

$$\beta^{(\ell)} = 1 + 2 \left(\frac{w_s^{(\ell)}}{u_{*,c}} \right)^2 . \tag{8.17}$$

Where $w_s^{(\ell)}$ is the settling velocity of the non-cohesive sediment fraction, and $u_{*,c}$ is the local bed shear stress due to currents.

This implies that the value of $\beta^{(\ell)}$ is space (and time) varying, however it is constant over the depth of the flow. In addition, due to the limited knowledge of the physical processes involved, we follow Van Rijn (1993) and limit $\beta^{(\ell)}$ to the range $1 < \beta^{(\ell)} < 1.5$.

Remarks:

- In a wave and current situation Van Rijn (1993) applies the β-factor to only the current-related turbulent mixing, whereas we apply it to the total turbulent mixing calculated by the selected turbulence closure model. However, little is known about the dependence of the β-factor on flow conditions; this discrepancy is expected to be of little importance in practical situations.
- The k-ε turbulence closure model has been extended by Walstra *et al.* (2000) to include the three-dimensional effects of waves. However the effect of wave asymmetry on the bedload transport is not yet included.

8.3.2.2 Using the k-τ turbulence model

The k-τ model in combination with sediment transport is not supported in D-Flow FM yet.

8.3.3 Reference concentration

For non-cohesive sediment (e.g. sand), we follow the method of Van Rijn (1993) for the combined effect of waves and currents. The reference height is given by:

$$a = \min\left[\max\left\{\text{AKSFAC}\cdot k_s, \frac{\Delta_r}{2}, 0.01h\right\}, 0.20h\right], \tag{8.18}$$

where:

a	Van Rijn's reference height
AksFac	user-defined proportionality factor (morphology input file)
k_s	user-defined current-related effective roughness height (see options below)
Δ_r	wave-induced ripple height, set to a constant value of 0.025 m
h	water depth

Remark:

- Van Rijn's reference height a is limited to a maximum of 20 % of the water depth. This precaution is only likely to come into effect in very shallow areas.

With the keyword `IOPKCW` you have two options to calculate k_s (and k_w):

- k_s and k_w specified by you (constant in space).
- k_s derived from current-related effective roughness height as determined in the D-Flow FM module (spatially varying) and $k_w = RWAVE \cdot \Delta_r$.

Calculation of the reference concentration

The reference concentration c_a is calculated directly by the sediment transport formula or it is derived from the suspended sediment transport rate given by the sediment transport formula as $c_a = S_s/H_u$. The default transport formula (Van Rijn, 1993) includes a formula for the reference concentration (see section 8.5.2). The reference concentration is adjusted proportional to the relative availability of the sediment fraction in the top-layer of the bed (see section 8.6.4 on bed composition models).

Remark:

- The reference concentration and therefore the suspended load can be calibrated using the keyword `Sus` in the morphology input file.

8.3.4 Non-cohesive sediment erosion and deposition

The transfer of sediment between the bed and the flow is modelled using sink and source terms acting on the near-bottom layer that is entirely above Van Rijn's reference height. This layer is identified as the reference layer and for brevity is referred to as the kmx-layer; see Figure 8.1.

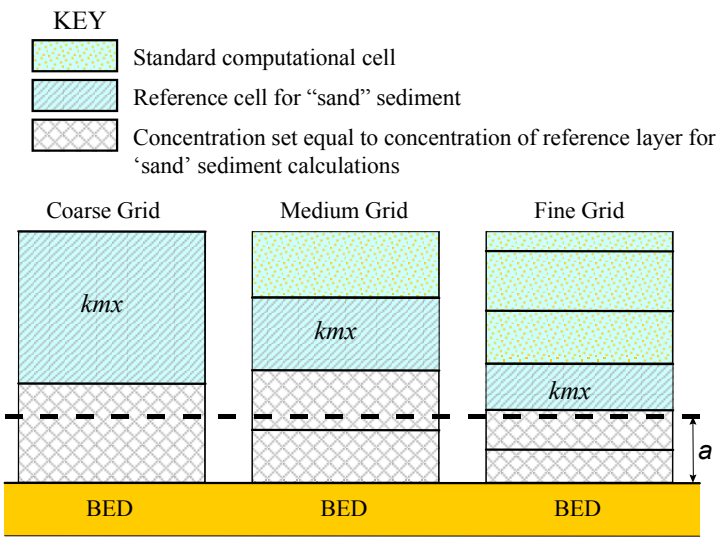

Figure 8.1: *Selection of the kmx layer; where a is Van Rijn's reference height*

The sediment concentrations in the layer(s) that lie below the kmx layer are assumed to rapidly adjust to the same concentration as the reference layer.

Each half time-step the source and sink terms model the quantity of sediment entering the flow due to upward diffusion from the reference level and the quantity of sediment dropping out of the flow due to sediment settling. A sink term is solved implicitly in the advection-diffusion equation, whereas a source term is solved explicitly. The required sink and source terms for the kmx layer are calculated as follows.

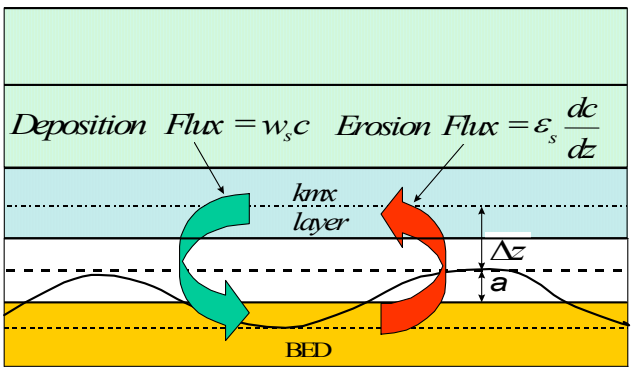

Figure 8.2: *Schematic arrangement of flux bottom boundary condition*

In order to determine the required sink and source terms for the *kmx* layer, the concentration and concentration gradient at the bottom of the *kmx* layer need to be approximated. We assume a standard Rouse profile between the reference level a and the centre of the *kmx*

layer (see Figure 8.3).

$$c^{(\ell)} = c_a^{(\ell)} \left(\frac{a(h-z)}{z(h-a)} \right)^{A^{(\ell)}} , \tag{8.19}$$

where:

$c^{(\ell)}$	concentration of sediment fraction (ℓ)
$c_a^{(\ell)}$	reference concentration of sediment fraction (ℓ)
a	Van Rijn's reference height
h	water depth
z	elevation above the bed
$A^{(\ell)}$	Rouse number

As the reference concentration and the concentration in the centre of the *kmx* layer c_{kmx} are known, the exponent $A(\ell)$ can be determined.

$$c_{kmx}^{(\ell)} = c_a^{(\ell)} \left(\frac{a(h-z_{kmx})}{z_{kmx}(h-a)} \right)^{A^{(\ell)}} \Rightarrow A^{(\ell)} = \frac{\ln\left(\frac{c_{kmx}}{c_a}\right)}{\ln\left(\frac{a(h-z_{kmx})}{z_{kmx}(h-a)}\right)} \tag{8.20}$$

The concentration at the bottom of the *kmx* layer is:

$$c_{kmx(bot)}^{(\ell)} = c_a^{(\ell)} \left(\frac{a(h-z_{kmx(bot)})}{z_{kmx(bot)}(h-a)} \right)^{A^{(\ell)}} \tag{8.21}$$

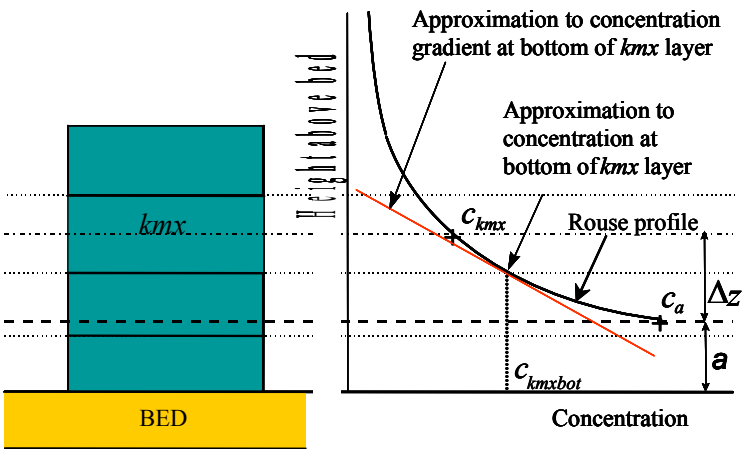

Figure 8.3: *Approximation of concentration and concentration gradient at bottom of kmx layer*

We express this concentration as a function of the known concentration c_{kmx} by introducing a correction factor α_1:

$$c_{kmx(bot)}^{(\ell)} = \alpha_1^{(\ell)} c_{kmx}^{(\ell)} \tag{8.22}$$

The concentration gradient of the Rouse profile is given by:

$$\frac{\partial c^{(\ell)}}{\partial z} = A^{(\ell)} c_a^{(\ell)} \left(\frac{a(h-z)}{z(h-a)} \right)^{A^{(\ell)}-1} \cdot \left(\frac{-ah}{z^2(h-a)} \right) \tag{8.23}$$

The concentration gradient at the bottom of the *kmx* layer is:

$$c'^{(\ell)}_{kmx(bot)} = A^{(\ell)} c_a^{(\ell)} \left(\frac{a(h - z_{kmx(bot)})}{z_{kmx(bot)}(h-a)} \right)^{A^{(\ell)}-1} \cdot \left(\frac{-ah}{z^2_{kmx(bot)}(h-a)} \right) \tag{8.24}$$

We express this gradient as a function of the known concentrations c_a and c_{kmx} by introducing another correction factor α_2:

$$c'^{(\ell)}_{kmx(bot)} = \alpha_2^{(\ell)} \left(\frac{c^{(\ell)}_{kmx} - c_a^{(\ell)}}{\Delta z} \right) \tag{8.25}$$

Erosive flux due to upward diffusion

The upward diffusion of sediment through the bottom of the *kmx* layer is given by the expression:

$$E^{(\ell)} = \varepsilon_s^{(\ell)} \frac{\partial c^{(\ell)}}{\partial z}, \tag{8.26}$$

where $\varepsilon_s^{(\ell)}$ and $\frac{\partial c^{(\ell)}}{\partial z}$ are evaluated at the bottom of the *kmx* layer.

We approximate this expression by:

$$E^{(\ell)} \approx \alpha_2^{(\ell)} \varepsilon_s^{(\ell)} \left(\frac{c_a^{(\ell)} - c^{(\ell)}_{kmx}}{\Delta z} \right), \tag{8.27}$$

where:

$\alpha_2^{(\ell)}$	correction factor for sediment concentration
$\varepsilon_s^{(\ell)}$	sediment diffusion coefficient evaluated at the bottom of the kmx cell of sediment fraction(ℓ)
$c_a^{(\ell)}$	reference concentration of sediment fraction(ℓ)
$c^{(\ell)}_{kmx}$	average concentration of the kmx cell of sediment fraction(ℓ)
Δz	difference in elevation between the centre of the kmx cell and Van Rijn's reference height: $\Delta z = z_{kmx} - a$

The erosion flux is split in a source and sink term:

$$E^{(\ell)} \approx \frac{\alpha_2^{(\ell)} \varepsilon_s^{(\ell)} c_a^{(\ell)}}{\Delta z} - \frac{\alpha_2^{(\ell)} \varepsilon_s^{(\ell)} c^{(\ell)}_{kmx}}{\Delta z}. \tag{8.28}$$

The first of these terms can be evaluated explicitly and is implemented as a sediment source term. The second can only be evaluated implicitly and is implemented as a (positive) sink term. Thus:

$$Source^{(\ell)}_{erosion} = \frac{\alpha_2^{(\ell)} \varepsilon_s^{(\ell)} c_a^{(\ell)}}{\Delta z} \tag{8.29}$$

$$Sink^{(\ell)}_{erosion} = \frac{\alpha_2^{(\ell)} \varepsilon_s^{(\ell)} c^{(\ell)}_{kmx}}{\Delta z} \tag{8.30}$$

Deposition flux due to sediment settling

The settling of sediment through the bottom of the kmx cell is given by the expression:

$$D^{(\ell)} = w_s^{(\ell)} c_{kmx(bot)}^{(\ell)}, \tag{8.31}$$

where $w_s^{(\ell)}$ and $c_{kmx(bot)}^{(\ell)}$ are evaluated at the bottom of the kmx layer.

We set:

$$c_{kmx(bot)}^{(\ell)} = \alpha_1^{(\ell)} c_{kmx}^{(\ell)}. \tag{8.32}$$

The deposition flux is approximated by:

$$D^{(\ell)} \approx \alpha_1^{(\ell)} c_{kmx}^{(\ell)} w_s^{(\ell)}. \tag{8.33}$$

This results in a simple deposition sink term:

$$Sink_{deposition}^{(\ell)} = \alpha_1^{(\ell)} c_{kmx}^{(\ell)} w_s^{(\ell)}. \tag{8.34}$$

The total source and sink terms is given by:

$$Source^{(\ell)} = \alpha_2^{(\ell)} c_a^{(\ell)} \left(\frac{\varepsilon_s^{(\ell)}}{\Delta z} \right), \tag{8.35}$$

$$Sink^{(\ell)} = \left[\alpha_2^{(\ell)} \left(\frac{\varepsilon_s^{(\ell)}}{\Delta z} \right) + \alpha_1^{(\ell)} w_s^{(\ell)} \right] c_{kmx}^{(\ell)}. \tag{8.36}$$

These source and sink terms are both guaranteed to be positive.

8.3.5 Inclusion of a fixed layer

The bedload transport is reduced if the thickness of the sediment layer becomes small (see section 8.4.4). The same effect has been implemented as a reduction for the entrainment and deposition terms as well as the equilibrium concentration by a factor f_{FIXFAC} if erosion is expected to occur.

8.3.6 Inflow boundary conditions non-cohesive sediment

Although it is general good advice to locate the open boundaries sufficiently far away from the area of interest, this is not always possible in long-term simulations. In such cases it is desirable to impose some kind of equilibrium boundary conditions. Although equilibrium boundary conditions may be better defined for non-cohesive sediments than for cohesive sediments, we have implemented the open boundary condition in a consistent manner. For non-cohesive suspended material you can specify that, at all open inflow boundaries, the flow should enter carrying the same concentration of sediment as computed in the interior of the model. This feature is enabled by setting `NeuBcSand` in the morphology input file to true (Neumann boundary condition: concentration gradient perpendicular to open boundary equal to zero). This means that the sediment load entering through the boundaries will be near-perfectly adapted to the local flow conditions and very little accretion or erosion should

be experienced near the model boundaries. This will generally be the desired situation if the model boundaries are well chosen. This method gives the correct results even when the turbulent mixing profile is clearly non-parabolic.

By setting `NeuBcSand = false`, the concentrations to be applied at the inflow boundaries are read from the <∗.bcc> file, which has to be created with the FLOW User Interface. If the parameter is set to true, the values specified in the <∗.bcc> file are overruled. This parameter used to be called `EqmBc`.

8.4 Bedload sediment transport of non-cohesive sediment

Bedload (or, for the simpler transport formulae, total load) transport is calculated for all "sand" and "bedload" sediment fractions by broadly according to the following approach: first, the magnitude and direction of the bedload transport at the cell centres is computed using the transport formula selected (See section 8.5), subsequently the transport rates at the cell interfaces are determined, corrected for bed-slope effect and upwind bed composition and sediment availability.

8.4.1 Basic formulation

For simulations including waves the magnitude and direction of the bedload transport on a horizontal bed are calculated using the transport formula selected assuming sufficient sediment and ignoring bed composition except for e.g. hiding and exposure effects on the critical shear stresses. The default sediment transport formula is Van Rijn (1993) as documented in section 8.5.2.

Some of the sediment transport formulae prescribe the bedload transport direction whereas others predict just the magnitude of the sediment transport. In the latter case the initial transport direction will be assumed to be equal to the direction of the characteristic (near-bed) flow direction. In the case of a depth-averaged simulation, the secondary flow/spiral flow intensity I_s optionally computed by the flow module may be taken into account; the bedload transport direction φ_τ is given by the following formula:

$$\tan(\varphi_\tau) = \frac{v - \alpha_I \frac{u}{U} I_s}{u + \alpha_I \frac{v}{U} I_s} \tag{8.37}$$

in which

$$\alpha_I = \frac{2}{\kappa^2} E_s \left(1 - \frac{1}{2} \frac{\sqrt{g}}{\kappa C}\right) \tag{8.38}$$

where:

g	gravitational acceleration
κ	Von Kármán constant
C	Chézy roughness
U	the depth-averaged velocity
E_s	coefficient to be specified by you as `Espir` keyword in the morphology input file

The default value of E_s is 0, which implies that the spiral flow effect on the bedload transport direction is not included. The spiral flow effect is of crucial importance in a depth-averaged simulation to get pointbar formation in river bends. This effect is only included for transport formulae that return the bedload transport rate but not its direction, i.e. Engelund & Hansen, Meyer-Peter & Muller, General formula, Van Rijn (1984), Ashida & Michiue and optionally the user-defined formula.

The Van Rijn (1993) formula distinguishes the following transport components that are all treated like bed or total load, i.e. without relaxation effects of an advection diffusion equation:

- bedload due to currents, S_{bc}
- bedload due to waves, S_{bw}
- suspended load due to waves, S_{sw}.

These three transport components can be calibrated independently by using the respective keywords `Bed`, `BedW` and `SusW` in the morphology input file.

8.4.2 Suspended sediment correction vector

The Suspended sediment correction vector is not implemented yet in D-Flow FM.

8.4.3 Interaction of sediment fractions

The following notes hold only in case of multiple sediment fractions. Sediment fractions may interacted in several ways:

- reference concentrations, erosion rates and sediment transport rates will be reduced proportional to the availability of sediment fraction considered in the bed (less of the fraction available for transport)
- sediment fractions of different sizes influence each other by means of hiding and exposure: fine sediments hide among coarse sediments and are thereby partly shielded from the main flow while the coarser sediments are more exposed than they would be among other sediments of the same size. This effect is taken into account by increasing the effective critical shear stress for fine sediments while lowering it for coarse sediments. This adjustment is carried out using a multiplicative factor ξ. The following formulations have been implemented:
  - No hiding and exposure correction ($\xi = 1$)
  - Egiazaroff formulation

$$\xi = \left(\frac{{}^{10}\log 19}{{}^{10}\log 19 + {}^{10}\log\left(D_i/D_m\right)} \right)^2 . \tag{8.39}$$

  - Ashida & Michiue formulation

$$\xi = \begin{cases} 0.8429 \frac{D_m}{D_i} & \text{if } D_i/D_m < 0.38889 \\ \left(\frac{{}^{10}\log 19}{{}^{10}\log 19 + {}^{10}\log\left(D_i/D_m\right)} \right)^2 & \text{otherwise} \end{cases} . \tag{8.40}$$

  - Parker, Klingeman & McLean or Soehngen, Kellermann & Loy formulation

$$\xi = \left(\frac{D_m}{D_i} \right)^{\alpha} . \tag{8.41}$$

where α is given by the `ASKLHE` keyword in the morphology input file.

  - Wu, Wang & Jia formulation

$$\varphi^{(\ell)} = \sum_i \eta^{(i)} \frac{D^{(i)}}{D^{(\ell)} - D^{(i)}} \tag{8.42}$$

$$\xi^{(\ell)} = \left(\frac{1 - \varphi^{(\ell)}}{\varphi^{(\ell)}} \right)^m \tag{8.43}$$

where m is given by the `MWWJHE` keyword in the morphology input file.

The hiding and exposure effect has been implemented for the following transport formulae containing a critical shear stress: Meyer-Peter & Muller, general formula, Ashida-Michiue and optionally the user-defined formula.

8.4.4 Inclusion of a fixed layer

Inclusion of a fixed layer implies that the quantity of sediment at the bed is finite and may, if excessive erosion occurs, become exhausted and be unavailable to supply sediment to suspended and bedload transport modes. In case the bed is covered by bedforms, the troughs of the bedforms will start to expose the non-erodible layer before sediment runs out completely. This results in a gradual reduction of the transport capacity over a certain sediment thickness indicated by THRESH. This effect is taken into account in the bedload formulations by comparing the thickness of the sediment layer available at the bed with a user-defined threshold value. If the quantity of sediment available is less than the threshold then the magnitude of the calculated bedload transport vector is reduced as follows:

$$S_b'' = f_{\text{FIXFAC}} S_b'', \tag{8.44}$$

where:

S_b''	magnitude of the bedload transport vector (before correction for bed slope effects)
f_{FIXFAC}	upwind fixed layer proximity factor: $f_{\text{FIXFAC}} = \frac{\text{DPSED}}{\text{THRESH}}$, limited to the range $0 \leq f_{\text{FIXFAC}} \leq 1$.
DPSED	depth of sediment available at the bed
THRESH	user-defined erosion threshold

The equilibrium suspended load concentration in the sediment pickup term is reduced by the same fixed layer proximity factor (in this case of course the local value and not some upwind value is used since suspended sediment pickup has no associated horizontal direction).

In effect, because of the upwind approach used to transfer the bedload transport components to the velocity points, this method limits the sediment that can leave a computational cell, if the quantity of the sediment at the bed is limited. One implication of the use of this rather simple approach is that a finite (although always less than the user-defined threshold) thickness of sediment is required at the bed if a non-zero magnitude of the bedload transport vector is required.

Remarks:

- ◇ Areas may be initially specified as containing zero bottom sediment if non-erodible areas are required. It is likely that these areas will accrete a little sediment in order to allow an equilibrium bedload transport pattern to develop.
- ◇ This effect has also been included for cohesive and non cohesive suspended sediment as indicated in section 8.2 and section 8.3.5.

8.4.5 Calculation of bedload transport at open boundaries

Bedload transport at open boundaries is not implemented yet.

8.4.6 Bedload transport at velocity points

As the control volume for bed level change calculations is centred on the water level points, see Figure 8.4, the bedload transport vector components are actually required at the velocity points, rather than at the water level points where S_x and S_y are calculated. By default, we use a simple “upwind” numerical scheme to set the bedload transport components at the velocity points as this ensures that the bed will remain stable. For each active velocity point the upwind direction is determined by summing the bedload transport components at the water level points on either side of the velocity point and taking the upwind *direction* relative to the resulting net transport direction. The bedload transport component at the velocity point is then set equal to the component computed at the water level point immediately "upwind" (see Figure 8.4). In the example shown in Figure 8.4 the bedload transport normal component on the velocity point, S_u^1, is set equal to S_n^1, where S_n^1 is the projection of bedload flux vector at point 1 in the normal direction of the corresponding velocity face. Based on the same method, the component S_u^2 is set equal to S_n^2. It is possible to switch from upwind to central approach by setting the `UpwindBedload` keyword in the morphology input file to false; although the central approach is more accurate, it is less stable (less damping).

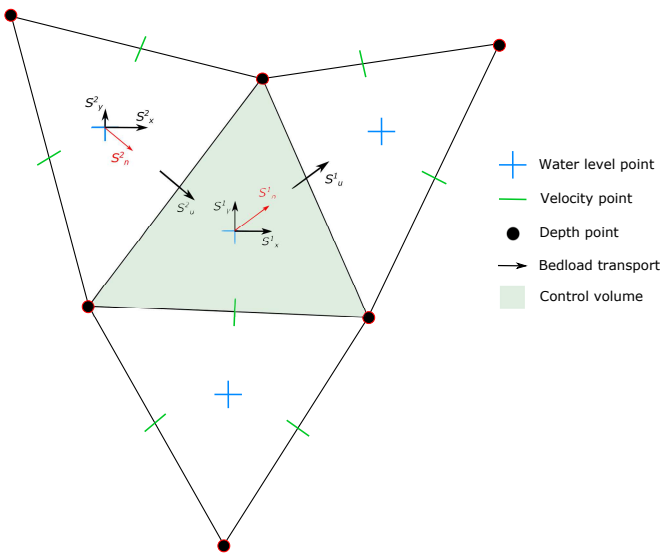

Figure 8.4: *Setting of bedload transport components at velocity points*

8.4.7 Adjustment of bedload transport for bed-slope effects

Bedload transport is affected by bed level gradients. Two bed slope directions are distinguished: the slope in the initial direction of the transport (referred to as the longitudinal bed slope) and the slope in the direction perpendicular to that (referred to as the transverse bed slope). The longitudinal bed slope results in a change in the sediment transport rate as given by:

$$\vec{S'}_b = \alpha_s \vec{S''}, \tag{8.45}$$

or, in vector component form:

$$S'_{b,x} = \alpha_s S''_{b,x}, \tag{8.46}$$

$$S'_{b,y} = \alpha_s S''_{b,y}, \tag{8.47}$$

whereas the primary effect of the transverse bed slope is a change in transport towards the downslope direction (this may be accomplished by either a pure rotation of the transport vector or by adding a transverse transport component). You may choose one of the following formulations for these effects.

1 no effect of bed slope on bedload transport
2 Bagnold (1966) for longitudinal slope and Ikeda (1982, 1988) as presented by Van Rijn (1993) for transverse slope. This is the default option for the bedload transport of all sediment transport formulae. In this case α_s is given by

$$\alpha_s = 1 + \alpha_{bs} \left(\frac{\tan(\phi)}{\cos\left(\tan^{-1}\left(\frac{\partial z}{\partial s}\right)\right)\left(\tan(\phi) + \frac{\partial z}{\partial s}\right)} - 1 \right), \tag{8.48}$$

where α_{bs} is a user-defined tuning parameter, `ALFABS` keyword in the morphology input file (default = 1.0). An additional bedload transport vector is subsequently calculated, perpendicular to the main bedload transport vector. The magnitude of this vector is calculated using a formulation based on the work of Ikeda (1982, 1988) as presented by Van Rijn (1993). Van Rijn's equation (7.2.52) is modified to Equation (8.49) by setting the reference co-ordinates s and n aligned with and perpendicular to the local characteristic flow direction respectively. This implies that there is no flow in the n direction: i.e. $u_{b,n} = 0$:

$$S_{b,n} = |S'_b|\, \alpha_{bn} \frac{u_{b,cr}}{|\vec{u}_b|} \frac{\partial z_b}{\partial n}, \tag{8.49}$$

where:

$S_{b,n}$	additional bedload transport vector. The direction of this vector is normal to the unadjusted bedload transport vector, in the down slope direction
$\lvert S'_b \rvert$	magnitude of the unadjusted bedload transport vector (adjusted for longitudinal bed slope only): $\lvert S'_b \rvert = \sqrt{\left(S'_{b,x}\right)^2 + \left(S'_{b,y}\right)^2}$.
α_{bn}	user-defined coefficient, ALFABN (default = 1.5)
$u_{b,cr}$	critical (threshold) near-bed fluid velocity
$\vec{u}_b$	near-bed fluid velocity vector
$\frac{\partial z_b}{\partial n}$	bed slope in the direction normal to the unadjusted bedload transport vector

To evaluate Equation (8.49) we substitute:

$$\frac{u_{b,cr}}{|\vec{u}_b|} = \sqrt{\frac{\tau_{b,cr}}{|\vec{\tau}_b|}}, \tag{8.50}$$

where:

$\tau_{b,cr}$	critical bed shear stress
$\vec{\tau}_b$	bed shear stress due to current and waves: $\vec{\tau}_b = \mu_c \vec{\tau}_{b,cw} + \mu_w \vec{\tau}_{b,w}$.

resulting in:

$$S_{b,n} = |S'_b|\, f_{norm}, \tag{8.51}$$

where:

$$f_{norm} = \alpha_{bn} \sqrt{\frac{\tau_{b,cr}}{|\vec{\tau}_b|}} \frac{\partial z_b}{\partial n}. \tag{8.52}$$

The two components of this vector are then added to the two components of the bedload transport vector as follows:

$$\begin{aligned} S_{b,x} &= S'_{b,x} - S'_{b,y} f_{norm} \\ S_{b,y} &= S'_{b,y} + S'_{b,x} f_{norm} \end{aligned} \tag{8.53}$$

where $S_{b,x}$ and $S_{b,y}$ are the components of the required bedload transport vector, calculated at the water level points

3 Koch and Flokstra (1980) as extended by Talmon *et al.* (1995). In this case α_s is given by

$$\alpha_s = 1 - \alpha_{bs} \frac{\partial z}{\partial s}, \tag{8.54}$$

where α_{bs} is a user-defined tuning parameter, `ALFABS` keyword in the morphology input file (default = 1.0). The direction of the bedload is adjusted according to the following formulation:

$$\tan(\varphi_s) = \frac{\sin(\varphi_\tau) + \frac{1}{f(\theta)} \frac{\partial z_b}{\partial y}}{\cos(\varphi_\tau) + \frac{1}{f(\theta)} \frac{\partial z_b}{\partial x}}, \tag{8.55}$$

in which φ_τ is the original direction of the sediment transport and φ_s is the final direction and where $f(\theta)$ equals:

$$f(\theta) = A_{sh} \theta_i^{B_{sh}} \left(\frac{D_i}{H} \right)^{C_{sh}} \left(\frac{D_i}{D_m} \right)^{D_{sh}}, \tag{8.56}$$

where A_{sh}, B_{sh}, C_{sh} and D_{sh} are tuning coefficients specified by you in the morphology input file as keywords `Ashld`, `Bshld`, `Cshld` and `Dshld`.

4 Parker and Andrews (1985). The same formulae for α_s and φ_s hold as in the previous case except for $f(\theta)$ which now equals:

$$f(\theta) = \frac{c_L}{1 + \mu c_L} \sqrt{\frac{\theta}{\max\left(\frac{1}{10}\theta, \xi\theta_{cr}\right)}}, \tag{8.57}$$

where Coulomb friction parameter c_L, lift-drag ratio μ and critical shields parameter θ_{cr} should be specified by you in the morphology input file as keywords `CoulFri`, `FlFdRat` and `ThetaCr`. Note that this formula includes the hiding and exposure factor ξ.

This completes the calculation of the bedload transport field. The transports at the velocity points are then stored for use in the computation of bed level changes, as described in the section 8.6. In all cases the bed slope has been defined as follows.

Longitudinal bed slope

This bed slope is calculated as:

$$\frac{\partial z_b}{\partial s} = \frac{\partial z_{(u)}}{\partial x} \frac{S''_{b,x}}{|S''_b|} + \frac{\partial z_{(v)}}{\partial y} \frac{S''_{b,y}}{|S''_b|}, \tag{8.58}$$

$$\left(\frac{\partial z_b}{\partial s} \right)_{\max} = 0.9 \tan(\phi), \tag{8.59}$$

where:

$\frac{\partial z_b}{\partial s}$	bed slope in the direction of bedload transport
$\frac{\partial z_{(u)}}{\partial x}$	bed slope in the positive x-direction
$\frac{\partial z_{(v)}}{\partial y}$	bed slope in the positive y-direction
ϕ	internal angle of friction of bed material (assumed to be $30°$)

Remarks:

- z_b is the depth down to the bed from a reference level (positive down), a downward bed slope returns a positive value).

Table 8.1: *Additional transport relations*

Formula	Bedload	Waves
8.5.1, Van Rijn (2007)	Bedload + suspended	Yes
8.5.2, Van Rijn (1993)	Bedload + suspended	Yes
8.5.3, Engelund-Hansen (1967)	Total transport	No
8.5.4, Meyer-Peter-Muller (1948)	Total transport	No
8.5.5, General formula	Total transport	No
8.5.6, Bijker (1971)	Bedload + suspended	Yes
8.5.7, Van Rijn (1984)	Bedload + suspended	No
8.5.8, Soulsby/Van Rijn	Bedload + suspended	Yes
8.5.9, Soulsby	Bedload + suspended	Yes
8.5.10, Ashida-Michiue (1974)	Total transport	No
8.5.11, Wilcock-Crowe (2003)	Bedload	No
8.5.12, Gaeuman et al. (2009) laboratory calibration	Bedload	No
8.5.13, Gaeuman et al. (2009) Trinity River calibration	Bedload	No

◇ The bed slope is calculated at the velocity points as these are the locations at which the bedload transport vector components will finally be applied.

Transverse bed slope

This bed slope is calculated as:

$$\frac{\partial z_b}{\partial n} = -\frac{\partial z_{(u)}}{\partial x}\frac{S''_{b,y}}{|S''_b|} + \frac{\partial z_{(v)}}{\partial y}\frac{S''_{b,x}}{|S''_b|}. \tag{8.60}$$

8.5 Transport formulations for non-cohesive sediment

This special feature offers a number of standard sediment transport formulations for non-cohesive sediment. Table 8.1 gives a summary of the available additional formulae.

Additionally, you can implement your own sediment transport formula in a shared library (<dll> or <so>) and call it from D-Flow FM. Now, let us continue with a general description of the sediment transport formulae included by default.

8.5.1 Van Rijn (2007)

Description of Van Rijn (2007) to be added.

8.5.2 Van Rijn (1993)

Van Rijn (1993) distinguishes between sediment transport below the reference level a which is treated as bedload transport and that above the reference level which is treated as suspended-load. Sediment is entrained in the water column by imposing a reference concentration at the reference level.

Reference concentration
The reference concentration is calculated in accordance with Van Rijn *et al.* (2000) as:

$$c_a^{(\ell)} = 0.015\rho_s^{(\ell)}\frac{D_{50}^{(\ell)}\left(T_a^{(\ell)}\right)^{1.5}}{a\left(D_*^{(\ell)}\right)^{0.3}} \tag{8.61}$$

where:

$c_a^{(\ell)}$ mass concentration at reference level a

In order to evaluate this expression the following quantities must be calculated:

$D_*^{(\ell)}$ non-dimensional particle diameter:

$$D_*^{(\ell)} = D_{50}^{(\ell)} \left[\frac{(s^{(\ell)} - 1)g}{\nu^2} \right]^{1/3} \tag{8.62}$$

$T_a^{(\ell)}$ non-dimensional bed-shear stress:

$$T_a^{(\ell)} = \frac{(\mu_c^{(\ell)} \tau_{b,cw} + \mu_w^{(\ell)} \tau_{b,w}) - \tau_{cr}^{(\ell)}}{\tau_{cr}^{(\ell)}} \tag{8.63}$$

$\mu_c^{(\ell)}$ efficiency factor current:

$$\mu_c^{(\ell)} = \frac{f'^{(\ell)}_c}{f_c} \tag{8.64}$$

$f'^{(\ell)}_c$ gain related friction factor:

$$f'^{(\ell)}_c = 0.24 \left[{}^{10}\log \left(\frac{12h}{3D_{90}^{(\ell)}} \right) \right]^{-2} \tag{8.65}$$

$f_c^{(\ell)}$ total current-related friction factor:

$$f_c^{(\ell)} = 0.24 \left[{}^{10}\log \left(\frac{12h}{k_s} \right) \right]^{-2} \tag{8.66}$$

$\tau_{b,cw}$ bed shear stress due to current in the presence of waves. Note that the bed shear velocity u_* is calculated in such a way that Van Rijn's wave-current interaction factor α_{cw} is not required.

$$\tau_{b,cw} = \rho_w u_*^2 \tag{8.67}$$

$\mu_w^{(\ell)}$ efficiency factor waves:

$$\mu_w^{(\ell)} = \max \left(0.063, \frac{1}{8} \left(1.5 - \frac{H_s}{h} \right)^2 \right) \tag{8.68}$$

$\tau_{b,w}$ bed shear stress due to waves:

$$\tau_{b,w} = \frac{1}{4} \rho_w f_w \left(\widehat{U}_\delta \right)^2 \tag{8.69}$$

f_w total wave-related friction factor:

$$f_w = \exp \left[-6 + 5.2 \left(\frac{\hat{A}_\delta}{k_{s,w}} \right)^{-0.19} \right] \tag{8.70}$$

To avoid the need for excessive user input, the wave related roughness $k_{s,w}$ is related to the estimated ripple height, using the relationship:

$$k_{s,w} = RWAVE \cdot \Delta_r, \text{ with } \Delta_r = 0.025 \text{ and } 0.01 \text{ m} \leq k_{s,w} \leq 0.1 \text{ m} \tag{8.71}$$

where:

$RWAVE$ the user-defined wave roughness adjustment factor. Recommended to be in the range 1–3, default = 2.

$\tau_{cr}^{(\ell)}$ critical bed shear stress:

$$\tau_{cr}^{(\ell)} = (\rho_s^{(\ell)} - \rho_w) g D_{50}^{(\ell)} \theta_{cr}^{(\ell)} \tag{8.72}$$

$\theta_{cr}^{(\ell)}$ threshold parameter $\theta_{cr}^{(\ell)}$ is calculated according to the classical Shields curve as modelled by Van Rijn (1993) as a function of the non-dimensional grain size D_*. This avoids the need for iteration.

Note: for clarity, in this expression the symbol D_* has been used where $D_*^{(\ell)}$ would be more correct:

$$\theta_{cr}^{(\ell)} = \begin{cases} 0.24 D_*^{-1}, & 1 < D_* \leq 4 \\ 0.14 D_*^{-0.64}, & 4 < D_* \leq 10 \\ 0.04 D_*^{-0.1}, & 10 < D_* \leq 20 \\ 0.013 D_*^{0.29}, & 20 < D_* \leq 150 \\ 0.055, & 150 < D_* \end{cases} \tag{8.73}$$

a Van Rijn's reference level

$\hat{A}_\delta$ peak orbital excursion at the bed: $\hat{A}_\delta = \frac{T_p \hat{U}_\delta}{2\pi}$.

$D_{50}^{(\ell)}$ median sediment diameter

$D_{90}^{(\ell)}$ 90 % sediment passing size: $D_{90}^{(\ell)} = 1.5 D_{50}^{(\ell)}$

h water depth

k_a apparent bed roughness felt by the flow when waves are present. Calculated by D-Flow FM using the wave-current interaction formulation selected: $k_a \leq 10 k_s$

k_s user-defined current-related effective roughness height (space varying)

$k_{s,w}$ wave-related roughness, calculated from ripple height, see Equation (8.71)

u_z velocity magnitude taken from a near-bed computational layer. In a current-only situation the velocity in the bottom computational layer is used. Otherwise, if waves are active, the velocity is taken from the layer closest to the height of the top of the wave mixing layer δ.

$\widehat{U}_\delta$ peak orbital velocity at the bed: $\sqrt{2}\ RMS_{orbital\ velocity}$ at bed, taken from the wave module.

z_u height above bed of the near-bed velocity (u_z) used in the calculation of bottom shear stress due to current

Δ_r estimated ripple height, see Equation (8.71)

δ_m thickness of wave boundary mixing layer following Van Rijn (1993): $3\delta_w$ (and $\delta_m \geq k_a$)

δ_w wave boundary layer thickness:
$\delta_w = 0.072 \hat{A}_\delta \left(\frac{\hat{A}_\delta}{k_{s,w}} \right)^{-0.25}$.

We emphasise the following points regarding this implementation:

- The bottom shear stress due to currents is based on a near-bed velocity taken from the hydrodynamic calculations, rather than the depth-averaged velocity used by Van Rijn.
- All sediment calculations are based on hydrodynamic calculations from the previous half time-step. We find that this is necessary to prevent unstable oscillations developing.

The apparent roughness felt by the flow (k_a) is dependent on the hydrodynamic wave-current interaction model applied. At this time, Van Rijn's wave-current interaction model is not available in D-Flow FM. This means that it is not possible for a user to exactly reproduce results obtained using Van Rijn's full formulations for waves and currents.

Adjustment of the representative diameter of suspended sediment

The representative diameter of the suspended sediment $D_s^{(\ell)}$ generally given by the user-defined sediment diameter `SEDDIA` (D_{50} of bed material) multiplied by the user-defined factor `FACDSS` (see also remarks) can be overruled in case the Van Rijn (1993) transport formula is selected. This achieved by setting `IOPSUS=1` the representative diameter of the suspended sediment will then be set to:

$$D_s^{(\ell)} = \begin{cases} 0.64 D_{50}^{(\ell)} & \text{for } T_A^{(\ell)} \leq 1 \\ D_{50}^{(\ell)} \left(1 + 0.015 \left(T_A^{(\ell)} - 25\right)\right) & \text{for } 1 < T_A^{(\ell)} \leq 25 \\ D_{50}^{(\ell)} & \text{for } 25 < T_A^{(\ell)} \end{cases} \tag{8.74}$$

where $T_a^{(\ell)}$ is given by equation (8.63).

Bedload transport rate

For simulations including waves the magnitude and direction of the bedload transport on a horizontal bed are calculated using an approximation method developed by Van Rijn *et al.* (2003). The method computes the magnitude of the bedload transport as:

$$|S_b| = 0.006 \rho_s w_s D_{50}^{(\ell)} M^{0.5} M_e^{0.7} \tag{8.75}$$

where:

S_b	bedload transport [kg m^{-1} s^{-1}]
M	sediment mobility number due to waves and currents [-]
M_e	excess sediment mobility number [-]

$$M = \frac{v_{eff}^2}{(s-1)\, g D_{50}} \tag{8.76}$$

$$M_e = \frac{(v_{eff} - v_{cr})^2}{(s-1)\, g D_{50}} \tag{8.77}$$

$$v_{eff} = \sqrt{v_R^2 + U_{on}^2} \tag{8.78}$$

in which:

v_{cr}	critical depth averaged velocity for initiation of motion (based on a parameterisation of the Shields curve) [m/s]
v_R	magnitude of an equivalent depth-averaged velocity computed from the velocity in the bottom computational layer, assuming a logarithmic velocity profile [m/s]
U_{on}	near-bed peak orbital velocity [m/s] in onshore direction (in the direction on wave propagation) based on the significant wave height

U_{on} (and U_{off} used below) are the high frequency near-bed orbital velocities due to short waves and are computed using a modification of the method of Isobe and Horikawa (1982). This method is a parameterisation of fifth-order Stokes wave theory and third-order cnoidal

wave theory which can be used over a wide range of wave conditions and takes into account the non-linear effects that occur as waves propagate in shallow water (Grasmeijer and Van Rijn, 1998).

The direction of the bedload transport vector is determined by assuming that it is composed of two parts: part due to current ($S_{b,c}$) which acts in the direction of the near-bed current, and part due to waves ($S_{b,w}$) which acts in the direction of wave propagation. These components are determined as follows:

$$S_{b,c} = \frac{S_b}{\sqrt{1 + r^2 + 2\,|r|\cos\varphi}} \tag{8.79}$$

$$|S_{b,w}| = r\,|S_{b,c}| \tag{8.80}$$

where:

$$r = \frac{\left(|U_{on}| - v_{cr}\right)^3}{\left(|v_R| - v_{cr}\right)^3} \tag{8.81}$$

$S_{b,w} = 0$ if $r < 0.01$, $S_{b,c} = 0$ if $r > 100$, and φ = angle between current and wave direction for which Van Rijn (2003) suggests a constant value of 90°.

Also included in the “bedload” transport vector is an estimation of the suspended sediment transport due to wave asymmetry effects. This is intended to model the effect of asymmetric wave orbital velocities on the transport of suspended material within about 0.5 m of the bed (the bulk of the suspended transport affected by high frequency wave oscillations).

This wave-related suspended sediment transport is again modelled using an approximation method proposed by Van Rijn (2001):

$$S_{s,w} = f_{\text{SUSW}}\gamma U_A L_T \tag{8.82}$$

where:

$S_{s,w}$	wave-related suspended transport [kg/(ms)]
f_{SUSW}	user-defined tuning parameter
γ	phase lag coefficient (= 0.2)
U_A	velocity asymmetry value [m/s] = $\frac{U_{on}^4 - U_{off}^4}{U_{on}^3 + U_{off}^3}$
L_T	suspended sediment load [kg/m^2] = $0.007\rho_s D_{50} M_e$

The three separate transport modes are imposed separately. The direction of the bedload due to currents $S_{b,c}$ is assumed to be equal to the direction of the current, whereas the two wave related transport components $S_{b,w}$ and $S_{s,w}$ take on the wave propagation direction. This results in the following transport components:

$$S_{bc,u} = \frac{u_{b,u}}{|u_b|}\,|S_{b,c}| \tag{8.83}$$

$$S_{bc,v} = \frac{u_{b,v}}{|u_b|}\,|S_{b,c}| \tag{8.84}$$

$$S_{bw,u} = S_{b,w}\cos\phi \tag{8.85}$$

$$S_{bw,v} = S_{b,w}\sin\phi \tag{8.86}$$

$$S_{sw,u} = S_{s,w} \cos\phi \tag{8.87}$$
$$S_{sw,v} = S_{s,w} \sin\phi \tag{8.88}$$

where ϕ is the local angle between the direction of wave propagation and the computational grid. The different transport components can be calibrated independently by using the `Bed`, `BedW` and `SusW` keywords in the morphology input file.

8.5.3 Engelund-Hansen (1967)

The Engelund-Hansen sediment transport relation has frequently been used in rivers and estuaries. It reads:

$$S = S_b + S_{s,eq} = \frac{0.05\alpha q^5}{\sqrt{g}C^3\Delta^2 D_{50}} \tag{8.89}$$

where:

q	magnitude of flow velocity
Δ	the relative density $(\rho_s - \rho_w)/\rho_w$
C	Chézy friction coefficient
α	calibration coefficient (O(1))

The transport rate is imposed as bedload transport due to currents S_{bc}. The following formula specific parameters have to be specified in the input files of the Transport module: calibration coefficient α and roughness height r_k.

Remarks:

- The D_{50} grain size diameter is based on the sediment fraction considered.
- A second formula specific input parameter (r_k) is required for the Engelund-Hansen formula. This parameter, which represents the roughness height for currents alone in [m], is only used to determine the C value when the Chézy friction in the flow has not been defined. Generally, this parameter can thus be treated as a dummy parameter.

8.5.4 Meyer-Peter-Muller (1948)

The Meyer-Peter-Muller sediment transport relation is slightly more advanced than the Engelund-Hansen formula, as it includes a critical shear stress for transport. It reads:

$$S = 8\alpha D_{50}\sqrt{\Delta g D_{50}}(\mu\theta - \xi\theta_{cr})^{3/2} \tag{8.90}$$

where:

α	calibration coefficient (O(1))
Δ	the relative density $(\rho_s - \rho_w)/\rho_w$
μ	ripple factor or efficiency factor
θ_{cr}	critical mobility parameter ($= 0.047$)
ξ	hiding and exposure factor for the sediment fraction considered

and the Shields mobility parameter θ given by

$$\theta = \left(\frac{q}{C}\right)^2 \frac{1}{\Delta D_{50}} \tag{8.91}$$

in which q is the magnitude of the flow velocity [m/s]. The ripple factor μ reads:

$$\mu = \min\left(\left(\frac{C}{C_{g,90}}\right)^{1.5}, 1.0\right) \tag{8.92}$$

where $C_{g,90}$ is the Chézy coefficient related to grains, given by:

$$C_{g,90} = 18\,{}^{10}\log\left(\frac{12(d+\zeta)}{D_{90}}\right) \tag{8.93}$$

with D_{90} specified in [m]. The transport rate is imposed as bedload transport due to currents S_{bc}. The following formula specific parameters have to be specified in the input files of the Transport module: calibration coefficient α and a dummy value.

Remark:

- ◇ The D_{50} is based on the sediment fraction considered, the D_{90} grain size diameters is based on the composition of the local sediment mixture.

8.5.5 General formula

The general sediment transport relation has the structure of the Meyer-Peter-Muller formula, but all coefficients and powers can be adjusted to fit your requirements. This formula is aimed at experienced users that want to investigate certain parameters settings. In general this formula should not be used. It reads:

$$S = \alpha D_{50}\sqrt{\Delta g D_{50}}\theta^b(\mu\theta - \xi\theta_{cr})^c \tag{8.94}$$

where ξ is the hiding and exposure factor for the sediment fraction considered and

$$\theta = \left(\frac{q}{C}\right)^2 \frac{1}{\Delta D_{50}} \tag{8.95}$$

in which q is the magnitude of the flow velocity.

The transport rate is imposed as bedload transport due to currents S_{bc}. The following parameters have to be specified in the input files of the Transport module: calibration coefficient α, powers b and c, ripple factor or efficiency factor μ, critical mobility parameter θ_{cr}.

8.5.6 Bijker (1971)

The Bijker formula sediment transport relation is a popular formula which is often used in coastal areas. It is robust and generally produces sediment transport of the right order of magnitude under the combined action of currents and waves. Bedload and suspended load are treated separately. The near-bed sediment transport (S_b) and the suspended sediment transport (S_s) are given by the formulations in the first sub-section. It is possible to include sediment transport in the wave direction due to wave asymmetry and bed slope following the Bailard approach, see Bailard (1981), Stive (1986). Separate expressions for the wave asymmetry and bed slope components are included:

$$\vec{S}_b = \vec{S}_{b0} + \vec{S}_{b,asymm} + \vec{S}_{s,asymm} + \vec{S}_{b,slope} + \vec{S}_{s,slope} \tag{8.96}$$

$$\vec{S}_s = \vec{S}_{s0} \tag{8.97}$$

where S_{b0} and S_{s0} are the sediment transport in flow direction as computed according to the formulations of Bijker in the first sub-section, and the asymmetry and bed slope components for bedload and suspended transport are defined in the second sub-section. Both bedload and suspended load terms are incorporated in the bedload transport for further processing. The transport vectors are imposed as bedload transport vector due to currents S_{bc} and suspended load transport magnitude S_s, from which the equilibrium concentration is derived, respectively.

8.5.6.1 Basic formulation

The basic formulation of the sediment transport formula according to Bijker is given by:

$$S_b = bD_{50}\frac{q}{C}\sqrt{g}\,(1-\phi)\exp\left(A_r\right) \tag{8.98}$$

$$S_s = 1.83S_b\left(I_1\ln\left(\frac{33.0h}{r_c}\right)+I_2\right) \tag{8.99}$$

where

C	Chézy coefficient (as specified in input of D-Flow FM module)
h	water depth
q	flow velocity magnitude
ϕ	porosity

and

$$A_r = \max\left(-50, \min\left(100, A_{ra}\right)\right) \tag{8.100}$$

$$b = BD + \max\left(0, \min\left(1, \frac{(h_w/h)-C_d}{C_s-C_d}\right)\right)(BS-BD) \tag{8.101}$$

$$I_1 = 0.216\frac{\left(\frac{r_c}{h}\right)^{z_*-1}}{\left(1-\frac{r_c}{h}\right)^{z_*}}\int\limits_{r_c/h}^{1}\left(\frac{1-y}{y}\right)^{z_*}dy \tag{8.102}$$

$$I_2 = 0.216\frac{\left(\frac{r_c}{h}\right)^{z_*-1}}{\left(1-\frac{r_c}{h}\right)^{z_*}}\int\limits_{r_c/h}^{1}\ln y\left(\frac{1-y}{y}\right)^{z_*}dy \tag{8.103}$$

where

BS	Coefficient b for shallow water (default value 5)
BD	Coefficient b for deep water (default value 2)
C_s	Shallow water criterion (H_s/h) (default value 0.05)
C_d	Deep water criterion (default value 0.4)
r_c	Roughness height for currents [m]

and

$$A_{ra} = \frac{-0.27\Delta D_{50}C^2}{\mu q^2\left(1+0.5\left(\psi\frac{U_b}{q}\right)^2\right)} \tag{8.104}$$

$$\mu = \left(\frac{C}{18\ {}^{10}\log(12h/D_{90})}\right)^{1.5} \tag{8.105}$$

$$z_* = \frac{w}{\frac{\kappa q\sqrt{g}}{C}\sqrt{1+0.5\left(\psi\frac{U_b}{q}\right)^2}} \tag{8.106}$$

$$U_b = \frac{\omega h_w}{2\sinh(k_w h)} \tag{8.107}$$

$$\omega = \frac{2\pi}{T} \tag{8.108}$$

$$f_w = \exp\left(-5.977 + \frac{5.123}{a_0^{0.194}}\right) \tag{8.109}$$

$$a_0 = \max\left(2, \frac{U_b}{\omega r_c}\right) \tag{8.110}$$

$$\psi = \begin{cases} C\sqrt{\frac{f_w}{2g}} & \text{if wave effects are included } (T > 0) \\ 0 & \text{otherwise} \end{cases} \tag{8.111}$$

where

C	Chézy coefficient (as specified in input of D-Flow FM module)
h_w	wave height (H_{rms})
k_w	wave number
T	wave period computed by the waves model or specified by you as T user.
U_b	wave velocity
w	sediment fall velocity [m/s]
Δ	relative density $(\rho_s - \rho_w)/\rho_w$
κ	Von Kármán constant (0.41)

The following formula specific parameters have to be specified in the input files of the Transport module: BS, BD, C_s, C_d, dummy argument, r_c, w, ε and T user.

8.5.6.2 Transport in wave propagation direction (Bailard-approach)

If the Bijker formula is selected it is possible to include sediment transport in the wave direction due to wave asymmetry following the Bailard approach, see Bailard (1981) and Stive (1986). For a detailed description of the implementation you are referred to Nipius (1998).

Separate expressions for the wave asymmetry and bed slope components are included for both bedload and suspended load. Both extra bedload and suspended load transport vectors are added to the bedload transport as computed in the previous sub-section:

$$\vec{S}_b = \vec{S}_{b0} + \vec{S}_{b,asymm} + \vec{S}_{s,asymm} + \vec{S}_{b,slope} + \vec{S}_{s,slope} \tag{8.112}$$

where the asymmetry components for respectively the bedload and suspended transport in wave direction are written as:

$$S_{b;\text{asymm}}(t) = \frac{\rho c_f \varepsilon_b}{(\rho_s - \rho)\, g\, (1-\phi) \tan\varphi} \left|u(t)\right|^2 u(t) \tag{8.113}$$

$$S_{s;\text{asymm}}(t) = \frac{\rho c_f \varepsilon_s}{(\rho_s - \rho)\, g\, (1-\phi)\, w} \left|u(t)\right|^3 u(t) \tag{8.114}$$

from which the components in directions tangential and normal to flow links are obtained by multiplying with the cosine and sine of the wave angle θw and the bed slope components as:

$$S_{b;\text{slope},\xi}(t) = \frac{\rho c_f \varepsilon_b}{(\rho_s - \rho)\, g\, (1-\phi) \tan\varphi} \frac{1}{\tan\varphi} \left|u(t)\right|^3 \frac{\partial z_b}{\partial \xi} \tag{8.115}$$

$$S_{s;\text{slope},\xi}(t) = \frac{\rho c_f \varepsilon_s}{(\rho_s - \rho)\, g\, (1-\phi)\, w} \frac{\varepsilon_s}{w} \left|u(t)\right|^5 \frac{\partial z_b}{\partial \xi} \tag{8.116}$$

and similar for the η direction, where:

$u(t)$	near bed velocity signal [m/s]
ρ	density of water [kg/m^3]
ρ_s	density of the sediment [kg/m^3]
c_f	coefficient of the bottom shear stress [-] (constant value of 0.005)
ϕ	porosity [-] (constant value of 0.4)
φ	natural angle of repose [-] (constant value of $\tan\varphi = 0.63$)
w	sediment fall velocity [m/s]
ε_b	efficiency factor of bedload transport [-] (constant value of 0.10)
ε_s	efficiency factor of suspended transport [-] (constant value of 0.02, but in implemented expression for suspended bed slope transport the second ε_s is replaced by a user-defined calibration factor; see Equation (8.119)).

These transports are determined by generating velocity signals of the orbital velocities near the bed by using the Rienecker and Fenton (1981) method, see also Roelvink and Stive (1989).

The (short wave) averaged sediment transport due to wave asymmetry, Equations (8.113) and (8.114), is determined by using the following averaging expressions of the near bed velocity signal (calibration coefficients included):

$$\left\langle u\left|u\right|^2\right\rangle = FacA\left\langle \tilde{u}\left|\tilde{u}\right|^2\right\rangle + 3FacU\bar{u}\left\langle \left|\tilde{u}\right|^2\right\rangle \tag{8.117}$$

$$\left\langle u\left|u\right|^3\right\rangle = FacA\left\langle \tilde{u}\left|\tilde{u}\right|^3\right\rangle + 4FacU\bar{u}\left\langle \left|\tilde{u}\right|^3\right\rangle \tag{8.118}$$

in which:

$\tilde{u}$	orbital velocity signal
$\bar{u}$	averaged flow velocity (due to tide, undertow, wind, etc.)
$FacA$	user-defined calibration coefficient for the wave asymmetry
$FacU$	user-defined calibration coefficient for the averaged flow

The suspended transport relation due to the bed slope according to Equation (8.116) is implemented as:

$$S_{s;slope,\xi}(t) = \frac{\rho c_f \varepsilon_s}{(\rho_s - \rho)\, g\, (1-\phi)\, w} \frac{\varepsilon_{sl}}{w} \left|u(t)\right|^5 \frac{\partial z_b}{\partial \xi} \tag{8.119}$$

where:

ε_{sl}	user-defined calibration coefficient `EpsSL`

To activate this transport option, you have to create a separate file named <coef.inp> which contains on three separate lines the calibration coefficients: `FacA`, `FacU` and `EpsSL`. The other parameters are read from the transport input file or are specified as general sediment characteristics.

Note: the user-defined *FacU* value is currently treated as a dummy value, *FacU* = 0.0 will always be used.

A validation study (Nipius, 1998) showed that the following coefficient settings yielded the best results for the Dutch coast:

`FacA` = 0.4
`FacU` = 0.0
`EpsSL` = 0.11

If a relatively straight coast is considered the effect of the parameters is:

- ◇ The wave asymmetry causes onshore directed sediment transport (i.e. in the wave propagation direction). An increased `FacA` results in an increased onshore transport and hence steepening of the cross-shore bottom profile.
- ◇ The bed slope transport is in general offshore directed. By increasing `EpsSL` an increased flattening of the bottom profile occurs (i.e. increased offshore transports).
- ◇ The ratio between these parameters determines the balance between onshore and offshore transport and hence the shape and slope of the cross-shore bottom profile. The associated response time of the cross-shore morphology can be influenced by modifying the values of the two parameters, but maintaining a constant ratio. Increased values result in increased gross transports and consequently a reduced morphological response time (and vice versa).

8.5.7 Van Rijn (1984)

The Van Rijn (1984a,b,c) sediment transport relation is a transport formula commonly used for fine sediments in situations without waves. Separate expressions for bedload and suspended load are given. The bedload transport rate is given by:

$$S_b = \begin{cases} 0.053\sqrt{\Delta g D_{50}^3} D_*^{-0.3} T^{2.1} & \text{for } T < 3.0 \\ 0.1\sqrt{\Delta g D_{50}^3} D_*^{-0.3} T^{1.5} & \text{for } T \geq 3.0 \end{cases} \tag{8.120}$$

where T is a dimensionless bed shear parameter, written as:

$$T = \frac{\mu_c \tau_{bc} - \tau_{bcr}}{\tau_{bcr}} \tag{8.121}$$

It is normalised with the critical bed shear stress according to Shields (τ_{bcr}), the term $\mu_c \tau_{bc}$ is the effective shear stress. The formulas of the shear stresses are

$$\tau_{bc} = \frac{1}{8} \rho_w f_{cb} q^2 \tag{8.122}$$

$$f_{cb} = \frac{0.24}{\left({}^{10}\log\left(12h/\xi_c\right)\right)^2} \tag{8.123}$$

$$\mu_c = \left(\frac{18\ {}^{10}\log\left(12h/\xi_c\right)}{C_{g,90}} \right)^2 \tag{8.124}$$

where $C_{g,90}$ is the grain related Chézy coefficient

$$C_{g,90} = 18\ {}^{10}\log\left(\frac{12h}{3D_{90}}\right) \tag{8.125}$$

The critical shear stress is written according to Shields:

$$\tau_{bcr} = \rho_w \Delta g D_{50} \theta_{cr} \tag{8.126}$$

in which θ_{cr} is the Shields parameter which is a function of the dimensionless particle parameter D_*:

$$D_* = D_{50} \left(\frac{\Delta g}{\nu^2} \right)^{\frac{1}{3}} \tag{8.127}$$

The suspended transport formulation reads:

$$S_s = f_{cs} q h C_a \tag{8.128}$$

In which C_a is the reference concentration, q depth averaged velocity, h the water depth and f_{cs} is a shape factor of which only an approximate solution exists:

$$f_{cs} = \begin{cases} f_0(z_c) & \text{if } z_c \neq 1.2 \\ f_1(z_c) & \text{if } z_c = 1.2 \end{cases} \tag{8.129}$$

$$f_0(z_c) = \frac{(\xi_c/h)^{z_c} - (\xi_c/h)^{1.2}}{(1 - \xi_c/h)^{z_c} (1.2 - z_c)} \tag{8.130}$$

$$f_1(z_c) = \left(\frac{\xi_c/h}{1 - \xi_c/h} \right)^{1.2} \ln(\xi_c/h) \tag{8.131}$$

where ξ_c is the reference level or roughness height (can be interpreted as the bedload layer thickness) and z_c the suspension number:

$$z_c = \min \left(20, \frac{w_s}{\beta \kappa u_*} + \phi \right) \tag{8.132}$$

$$u_* = q \sqrt{\frac{f_{cb}}{8}} \tag{8.133}$$

$$\beta = \min \left(1.5, 1 + 2 \left(\frac{w_s}{u_*} \right)^2 \right) \tag{8.134}$$

$$\phi = 2.5 \left(\frac{w_s}{u_*} \right)^{0.8} \left(\frac{C_a}{0.65} \right)^{0.4} \tag{8.135}$$

The reference concentration is written as:

$$C_a = 0.015 \alpha_1 \frac{D_{50}}{\xi_c} \frac{T^{1.5}}{D_*^{0.3}} \tag{8.136}$$

The bedload transport rate is imposed as bedload transport due to currents S_{bc},while the computed suspended load transport rate is converted into a reference concentration equal to $f_{cs} C_a$. The following formula specific parameters have to be specified in the input files of the Transport module: calibration coefficient α_1, dummy argument, reference level (bedload layer thickness) or roughness height ξ_c [m] and settling velocity w_s [m/s].

8.5.8 Soulsby/Van Rijn

The sediment transport relation has been implemented based on the formulations provided in Soulsby (1997). References in the following text refer to this book.

If the wave period T_p is smaller than 10^{-6} s, the wave period T_p is set to 5 s and the root-mean-square wave height is set to 1 cm. Furthermore, the wave period is limited to values larger than 1 s. The root-mean-square wave height is limited to values smaller than 0.4 H, where H is the water depth.

The sediment transport is set to zero in case of velocities smaller than 10^{-6} m/s, water depth larger than 200 m or smaller than 1 cm.

The root-mean-square orbital velocity is computed as:

$$U_{rms} = \sqrt{2}\frac{\pi H_{rms}}{T_p \sinh(kH)} \tag{8.137}$$

Furthermore, D_* is defined as (Soulsby, 1997, p.104):

$$D_* = \left(\frac{g\Delta}{\nu^2}\right)^{1/3} D_{50} \tag{8.138}$$

Using the critical bed shear velocity according to Van Rijn (Soulsby, 1997, p.176):

$$U_{cr} = \begin{cases} 0.19 D_{50}^{0.1}\ {}^{10}\log(4H/D_{90}) & \text{if } D_{50} \leq 0.5 \text{ mm} \\ 8.5 D_{50}^{0.6}\ {}^{10}\log(4H/D_{90}) & \text{if } 0.5 \text{ mm} < D_{50} \leq 2 \text{ mm} \end{cases} \tag{8.139}$$

larger values of D_{50} lead to an error and to the halting of the program.

The sediment transport is split into a bedload and suspended load fraction. The direction of the bedload transport is assumed to be equal to the direction of the depth-averaged velocity in a 2D simulation and equal to the direction of the velocity at the reference level a (see section 8.3.3) in a 3D simulation (Soulsby, 1997, p.183):

$$S_{bx} = A_{cal} A_{sb} u \xi \tag{8.140}$$

$$S_{by} = A_{cal} A_{sb} v \xi \tag{8.141}$$

and the suspended transport magnitude is given by the following formula (this quantity is lateron converted to a reference concentration to feed the advection-diffusion equation for the suspended sediment transport as indicated in section 8.3.3):

$$S_s = A_{cal} A_{ss} \xi \sqrt{u^2 + v^2} \tag{8.142}$$

where

A_{cal} a user-defined calibration factor

A_{sb} bedload multiplication factor

$$A_{sb} = 0.005H\left(\frac{D_{50}/H}{\Delta g D_{50}}\right)^{1.2} \tag{8.143}$$

A_{ss} suspended load multiplication factor

$$A_{ss} = 0.012 D_{50} \frac{D_*^{-0.6}}{(\Delta g D_{50})^{1.2}} \tag{8.144}$$

ξ a general multiplication factor

$$\xi = \left(\sqrt{U^2 + \frac{0.018}{C_D} U_{rms}^2} - U_{cr} \right)^{2.4} \tag{8.145}$$

where U is the total depth-averaged velocity and C_D is the drag coefficient due to currents, defined by:

$$C_D = \left(\frac{\kappa}{\ln(H/z_0) - 1} \right)^2 \tag{8.146}$$

where z_0 equals 6 mm and the Von Kármán constant κ is set to 0.4.

The bedslope correction factor is not explicitly included in this formula as it is a standard correction factor available in the online morphology module. The method is intended for conditions in which the bed is rippled.

The following formula specific parameters have to be specified in the input files of the Transport module: the calibration factor A_{cal}, the ratio of the two characteristic grain sizes D_{90}/D_{50} and the z_0 roughness height.

8.5.9 Soulsby

The sediment transport relation has been implemented based on the formulations provided in Soulsby (1997). References in the following text refer to this book.

If the wave period T_p is smaller than 10^{-6} s, the wave period T_p is set to 5 s and the root-mean-square wave height is set to 1 cm. Furthermore, the wave period is limited to values larger than 1 s. The root-mean-square wave height is limited to values smaller than 0.4 H, where H is the water depth.

The sediment transport is set to zero in case of velocities smaller than 10^{-6} m/s, water depth larger than 200 m or smaller than 1 cm.

The root-mean-square orbital velocity U_{rms} and the orbital velocity U_{orb} are computed as

$$U_{rms} = \sqrt{2} U_{orb} = \sqrt{2} \frac{\pi H_{rms}}{T_p \sinh(kH)} \tag{8.147}$$

For a flat, non-rippled bed of sand the z_0 roughness length is related to the grain size as (Soulsby, 1997, eq.25, p.48) where χ is a user-defined constant:

$$z_0 = \frac{D_{50}}{\chi} \tag{8.148}$$

The relative roughness is characterised using a_*:

$$a_* = \frac{U_{orb} T_p}{z_0} \tag{8.149}$$

which is subsequently used to determine the friction factor of the rough bed according to Swart (1974):

$$f_w = \begin{cases} 0.3 & \text{if } a_* \leq 30\pi^2 \\ 0.00251 \exp(14.1 a_*^{-0.19}) & \text{if } a_* > 30\pi^2 \end{cases} \tag{8.150}$$

Table 8.2: *Overview of the coefficients used in the various regression models (Soulsby et al., 1993)*

Model	b1	b2	b3	b4	p1	p2	p3	p4
1 (FR84)	0.29	0.55	-0.10	-0.14	-0.77	0.10	0.27	0.14
2 (MS90)	0.65	0.29	-0.30	-0.21	-0.60	0.10	0.27	-0.06
3 (HT91)	0.27	0.51	-0.10	-0.24	-0.75	0.13	0.12	0.02
4 (GM79)	0.73	0.40	-0.23	-0.24	-0.68	0.13	0.24	-0.07
5 (DS88)	0.22	0.73	-0.05	-0.35	-0.86	0.26	0.34	-0.07
6 (BK67)	0.32	0.55	0.00	0.00	-0.63	0.05	0.00	0.00
7 (CJ85)	0.47	0.29	-0.09	-0.12	-0.70	0.13	0.28	-0.04
8 (OY88)	-0.06	0.26	0.08	-0.03	-1.00	0.31	0.25	-0.26

which corresponds to formulae 60a/b of Soulsby (p.77) using $r = a_*/(60\pi)$ where r is the relative roughness used by Soulsby. The friction factor is used to compute the amplitude of the bed shear-stress due to waves as:

$$\tau_w = 0.5\rho f_w U_{orb}^2 \tag{8.151}$$

Furthermore, the shear stress due to currents is computed as:

$$\tau_c = \rho C_D U^2 \tag{8.152}$$

where

$$C_D = \left(\frac{\kappa}{1 + \ln\left(z_0/H\right)}\right)^2 \tag{8.153}$$

as defined on Soulsby (1997, p.53–55). The interaction of the currents and waves is taken into account using the factor Y in the following formula for mean bed shear stress during a wave cycle under combined waves and currents (Soulsby, 1997, p.94):

$$\tau_m = Y\left(\tau_w + \tau_c\right) \tag{8.154}$$

The formula for Y is given by:

$$Y = X\left[1 + bX^p\left(1 - X\right)^q\right] \tag{8.155}$$

where:

$$X = \frac{\tau_c}{\tau_c + \tau_w} \tag{8.156}$$

and b is computed using:

$$b = \left(b_1 + b_2\left|\cos\phi\right|^J\right) + \left(b_3 + b_4\left|\cos\phi\right|^J\right)\ {}^{10}\log\left(f_w/C_D\right) \tag{8.157}$$

and p and q are determined using similar equations. In this formula ϕ equals the angle between the wave angle and the current angle, and the coefficients are determined by the model index *modind* and tables 8.2 and 8.3 (related to Soulsby (1997, Table 9, p.91)):

Table 8.3: *Overview of the coefficients used in the various regression models,* continued *(Soulsby* et al.*, 1993)*

Model	q1	q2	q3	q4	J
1 (FR84)	0.91	0.25	0.50	0.45	3.0
2 (MS90)	1.19	-0.68	0.22	-0.21	0.50
3 (HT91)	0.89	0.40	0.50	-0.28	2.7
4 (GM79)	1.04	-0.56	0.34	-0.27	0.50
5 (DS88)	-0.89	2.33	2.60	-2.50	2.7
6 (BK67)	1.14	0.18	0.00	0.00	3.0
7 (CJ85)	1.65	-1.19	-0.42	0.49	0.60
8 (OY88)	0.38	1.19	0.25	-0.66	1.50

Using the shear stresses given above, the following two Shields parameters are computed:

$$\theta_m = \frac{\tau_m}{\rho g \Delta D_{50}} \text{ and } \theta_w = \frac{\tau_w}{\rho g \Delta D_{50}} \tag{8.158}$$

Furthermore, D_* is defined as (Soulsby, 1997, p.104):

$$D_* = \left(\frac{g\Delta}{\nu^2}\right)^{1/3} D_{50} \tag{8.159}$$

with which a critical Shields parameter is computed (Soulsby, 1997, eq.77, p.106):

$$\theta_{cr} = \frac{0.30}{1 + 1.2 D_*} + 0.055\left(1 - \exp\left(-0.02 D_*\right)\right) \tag{8.160}$$

The sediment transport rates are computed using the following formulations for normalised transport in current direction and normal direction (Soulsby, 1997, eq.129, p.166/167):

$$\Phi_{x1} = 12\left(\theta_m - \theta_{cr}\right)\sqrt{\theta_m + \varepsilon} \tag{8.161}$$

$$\Phi_{x2} = 12\left(0.95 + 0.19\cos\left(2\phi\right)\right)\theta_m\sqrt{\theta_w + \varepsilon} \tag{8.162}$$

$$\Phi_x = \max\left(\Phi_{x1}, \Phi_{x2}\right) \tag{8.163}$$

$$\Phi_y = \frac{12\left(0.19\theta_m\theta_w^2\sin\left(2\phi\right)\right)}{\left(\theta_w + \varepsilon\right)^{1.5} + 1.5\left(\theta_m + \varepsilon\right)^{1.5}} \tag{8.164}$$

where ε is a small constant (10^{-4}) to prevent numerical complications. From these expression are finally the actual bedload transport rates obtained:

$$S_{b,x} = \frac{\sqrt{g\Delta D_{50}^3}}{U}\left(\Phi_x u - \Phi_y v\right) \tag{8.165}$$

$$S_{b,y} = \frac{\sqrt{g\Delta D_{50}^3}}{U}\left(\Phi_x v - \Phi_y u\right) \tag{8.166}$$

The transport vector is imposed as bedload transport due to currents. The following formula specific parameters have to be specified in the input files of the Transport module: calibration coefficient A_{cal}, the model index for the interaction of wave and current forces *modind* (integer number 1 to 8) and the D_{50}/z_0 ratio χ (about 12).

8.5.10 Ashida-Michiue (1974)

The transport rate is given by a generalised version of the Ashida-Michiue formulation:

$$S_{bc} = \alpha\sqrt{\Delta g D_{50}^3}\theta^m \left(1 - \xi\frac{\theta_c}{\theta}\right)^p \left(1 - \sqrt{\xi\frac{\theta_c}{\theta}}\right)^q \tag{8.167}$$

where ξ is the hiding and exposure factor for the sediment fraction considered and:

$$\theta = \left(\frac{q}{C}\right)^2 \frac{1}{\Delta D_{50}} \tag{8.168}$$

in which q is the magnitude of the flow velocity. The transport rate is imposed as bedload transport due to currents S_{bc}. The following formula specific parameters have to be specified in the input files of the Transport module: α, θ_c, m, p and q.

8.5.11 Wilcock-Crowe (2003)

The Wilcock-Crowe transport model is a fractional surface based transport model for calculating bedload transport of mixed sand and gravel sediment. The equations and their development are described in Wilcock and Crowe (2003). The bedload transport rate of each size fraction is given by:

$$S_{bi} = \frac{W_i^* F_i U_*^3}{\Delta g} \tag{8.169}$$

$$W_i^* = \begin{cases} 0.002\phi^{7.5} & \text{for } \phi < 1.35 \\ 14\left(1 - \frac{0.894}{\phi^{0.5}}\right)^{4.5} & \text{for } \phi \geq 1.35 \end{cases} \tag{8.170}$$

$$\phi = \frac{\tau}{\tau_{ri}} \tag{8.171}$$

$$\frac{\tau_{ri}}{\tau_{rm}} = \left(\frac{D_i}{D_m}\right)^b \tag{8.172}$$

$$\tau_{rm} = \left(0.021 + 0.015\exp\left(-20F_s\right)\right)\left(\rho_s - \rho_w\right) g D_g \tag{8.173}$$

$$b = \frac{0.67}{1 + \exp\left(1.5 - \frac{D_i}{D_g}\right)} \tag{8.174}$$

where:

D_i	D_{50} of size fraction i
D_g	geometric mean grain size of whole grain size distribution
F_i	proportion of size fraction i on the bed surface
F_s	proportion of sand on the bed surface
S_{bi}	bedload transort rate of size fraction i
W_i^*	dimensionless bedload transport rate of size fraction i
Δ	the relative density of the sediment $\left(\rho_s - \rho_w\right)/\rho_w$
τ_{ri}	reference shear stress of grains of size D_i
τ_{rm}	reference shear stress of grains of size D_g

Remarks:

- ◇ The Wilcock-Crowe model incorporates its own hiding function so no external formulation should be applied.

- ◇ The roughness height used for the calculation of grain shear stress during the development of the Wilcock-Crowe transport model was $k_s = 2D_{65}$.
- ◇ This sediment transport formula does not have any input parameters that can be, or need to be, tuned.

8.5.12 Gaeuman et al. (2009) laboratory calibration

The Gaeuman et al. sediment transport model is a modified form of the Wilcock-Crowe model which uses the variance of grain size distribution on the phi scale (σ_ϕ^2) rather than the fraction of sand on the bed surface (F_s) as a measure of the bed surface condition for use in the calculation of reference shear stress. The 'laboratory calibration' implementation of the Gaeuman et al. transport model is calibrated to the experimental data used in the derivation of the Wilcock-Crowe transport model. The model, it's derivation and calibration is described in Gaeuman *et al.* (2009).

The formulae for the calculation of S_{bi}, W_i^*, ϕ and τ_{ri} are the same as for the Wilcock-Crowe transport model (Equations (8.169), (8.170), (8.171) and (8.172)) but the calculation of τ_{rm} and b differs.

$$\tau_{rm} = \left(\theta_{c0} + \frac{0.015}{1 + \exp\left(10.1\sigma_\phi^2 - 14.14\right)}\right)(\rho_s - \rho_w)\, g D_g \tag{8.175}$$

$$b = \frac{1 - \alpha_0}{1 + \exp\left(1.5 - \frac{D_i}{D_g}\right)} \tag{8.176}$$

$$\sigma_\phi^2 = \sum_{i=1}^{n} \left({}^2\log\left(\frac{D_i}{D_g}\right)\right)^2 F_i \tag{8.177}$$

where θ_{c0} and α_0 are user specified parameters. If the values $\theta_{c0} = 0.021$ and $\alpha_0 = 0.33$ are specified the original relation calibrated to the Wilcock-Crowe laboratory data is recovered.

Remark:

- ◇ The Gaeuman et al. model incorporates its own hiding function so no external formulation should be applied.

8.5.13 Gaeuman et al. (2009) Trinity River calibration

The 'Trinity River calibration' implementation of the Gaeuman et al. transport model is calibrated to observed bedload transport rates in the Trinity River, USA and is described in Gaeuman *et al.* (2009). It differs from the 'laboratory calibration' implementation in the calculation of τ_{rm} and b.

$$\tau_{rm} = \left(\theta_{c0} + \frac{0.022}{1 + \exp\left(7.1\sigma_\phi^2 - 11.786\right)}\right)(\rho_s - \rho_w)\, g D_g \tag{8.178}$$

$$b = \frac{1 - \alpha_0}{1 + \exp\left(1.9 - \frac{D_i}{3D_g}\right)} \tag{8.179}$$

where θ_{c0} and α_0 are user specified parameters. If the values $\theta_{c0} = 0.03$ and $\alpha_0 = 0.3$ are specified the original Gaeuman et al. formulation calibrated to the Trinity River is recovered.

Remark:

- ◇ The Gaeuman et al. model incorporates its own hiding function so no external formulation should be applied.

8.6 Morphological updating

The elevation of the bed is dynamically updated at each computational time-step. This is one of the distinct advantages over an offline morphological computation as it means that the hydrodynamic flow calculations are always carried out using the correct bathymetry.

At each time-step, the change in the mass of bed material that has occurred as a result of the sediment sink and source terms and transport gradients is calculated. This change in mass is then translated into a bed level change based on the dry bed densities of the various sediment fractions. Both the bed levels at the cell centres and cell interfaces are updated.

Remark:

- ◇ The depths stored at the depth points (which are read directly from the bathymetry specified as input) are only updated for writing to the communication file and the result files.

A number of additional features have been included in the morphological updating routine in order to increase the flexibility. These are discussed below.

Morphological "switch"

You can specify whether or not to update the calculated depths to the bed by setting the `MorUpd` (or equivalently `BedUpd`) flag in the morphology input file. It may be useful to turn bottom updating off if only the initial patterns of erosion and deposition are required, or an investigation of sediment transport patterns with a constant bathymetry is required.

Remark:

- ◇ The use of `MorUpd` or `BedUpd` only affects the updating of the depth values (at ζ and velocity points); the amount of sediment available in the bed will still be updated. Use the `CmpUpd` flag to switch off the updating of the bed composition. If you wish to prevent any change in both the bottom sediments *and* flow depths from the initial condition then this may also be achieved by either setting the morphological delay interval `MorStt` to a value larger than the simulation period, or by setting the morphological factor `MorFac` to 0. See below for a description of these two user variables.

Morphological delay

Frequently, a hydrodynamic simulation will take some time to stabilise after transitioning from the initial conditions to the (dynamic) boundary conditions. It is likely that during this stabilisation period the patterns of erosion and accretion that take place do not accurately reflect the true morphological development and should be ignored. This is made possible by use of `MorStt` whereby you can specify a time interval (in minutes after the start time) after which the morphological bottom updating will begin. During the `MorStt` time interval all other calculations will proceed as normal (sediment will be available for suspension for example) however the effect of the sediment fluxes on the available bottom sediments will not be taken into account.

Morphological time scale factor

One of the complications inherent in carrying out morphological projections on the basis of hydrodynamic flows is that morphological developments take place on a time scale several times longer than typical flow changes (for example, tidal flows change significantly in a period of hours, whereas the morphology of a coastline will usually take weeks, months, or years to change significantly). One technique for approaching this problem is to use a "morphological time scale factor" whereby the speed of the changes in the morphology is scaled up to a rate that it begins to have a significant impact on the hydrodynamic flows. This can be achieved by specifying a non-unity value for the variable `MorFac` in the morphology input file.

Remark:

- ◇ The *Morphological scale factor* can also be time-varying. This feature is not yet supported by the GUI. You have to edit the <∗.mor> file manually.

The implementation of the morphological time scale factor is achieved by simply multiplying the erosion and deposition fluxes from the bed to the flow and vice-versa by the `MorFac`-factor, at each computational time-step. This allows accelerated bed-level changes to be incorporated dynamically into the hydrodynamic flow calculations.

While the maximum morphological time scale factor that can be included in a morphodynamic model without affecting the accuracy of the model will depend on the particular situation being modelled, and will remain a matter of judgement, tests have shown that the computations remain stable in moderately morphologically active situations even with `MorFac`-factors in excess of 1 000. We also note that setting `MorFac`=0 is often a convenient method of preventing both the flow depth and the quantity of sediment available at the bottom from updating, if an investigation of a steady state solution is required.

Remarks:

- ◇ Verify that the morphological factor that you use in your simulation is appropriate by varying it (e.g. reducing it by a factor of 2) and verify that such changes do not affect the overall simulation results.
- ◇ The interpretation of the morphological factor differs for coastal and river applications. For coastal applications with tidal motion, the morphological variations during a tidal cycle are often small and the hydrodynamics is not significantly affected by the bed level changes. By increasing the morphological factor to for instance 10, the morphological changes during one simulated tidal cycle are increased by this factor. From a hydrodynamical point of view this increase in morphological development rate is allowed if the hydrodynamics is not significantly influenced. In that case the morphological development after one tidal cycle can be assumed to represent the morphological development that would in real life only have occurred after 10 tidal cycles. In this example the number of hydrodynamic time steps required to simulate a certain period is reduced by a factor of 10 compared to a full 1:1 simulation. This leads to a significant reduction in simulation time. However, one should note that by following this approach the order of events is changed, possible conflicts may arise in combination with limited sediment availability and bed stratigraphy simulations. In river applications there is no such periodicity as a tidal cycle. For such applications, the morphological factor should be interpreted as a speed-up factor for morphological development without changing the order of events. Effectively, it means that the morphological development is simulated using a, for instance 10 times, larger time step than the hydrodynamics, or phrased more correctly the hydrodynamics is simulated at a 10 times faster rate. This means that in case of time-varying boundary conditions (e.g. river hydrograph) the time-scale of these forcings should be sped up: a 20 day flood peak will be compressed in 2 days. However, one should take care that by speeding up the hydrodynamic forcings one

does not substantially change the nature of the overall hydrodynamic and morphological development: a quasi-steady flood period should not become a short, dynamic flash flood. For river applications, changing the morphological factor must be associated with changing all external time-varying forcings. For coastal applications only the overall simulation time should be adjusted. Note that the combination of a river-like flood peak and a tidal motion will cause problems when interpreting morphological factor not equal to 1.

◇ The effect of the morphological factor is different for bed and suspended load. At each time step bedload is picked-up from the bed and deposited on the bed: only the transports are increased by the morphological factor used for the time step considered. However, in case of suspended load there is a time-delay between the time of erosion and the time of deposition. The erosion and deposition fluxes are increased by the morphological factor, but the suspended concentrations are not (since that would influence the density effects). It is possible to vary the morphological factor during a simulation to speed up relatively quiet periods more than relatively active periods. Such changes in the morphological factor will not influence the mass balance of a bed or total load simulation since pickup and deposition are combined into one time step. However, in case of suspended load the entrainment and deposition may occur at time-steps governed by different morphological factors. In such cases the entrainment flux that generated a certain suspended sediment concentration will differ from the deposition flux that was caused by the settling of the same suspended sediment. A change in morphological factor during a period of non-zero suspended sediment concentrations, will thus lead to a mass-balance error in the order of the suspended sediment volume times the change in morphological factor. The error may kept to a minimum by appropriately choosing the transition times.

8.6.1 Bathymetry updating including bedload transport

The change in the quantity of bottom sediments caused by the bedload transport is calculated using the expression:

$$\Delta^c_{SED} = \frac{\Delta t f_{\text{MORFAC}}}{A^c} \sum_i S^i_u W^i_u \tag{8.180}$$

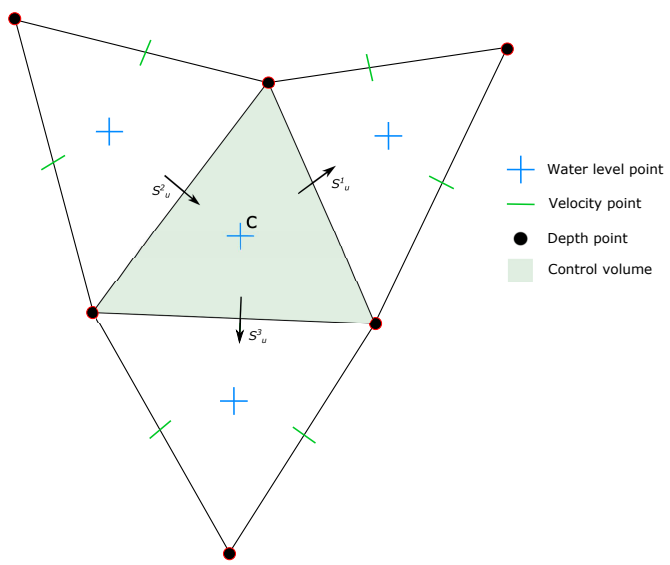

Figure 8.5: *Morphological control volume and bedload transport components*

where:

Δ^c_{SED}	change in quantity of bottom sediment at location c [kg/m^2]
Δt	computational time-step [s]
f_{MORFAC}	user-defined morphological acceleration factor, MORFAC
A^c	area of computational cell at location c [m^2]
S^i_u	computed bedload sediment transport vector in u direction (direction normal to face i), held at the velocity point [kg/(m s)]
W^i_u	width of the face i [m]

This calculation is repeated for all 'sand' and 'bedload' sediment fractions, if more than one is present, and the resulting change in the bottom sediment mass is added to the change due to the suspended sediment sources and sinks and included in the bed composition and bed level updating scheme.

8.6.2 Erosion of (temporarily) dry points

In the case of erosion near a dry beach or bank, the standard scheme will not allow erosion of the adjacent cells, even when a steep scour hole would develop right next to the beach. Therefore a scheme has been implemented that allows the (partial) redistribution of an erosion flux from a wet cell to the adjacent dry cells. The distribution is governed by a user-defined factor `ThetSD`, which determines the fraction of the erosion to assign (evenly) to the adjacent cells. If `ThetSD` equals zero the standard scheme is used, i.e. all erosion occurs at the wet cell. If `ThetSD` equals 1 all erosion that would occur in the wet cell is assigned to the adjacent dry cells. The 'wet' and 'dry' cells in the paragraph above are defined as cells at which the water depth is, respectively, more and less than the threshold depth `SedThr` for computing sediment transport.

A modification to this method may be activated by specifying a parameter `HMaxTH` larger than the threshold depth `SedThr` for computing sediment transport. In this case, the factor `ThetSD` is used as upper limit for the fraction of the erosion to be transferred to adjacent dry cells. The actual factor to be transferred is equal to $Thet$, which is computed as:

$$Thet = (h_1 - SedThr)/(HMaxTH - SedThr) \times ThetSD$$
$$\text{where } Thet = \min(Thet, ThetSD) \quad (8.181)$$

Here, h_1 is the local water depth. The purpose of this formulation is to allow erosion of parts that are inactive in terms of transport but still wet, while limiting the erosion of the dry beach. If erosion of the dry beach is desired, this option is not recommended, so `HMaxTH` should be set less than `SedThr`.

Remark:

- The overall erosion flux is redistributed to the adjacent cells. Depending on the availability of individual sediment fractions at the central 'wet' cell and the surrounding 'dry' cells, the erosion from the adjacent cells will replenish the eroded cell with different sediment fractions than those that were eroded.

8.6.3 Dredging and dumping

If the bed levels are updated, you may also include some dredging and dumping activities at the end of each half time step. This feature can also be used for sand mining (only dredging, no associated dumping within the model domain) and sediment nourishment (only dumping, no associated dredging within the model domain). Dredging and dumping is performed at this stage in the following order:

- ◇ For each dredge area: if the bed level exceeds a threshold level (or the water depth drops below a certain level) then the bed level is lowered based on the dredging option and the corresponding volume of sediment is removed. If the dredging capacity is less than the volume to be dredged, the sequence of dredging (e.g. top first or uniform) determines which grid cells are dredging at the current point in time.
- ◇ The volume of dredged material is summed over all cells in a dredge area and distributed over the dump areas, using the link percentages or the link order (up to the dump capacity). In simulations with multiple sediment fractions the sediment composition is tracked.
- ◇ For each dump area: the bed level is raised and the bed composition is adjusted based on the volume and characteristics of material to be dumped. The sediment may be distributed equally or non-uniformly (e.g. deepest points first) over the grid cells in the dump area.

Remark:

- ◇ Dredging and dumping may also performed during initialization, before the first time-step.

Warning:

- ◇ Dredging large amounts of material may harm the stability of the calculation.

The dredging and dumping feature allows you to specify dredging and dumping areas as x,y polygons. Within each dredging polygon the bed levels are lowered to a user-defined depth; by default grid cells are considered to lie within a polygon if their centre lies within the polygon. It is possible to distribute the dredged material over multiple dumping locations. You may also decide to not dump the sediment back into the model (feature referred to as sand mining); this can be implemented by defining a dump polygon outside the grid, or by not specifying any dump polygon at all. This option cannot be combined with the option to dredge only as much as dump capacity is available. For sediment nourishment one should use a `[nourishment]` block specifying the amount (and, if applicable, the composition) of the nourished sediment. The dredging and dumping activities should be specified in a <∗.dad> file. The <mdu> file should contain a keyword `Fildad` referring to the file used. The <∗.dad> file refers to the file containing the polygons.

8.6.4 Bed composition models and sediment availability

The morphology module currently implements two bed composition models:

- ◇ A uniformly mixed bed (one sediment layer). There is no bookkeeping of the order in which sediments are deposited and all sediments are available for erosion.
- ◇ A layered bed stratigraphy (multiple sediment layers). A user-defined number of bed composition bookkeeping layers may be included to keep track of sediment deposits. When sediments are deposited, they are initially added to the top-most layer. After mixing in the top layer, sediments are pushed towards the bookkeeping layers beneath it. The bookkeeping layers are filled up to a user-defined maximum thickness, if this threshold is exceeded a new layer is created. If the creation of a new layer would exceed the maximum number of layers specified by you, layers at the bottom of the stratigraphy stack will be merged. Only sediments in the top-most layer are available for erosion. After erosion, the top-most layer is replenished from below.

The default bed composition model is the uniformly mixed one. Currently only the default bed composition model is supported by the user interface.

At input you must specify the amount of sediment available at the bed as the total (dry) mass of all sediment fractions in [kg/m^2]. This may be a constant value for the entire model or,

alternatively, a space-varying initial sediment file (values to be specified at cell centres). The initial bed composition is assumed to be uniformly mixed.[1] The thickness of the total sediment layer is calculated from the sediment mass by dividing by the user-defined dry bed density `CDryB`. Currently, `CDryB` is constant in time and space for each individual sediment fraction. The top of these sediment deposits will coincide with the initial bed level. Below the bottom of these deposits the model assumes a non-erodible bed (sometimes referred to as a fixed layer).

When the model almost runs out of sediment at a particular location, the sediment flux terms will be reduced. The reduction starts when the available sediment thickness drops below a user-defined threshold `Thresh`. The flux terms affected are slightly different for cohesive and non-cohesive sediments, as described below.

Cohesive sediment fractions

In the case of cohesive sediment, the erosive sediment source term is reduced proportionally to the ratio of available sediment thickness over `Thresh`. The deposition term is never reduced. However, the cohesive sediment is still not included in D-Flow FM.

Non-cohesive sediment fractions

In the case of non-cohesive sediments all bedload transport rates out of a grid cell are reduced by the upwind ratio of available sediment thickness over `Thresh`. The source and sink terms of the advection-diffusion equation are not reduced unless the erosive sediment source term is predicted to be larger than the deposition (sink) term, in that case both terms are reduced by the ratio of available sediment thickness over `Thresh` as shown by the following equations:

$$Source_{total} = f_r \, Source_{total}, \tag{8.182}$$

$$Sink_{total} = f_r \, Sink_{total}, \tag{8.183}$$

where f_r is a reduction factor determined by:

$$f_r = \min\left(\frac{\Delta_{sed}}{Thresh}, 1\right), \tag{8.184}$$

where Δ_{sed} is the thickness of sediment at the bed.

The likelihood of erosive conditions occurring is assessed by calculating the total sediment source and sink terms using the concentration from the previous time-step to evaluate the implicit sink term. If the sink term is greater than the source term, then deposition is expected, and f_r is set to 1.0 so that deposition close to the fixed layer is not hindered.

8.7 Specific implementation aspects

Negative water depth check

In rare situations (with high morphological acceleration factors) it is possible that, in one time-step, the bed accretes more than the water depth. If this occurs the water depth will become negative (water surface level is below the bed level). This situation is checked for and, if it occurs, the water surface level for the cell is set equal to the new bed level. The cell will then be set dry.

[1] The uniformly mixed bed can be used as input for both bed composition models. If you have more detailed information on the bed stratigraphy, you may use the bed stratigraphy model and specify an initial layering of the bed composition by means of the `IniComp` keyword and associated initial bed composition file. In that case the bed composition given in the <∗.sed> file will overruled, you have to specify dummy values though.

Threshold depth for sediment calculations introduced

If the water depth in a cell is less than `SedThr`, specified in the morphology input file, then the sediment source and sink terms and bedload transport are not calculated for 'sand' and 'bedload' sediment fractions. This restriction has been included in order to prevent numerical problems during the computation of the reference concentration, e.g. to prevent sudden bursts of sediment from occurring when computational cells are flooded.

Remark:

- ◇ In areas with very shallow water depths and sediment sources and sinks, you must ensure that the user-defined threshold depth for drying and flooding is not set too large.

Calculation of bed shear in wave and current situations altered

The calculation of the bed shear velocity u_* has been simplified in situations with waves and currents. The bed shear is always calculated using the velocities computed in the bottom computational layer, rather than using the computational layer closest to the top of the sediment mixing layer. The reference velocity in the bottom computational layer is adjusted to the top of the sediment mixing layer using the apparent bed roughness k_a before being used to compute the bed shear velocity using the physical bed roughness k_s.

Depth at grid cell faces (velocity points)

During a morphological simulation the depth stored at the U and V velocity points must be updated to reflect the bed level changes calculated in the water level points. This *used to be* performed by setting the new depth for the velocity point by copying the new depth held at the water level point, using a simple upwind numerical scheme. As this may introduce instabilities in the flow computation, especially near drying and flooding and in tidal simulations, this method has been replaced by setting the depth at U and V points equal to the *minimum* of the adjacent depths in water level points. This change significantly improves the smoothness of flooding dry cells.

Remarks:

- ◇ The setting of depths at velocity points as the minimum of the adjacent water level points only comes into effect if sediment is present and the user-defined flag `MORUPD` is `.true.` (i.e. bathymetrical changes are expected to occur at some point during the simulation period). If this condition is not met then the depths at the velocity points do not need to be updated during the course of the simulation.
- ◇ The program still requires the depth at velocity points to be set to MOR for morphological simulations. This anticipated that this restriction is lifted in a coming release.
- ◇ Since the MOR and MIN procedures for computing the depth at cell interfaces are equivalent, we advise you to use the MIN procedure during the calibration of a hydronamic model that will later on be converted into a morphological model.

A File descriptions

A.1 Sediment input file

The sediment input file contains the characteristics of all sediment fractions. In the record description the name of the quantities are given to simplify their reference in the formulas given in chapter 8.

Remark:

- There are several versions of the <∗.sed> file. The keyword based file is described in Table A.1. The user interface of D-Flow FM and Delft3D-FLOW read and save the keyword based file. The file without keywords is accepted by the Delft3D-FLOW user interface but not by the D-Flow FM interface. The kernels can handle both types of files.

Table A.1: *Sediment input file with keywords*

Keyword	Record description
SedimentFileInformation	
`FileCreatedBy`	contains version number of user interface
`FileCreationDate`	creation date and time of the <∗.sed> file
`FileVersion`	version number
SedimentOverall	
`IopSus`	option for determining suspended sediment diameter (see section 8.3.1) (integer)
`Cref`	reference density (CSOIL) for hindered settling calculations (not active when $\geq 1 \cdot 10^6$) [kg/m^3] (1 real)
`MudCnt`	mud fraction (only if none of the sediment fractions is of type mud) uniform value (1 real) or file <∗.mdc> with spatially varying values at cell centres (1 string)
Sediment	
`Name`	name between # as specified in NamC in mdf-file
`SedTyp`	type of sediment; must be “sand”, “mud” or “bedload”: (1 string) “sand” and “mud” fractions need to be specified before “bedload” fractions.
`RhoSol`	specific density of sediment fraction [kg/m^3] (1 real)
`SedD`xx	xx percentile sediment diameter (for sand or bedload) where xx can take on values from 01 to 99 [m] (1 real)

continued on next page

Table A.1 – continued from previous page

Keyword	Record description
SedMinDia	minimum sediment diameter (for sand or bedload) [m] (1 real)
SedDia	median sediment diameter (for sand or bedload) equivalent to SedD50 [m] uniform value (1 real) or file <∗.d50> with spatially varying values at cell centres (1 string)
SedSg	geometric standard deviation of sediment diameter (for sand or bedload) [m] (1 real)
SedMaxDia	maximum sediment diameter (for sand or bedload) [m] (1 real)
SalMax	salinity for saline settling velocity (for mud) [ppt] (1 real)
WS0	settling velocity fresh water (for mud) [m/s] (1 real)
WSM	settling velocity saline water (for mud) [m/s] (1 real)
TcrSed	critical stress for sedimentation [N/m^2] uniform value (1 real) or file <∗.tcd> with spatially varying values at cell centres (1 string)
TcrEro	critical stress for erosion [N/m^2] uniform value (1 real) or file <∗.tce> with spatially varying values at cell centres (1 string)
EroPar	erosion parameter [kg/m^{2}s] uniform value (1 real) or file <∗.ero> with spatially varying values at cell centres (1 string)
CDryB	dry bed density [kg/m^3] (1 real)
SdBUni or IniSedThick	initial sediment mass at bed per unit area [kg/m^2] initial sediment layer thickness at bed [m] uniform value (1 real) or filename <∗.sdb> with non-uniform values at cell centres (1 string)
FacDSS	factor for determining suspended sediment diameter Dsus = FACDSS ∗ SEDDIA (for sand) [-] (1 real)

continued on next page

Table A.1 – continued from previous page

Keyword	Record description
`TraFrm`	Name of file containing the sediment transport formula settings (1 string) or sediment transport formula number **IFORM** (1 integer). See Section A.3. This formula overrules the default formula.
`*`	If `TraFrm` specifies the number of the sediment transport formula **IFORM** then the keywords associated with the sediment transport formula should be listed in this **Sediment** block. See Section A.3 for a listing of the transport formula specific keywords.
`SettleLib`	Name of the shared object (.dll on Windows, or .so on Linux) without file extension in which the user-defined settling velocity routine is located (1 string). Only to be specified in combination with `SettleFunction`.
`SettleFunction`	Name of the user-defined subroutine which provides the settling velocity (1 string). Only to be specified in combination with `SettleLib`. See section A.6 for a description of the subroutine interface.
`SettleInput`	Optional file name to be passed to SettleFunction (1 string). Only to be specified in combination with `SettleFunction`.
The Sediment block can be repeated for other fractions	

Remarks:

- ◇ The SedDia parameter may only be specified as a file if the simulation includes only one sediment fraction.
- ◇ There are a couple of options to specify the characteristic diameter(s) for sand or bedload fractions. Table A.2 gives an overview of the various options, the associated sediment distribution types and the implicit assumptions.

Table A.2: *Options for sediment diameter characteristics*

Specified quantities	Assumptions
SedDia (uniform value) or SedD50 (uniform value)	Piecewise log-uniform distribution SedD10 = 0.75 SedD50 SedD90 = 1.5 SedD50
SedDia (filename) or SedD50 (filename)	Lognormal distribution (spatially varying grain size) SedSg = 1.34
SedDia (filename) or SedD50 (filename), SedSg	Lognormal distribution (spatially varying grain size)

continued on next page

Table A.2 – continued from previous page

Specified quantities	**Assumptions**
SedDxx (any xx), SedSg	Lognormal distribution
Two SedDxx values	Lognormal distribution SedSg computed from xx and SedDxx
SedMinDia, SedMaxDia	Loguniform distribution
SedMinDia or SedMaxDia, One SedDxx value	Loguniform distribution
More than two SedDxx, SedMinDia, SedMaxDia values	Piecewise loguniform distribution
Other combinations	not allowed

Example of a version 2 file, with keywords:

```
[SedimentFileInformation]
   FileCreatedBy    = Delft3D-FLOW-GUI, Version: 3.39.14.03
   FileCreationDate = Thu Dec 08 2005, 14:47:46
   FileVersion      = 02.00
[SedimentOverall]
   IopSus        = 0                          Suspended sediment size is Y/N
                                              calculated dependent on d50
   Cref          = 1.60e+03          [kg/m3]  CSoil Reference density for hindered
                                              settling
[Sediment]
   Name             = #Sediment sand#         Name of the sediment fraction
   SedTyp           = sand                    Must be "sand", "mud" or "bedload"
   RhoSol           = 2.6500000e+003 [kg/m3]  Specific density
   SedDia           = 2.0000000e-004 [m]      Median sediment diameter (D50)
   CDryB            = 1.6000000e+003 [kg/m3]  Dry bed density
   IniSedThick      = 0.50e+000      [m]      Initial sediment layer thickness at bed
                                              (uniform value or file name)
   FacDSS           = 1.0e+0         [-]      FacDss*SedDia = Initial suspended
                                              sediment diameter.
[Sediment]
   Name             = #Sediment mud#          Name of the sediment fraction
   SedTyp           = mud                     Must be "sand", "mud" or "bedload"
   RhoSol           = 2.6500000e+003 [kg/m3]  Specific density
   SalMax           = 0.0000000e+000 [ppt]    Salinity for saline settling velocity
   WS0              = 2.5000001e-004 [m/s]    Settling velocity fresh water
   WSM              = 2.5000001e-004 [m/s]    Settling velocity saline water
   TcrSed           = 1.0000000e+003 [N/m2]   Critical stress for sedimentation
   TcrEro           = 5.0000000e-001 [N/m2]   Critical stress for erosion
   EroPar           = 9.9999997e-005 [kg/m2s] Erosion parameter
   CDryB            = 5.0000000e+002 [kg/m3]  Dry bed density
   IniSedThick      = 0.05e+000      [m]      Initial sediment layer thickness at bed
                                              (uniform value or file name)
   FacDSS           = 1.00e+0        [-]      FacDss*SedDia = Initial suspended
                                              sediment diameter
```

Table A.3: *Sediment input file without keywords*

Record	Record description
1	VERSION: version number (in the present Delft3D Release, this line should read "∗ Version 01")
2	LSED: number of sediment fractions CSOIL: reference density for hindered settling calculations (not active when $\geq 1 \cdot 10^6$) [kg/m^3] IOPSUS: option for determining suspended sediment diameter (see section 8.3.1) (1 integer, 1 real, 1 integer)
3	SEDTYP: type of sediment: "sand" or "mud" (1 string)
4	RHOSOL: specific density of sediment fraction [kg/m^3] (1 real)
5	SEDDIA: median sediment diameter (for sand) [m] (1 real)
6	SALMAX: salinity for saline settling velocity (for mud) [ppt] (1 real)
7	WS0: settling velocity fresh water (for mud) [m/s] (1 real)
8	WSM: settling velocity saline water (for mud) [m/s] (1 real)
9	TCDUNI: critical stress for sedimentation (uniform value) [N/m^2] (1 real) or FILTCD: file with spatially varying values of TCDUNI <∗.tcd> at cell centres (1 string)
10	TCEUNI: critical stress for erosion (uniform value) [N/m^2] (1 real) or FILTCE: file with spatially varying values of TCEUNI <∗.tce> at cell centres (1 string)
11	EROUNI: erosion parameter (uniform value) [kg/m^{2}s] (1 real) or FILERO: file with spatially varying values of EROUNI <∗.ero> at cell centres (1 string)
12	CDRYB: dry bed density [kg/m^3] (1 real)
13	SDBUNI: initial sediment mass at bed per unit area [kg/m^2] (1 real) or FILSDB: filename with non-uniform values of SDBUNI <∗.sdb> at cell centres (1 string)
14	FACDSS: factor for determining suspended sediment diameter Dsus = FACDSS∗SEDDIA (for sand) [-] (1 real)
15 to 27	repeat records 3 to 14 for a second sediment fraction; repeat this block as many times as there are sediment fractions (max. LSED)

Remarks:

- ◇ If no version number is specified, the program will read records 2 to 13 from the input file, and set FACDSS = 1. This has been done to ensure backward compatibility.

- ◇ The filenames for non-uniform parameters have a mandatory extension as indicated in Table A.3.
- ◇ Records 6–11 only have meaning for mud fractions (but have to be included for sand as well).
- ◇ Record 5 only has meaning for sand fractions (but has to be included in case of mud).

Example of a version 1 file, without keywords:

This example concerns the transport of two sediment fractions one sand (with a D_{50} = 140 micron) and one mud (with a spatially-varying critical stress for erosion, defined in the file <critstr.tce>). Comments are printed between brackets.

```
* Version 01
2 1600.  2      {LSED : no. of sediment, CSOIL, IOPSUS }
sand            {SEDTYP : type of sediment}
2650.0          {RHOSOL : density sediment [kg/m3]}
0.00014         {SEDDIA : median sediment diameter [m]}
0.0000          {SALMAX : salinity saline water [ppt]}
0.0000          {WS0 : settling velocity fresh water [m/s]}
0.0000          {WSM : settling velocity saline water [m/s]}
0.0000          {TCDUNI : critical stress for sedimentation [N/m2]}
0.0000          {TCEUNI : critical stress for erosion [N/m2]}
0.0000          {EROUNI : Erosion parameter [kg/m2/s]}
1600.0          {CDRYB : dry bed density [kg/m3]}
800.0           {SDBUNI : Uniform value of init. mass on bed [kg/m2]}
0.8             {FACDSS : factor for suspended sediment diameter [-]}
mud             {SEDTYP : type of sediment}
2650.0          {RHOSOL : density sediment [kg/m3]}
0.0000          {SEDDIA : median sediment diameter [m]}
10.000          {SALMAX : salinity saline water [ppt]}
0.0005          {WS0 : settling velocity fresh water [m/s]}
0.0020          {WSM : settling velocity saline water [m/s]}
0.1000          {TCDUNI : critical stress for sedimentation [N/m2]}
critstr.tce
0.0001          {EROUNI : Erosion parameter [kg/m2/s]}
300.0           {CDRYB : dry bed density [kg/m3]}
800.0           {SDBUNI : Uniform value of init. mass on bed [kg/m2]}
1.0             {FACDSS : factor for suspended sediment diameter [-]}
```

Remark:

- ◇ Additional comments in the input file are not mandatory.

Restrictions:

- ◇ Records specifying an attribute filename should not contain additional comment text.
- ◇ The values of the parameters are not checked against their domains.

Attribute files in the sediment input file

In the sediment input file 4 optional attribute files can be defined for spatially varying data:

FILTCD	critical stress for sedimentation [N/m^2].
FILTCE	critical stress for erosion [N/m^2].
FILERO	erosion parameter [kg/m^{2}s].
FILSDB	initial sediment mass at the bed per unit area [kg/m^2].

These (ASCII) files have the same format as the depth file. See **??**:

Record description:

File type	Record description
Free formatted	Parameter values per row, starting at N = 1 to N = Nmax, separated by one or more blanks. The number of continuation lines is determined by the number of grid points per row (Mmax) and the maximum record size of 132.

Restrictions:

- ◇ The maximum record length in the free formatted file is 132.
- ◇ Parameter values from the file will not be checked against their domain.
- ◇ The input items are separated by one or more blanks.

A.2 Morphology input file

The morphological input file contains additional information necessary for a morphodynamic run. Like the <∗.sed> file there is the (old) version without keywords and a newer version with keywords. All user interfaces only write the newer keyword-based version, but the Delft3D-FLOW user interface also accepts the old file without keywords — the D-Flow FM user interface doesn't.

Table A.4: *Morphological input file with keywords*

Keyword	Record description
MorphologyFileInformation	
FileCreatedBy	contains version number of the user interface
FileCreationDate	creation date and time of the <∗.mor> file
FileVersion	version number
Morphology	
MorFac	morphological scale factor constant (1 real) or file with time-dependent values (string) in case of a file: no text may be used after the filename
MorStt	time interval in Tunit after the start of the simulation after which morphological changes will be calculated (1 real)
Thresh	threshold sediment thickness for reducing sediment exchange [m] (1 real)
MorUpd	update bed level during flow run (1 logical: false or true) Keyword to be replaced by BedUpd.
BedUpd	update bed level during flow run (1 logical: false or true)

continued on next page

Table A.4 – continued from previous page

Keyword	Record description
CmpUpd	update bed composition during flow run (1 logical: false or true)
NeglectEntrainment	compute bed level changes from suspended sediment transport rates instead of from the entrainment and deposition terms; neglect the entrainment of suspended sediment in the mass balance (1 logical: false or true)
EqmBc	Neumann boundary condition for non-cohesive suspended sediment concentrations at inflow boundaries (1 logical: false or true) Keyword to be replaced by NeuBcSand
NeuBcSand	Neumann boundary condition for non-cohesive suspended sediment concentrations at inflow boundaries (1 logical: false or true)
NeuBcMud	Neumann boundary condition for cohesive suspended sediment concentrations at inflow boundaries (1 logical: false or true)
DensIn	include effect of sediment on density gradient (1 logical: false or true)
AksFac	Van Rijn's reference height = AKSFAC $*$ KS (1 real)
RWave	multiplication factor estimated ripple height; wave related roughness = RWAVE $*$ estimated ripple height (1 real) NOTE: estimated ripple height now fixed at 0.025 m.
Sus	current-related suspended sediment transport factor (1 real)
Bed	current-related bedload transport factor (1 real)
SusW	wave-related suspended sediment transport factor (1 real)
BedW	wave-related bedload sediment transport factor (1 real)
SedThr	minimum depth for sediment calculations (1 real)
ThetSD	global / maximum dry cell erosion factor (1 real)
HMaxTH	maximum depth for variable THETSD (1 real)

continued on next page

Table A.4 – continued from previous page

Keyword	Record description
FWFac	tuning parameter for wave streaming (1 real)
EpsPar	Only for waves in combination with k-epsilon turbulence model; Van Rijn's parabolic mixing coefficient (1 logical)
IopKCW	option for ks and kw (1 real)
RDC	current related roughness ks (1 real)
RDW	wave related roughness kw (1 real)
UpdInf	update bed levels at inflow boundaries (1 logical: false or true)
Multi	"Mormerge": run multiple morphological simulations in parallel and continuously merge the morphological developments (1 logical: false or true). See https://svn.oss.deltares.nl/repos/delft3d/trunk/examples/05_mormerge
DzMax	maximum bed level change per time step expressed as percentage of water depth (1 real)
CaMax	maximum equilibrium sediment concentration in Van Rijn formula (1 real)
OldMudFrac	if true, do not include the fractional reduction factor in the mud entrainment term (1 logical: false or true)
IHidExp	hiding and exposure formulation number (1 integer in the range 1 to 5) If the simulation includes a mud fraction, only 1 is allowed. 1 no hiding and exposure 2 Egiazaroff formulation 3 Ashida & Michiue formulation 4 Parker et al. formulation 5 Wu, Wang & Jia formulation
ASKLHE	hiding and exposure parameter for formulation 4 (1 real)
MWWJHE	hiding and exposure parameter for formulation 5 (1 real)
Espir	effect of spiral flow on bedload transport (1 real)

continued on next page

Table A.4 – continued from previous page

Keyword	Record description
`ISlope`	bed slope formulation (1 integer in the range 1 to 4) 1 no bed slope 2 Bagnold formulation 3 Koch & Flokstra formulation 4 Parker & Andrews formulation
`AlfaBs`	longitudinal bed gradient factor for bedload transport (1 real) used by all formulations except formulation 1
`AlfaBn`	transverse bed gradient factor for bedload transport for formulation 2 (1 real)
`Ashld`	multiplicative factor Ash for bed slope formulation 3 (1 real)
`Bshld`	power Bsh for bed slope formulation 3 (1 real)
`Cshld`	power Csh for bed slope formulation 3 (1 real)
`Dshld`	power Dsh for bed slope formulation 3 (1 real)
`CoulFri`	Coulomb friction for bed slope formulation 4 (1 real)
`FlFdRat`	Lift/drag force ratio for bed slope formulation 4 (1 real)
`ThetaCr`	Critical shear stress for bed slope formulation 4 (1 real)
`BcFil`	file containing morphological boundary conditions (1 string)
Boundary	
`Name`	name of boundary as specified in BND file (1 string)
`IBedCond`	bedload or bed level boundary condition (1 integer in the range 0 to 5) 0 no bed level constraint 1 bed level fixed 2 depth specified as function of time 3 depth change specified as function of time 4 bedload transport rate prescribed (volume rate of bed material) 5 bedload transport rate prescribed (volume rate of stone)

continued on next page

Table A.4 – continued from previous page

Keyword	**Record description**
`ICmpCond`	bed composition boundary condition (1 integer in the range 0 to 3) 0 no bed composition constraint 1 composition constant 2 mass fractions specified as function of time 3 volume fractions specified as function of time
the Boundary block can be repeated for other boundaries	
Numerics	
`UpwindBedload`	use upwind bedload (true, default) or central bedload (false)
`LaterallyAveragedBedload`	smoothed bedload transport rates (1 logical: false or true). Default false.
`MaximumWaterdepth`	use locally maximum water depth to compute characteristic velocity for sediment transport at cell centre (1 logical: false or true). Default false.
Output	
	All keywords in this block determine whether the named quantity is to be written to the map-file. Unless indicated otherwise, the value should be 1 logical and the default is false.
`VelocAtZeta`	characteristic velocity vector at cell centres
`VelocMagAtZeta`	velocity magnitude at cell centres
`VelocZAtZeta`	height of characteristic velocity at cell centres
`ShearVeloc`	shear velocity u_*
`BedTranspAtFlux`	bedload transport (due to currents and waves) plus suspended transport due to waves at staggered cell faces. Default true.
`BedTranspDueToCurrentsAtZeta`	bedload transport due to currents at cell centres
`BedTranspDueToCurrentsAtFlux`	bedload transport due to currents at staggered cell faces
`BedTranspDueToWavesAtZeta`	bedload transport due to waves at cell centres

continued on next page

Table A.4 – continued from previous page

Keyword	Record description
BedTranspDueToWavesAtFlux	bedload transport due to waves at staggered cell faces
SuspTranspAtFlux	depth integrated suspended load transport minus near bed corrective transport at staggered cell faces. Default true.
SuspTranspDueToWavesAtZeta	suspended load transport due to waves at cell centres
SuspTranspDueToWavesAtFlux	suspended load transport due to waves at staggered cell faces
NearBedTranspCorrAtFlux	near bed corrective transport at staggered cell faces
EquilibriumConcentration	equilibrium concentration at which entrainment equals deposition. Only for 2D simulations. Default true.
NearBedRefConcentration	near bed reference concentration. Default true.
SettlingVelocity	settling velocity. Default true.
SourceSinkTerms	source and sink terms
Bedslope	bed slope vector
Taurat	shear stress ratio
Bedforms	bed form roughnesses
Dm	arithmetic mean sediment diameter
Dg	geometric mean sediment diameter
Frac	sediment fraction in top layer
MudFrac	mud fraction in top layer
FixFac	non-erodible layer reduction factor
HidExp	hiding and exposure factor
Percentiles	percentiles of characteric sediment diameter to be written to the map-file (default: 10, 50 and 90)
CumNetSedimentationFlux	accumulated net sedimentation over the period between two map-file output times

continued on next page

Table A.4 – continued from previous page

Keyword	Record description
`BedLayerSedimentMass`	mass of each sediment fraction per unit area per bed layer. Default: true.
`BedLayerDepth`	depth of bed layer interfaces. Default: true.
`BedLayerVolumeFractions`	volume fraction of each sediment fraction per bed layer. Default: true.
`BedLayerPorosity`	porosity per bed layer. Only if IPorosity>0. Default: true.
`StatWaterDepth`	The value lists the statistics to be computed and stored for the water depth over the period between two output times (1 string). The program will check whether the following substrings occur in the value string: min, max, mean, and std for minimum, maximum, mean, and standard deviation respectively. Default: none.
`StatVelocity`	The value lists the statistics to be computed and stored for the depth averaged velocity over the period between two output times (1 string). The program will check whether the following substrings occur in the value string: min, max, mean, and std for minimum, maximum, mean, and standard deviation respectively. Default: none.
`StatBedload`	The value lists the statistics to be computed and stored for the total bed load (accumulated over all sediment fractions) over the period between two output times (1 string). The program will check whether the following substrings occur in the value string: min, max, mean, and std for minimum, maximum, mean, and standard deviation respectively. Default: none.
`StatSuspload`	The value lists the statistics to be computed and stored for the total suspended load (accumulated over all sediment fractions) over the period between two output times (1 string). The program will check whether the following substrings occur in the value string: min, max, mean, and std for minimum, maximum, mean, and standard deviation respectively. Default: none.

continued on next page

Table A.4 – continued from previous page

Keyword	**Record description**
`TranspType`	sediment transport unit (1 integer in the range 0 to 2): 0 kg/(s m) 1 m^3 bed material/(s m) 2 m^3 stone/(s m) (default option)
`AverageAtEachOutputTime`	cumulative average of sediment transport rates at each map output time step instead of only at end of simulation
Underlayer	
`IUnderLyr`	stratigraphy schematisation model (1 integer, either 1 or 2) 1 one well mixed layer 2 multiple layers
`MxNULyr`	maximum number of underlayers (excluding transport and base layers) in case IUnderLyr=2 (1 integer)
`TTLForm`	transport layer thickness formulation in case IUnderLyr=2 (1 integer in the range 1 to 3) 1 constant user-defined 2 proportional to water depth 3 proportional to bedform height
`ThTrLyr`	thickness of transport layer in case of TTLForm=1 uniform or (1 real) or file <∗.ttl> with spatially varying values at cell centres (1 string)
`TTLAlpha`	proportionality constant in case of TTLForm=2 or 3
`TTLMin`	minimum thickness in case of TTLForm=2 or 3
`ThUnLyr`	characteristic maximum thickness of stratigraphy layers in case IUnderLyr=2 (1 real)
`UpdBaseLyr`	update option for composition and thickness of base layer (1 integer in the range 1 to 4) 1 composition and thickness computed 2 composition constant, thickness computed 3 composition copied from layer above, thickness computed 4 composition and thickness constant

continued on next page

Table A.4 – continued from previous page

Keyword	Record description
`IniComp`	file containing initial bed composition (1 string) usage of this keyword overrules the `IniSedThick` (or older `SdBUni`) values given in the sed file (see section A.8)

For these boundary conditions you need to specify the imposed time-series in the file referred to using the `BcFil` keyword. File format described in **??**.

Example of a version 2 file, with keywords:

```
[MorphologyFileInformation]
   FileCreatedBy    = Delft3D-FLOW-GUI, Version: 3.39.14.03
   FileCreationDate = Thu Dec 08 2005, 14:47:50
   FileVersion      = 02.00
[Morphology]
   EpsPar    = false              Only for waves in combination with k-eps
   IopKCW    = 1                  Flag for determining Rc and Rw
   RDC       = 0.01           [m] Current related roughness (IopKCW = 0)
   RDW       = 0.02           [m] Wave related roughness (IopKCW = 0)
   MorFac    = 1.0000000e+000 [-] Morphological scale factor
   MorStt    = 7.20e+02     [min] Spin-up interval from TStart till start of morph changes
   Thresh    = 5.0e-002       [m] Threshold sed thickness for reducing sed
                                  exchange
   MorUpd    = true               Update bathymetry during flow run
   EqmBc     = true               Equilibrium concentration at inflow
                                  boundaries
   DensIn    = false              Include effect of sediment on density
                                  gradient
   AksFac    = 1.00000e+000   [-] Van Rijn's reference height = AKSFAC * KS
   RWave     = 2.0e+0         [-] Wave related roughness = RWAVE * estimated
                                        ripple height. Van Rijn Recommends range 1-3
   AlfaBs    = 1.00e+00  [-]  Longitudinal bed gradient factor for bedload transport
   AlfaBn    = 1.50e+0   [-]  Transverse bed gradient factor for bedload transport
   Sus       = 1.0e+0    [-]  Multipl fac for suspended sed reference concentration
   Bed       = 1.0e+00   [-]  Multipl factor for bedload transport vector magnitude
   SusW      = 1.0e+000  [-]  Wave-related suspended sed. transport factor
   BedW      = 1.00e+000 [-]  Wave-related bedload sed. transport factor
   SedThr    = 1.00e-001 [m]  Minimum threshold depth for sediment computations
   ThetSD    = 0.00e+000 [-]  Fraction of erosion to assign to adjacent dry cells
   HMaxTH    = 1.50e+00  [m]  Max depth for var THETSD. Set < SEDTHR to use global
                              value only
   FWFac     = 1.0e+00   [-]  Only for waves in combination with k-eps model
```

Table A.5: *Morphological input file without keywords*

Record	Record description
1	VERSION: version number (in the present Delft3D Release, this line should read "∗ Version 01")
2	MORFAC: morphological scale factor (1 real)
3	MORSTT: time interval in minutes after the start of the simulation after which morphological changes will be calculated (1 real)

Table A.5: *Morphological input file without keywords*

Record	Record description
4	THRESH: threshold sediment thickness for reducing sediment exchange [m] (1 real)
5	MORUPD: update bathymetry during flow run (1 logical: .false. or .true.)
6	EQMBC: equilibrium sediment concentration profile at inflow boundaries (1 logical: .false. or .true.)
7	DENSIN: include effect of sediment on density gradient (1 logical: .false. or .true.)
8	AKSFAC: Van Rijn's reference height = AKSFAC $*$ KS (1 real)
9	RWAVE: multiplication factor estimated ripple height; wave related roughness = RWAVE $*$ estimated ripple height (1 real) NOTE: estimated ripple height now fixed at 0.025 m.
10	ALFABS: longitudinal bed gradient factor for bedload transport (1 real)
11	ALFABN: transverse bed gradient factor for bedload transport (1 real)
12	SUS: current-related suspended sediment transport factor (1 real)
13	BED: current-related bedload transport factor (1 real)
14	SUSW: wave-related suspended sediment transport factor (1 real)
15	BEDW: wave-related bedload sediment transport factor (1 real)
16	SEDTHR: minimum depth for sediment calculations (1 real)
17	THETSD: global / maximum dry cell erosion factor (1 real)
18	HMAXTH: maximum depth for variable THETSD (1 real)
19	FWFAC: tuning parameter for wave streaming (1 real)
20	EPSPAR: Van Rijn's parabolic mixing coefficient (1 logical)
21	IOPKCW: option for ks and kw, RC: current related roughness ks, RW: wave related roughness kw

Example version 1 file with no keywords:

This example concerns a morphological simulation in which the bed-level updating commences 6250 minutes after the start of the simulation. Comments are printed between brackets.

```
* Version 01
180.          {MORFAC : morphological scale factor}
6250.         {MORSTT : time interval in min after start, for bed updating}
0.2           {THRESH : threshold sed. thickness for reducing sed. exchange}
.true.        {MORUPD : update bathymetry during flow run}
.true.        {EQMBC : equilibrium concentration at inflow boundaries}
.true.        {DENSIN : include effect of sediment on density gradient}
1.0           {AKSFAC : Van Rijn's reference height = AKSFAC * KS}
2.0           {RWAVE : multiplication factor estimated ripple height}
1.0           {ALFABS : long. bed gradient factor for bedload transport}
1.5           {ALFABN : tran. bed gradient factor for bedload transport}
1.0           {SUS : multiplication factor sus. sed. ref. concentration}
1.0           {BED : multiplication factor bedload transp. vector magn.}
1.0           {SUSW : wave-related suspended sediment transport factor}
1.0           {BEDW : wave-related bedload sediment transport factor}
0.25          {SEDTHR : minimum depth for sediment calculations}
1.0           {THETSD : global / maximum dry cell erosion factor}
0.01          {HMAXTH : maximum depth for variable THETSD}
0.1           {FWFAC : tuning parameter for wave streaming}
.false.       {EPSPAR : Van Rijn's parabolic-linear mixing distribution}
1 0.01 0.02   {IOPKCW, RDC, RDW : parameters for determining morphological roughness}
```

Remarks:

- If no version number is specified, the program will read records 2 to 19 from the input file, and set EPSPAR = FALSE and IOPKCW = 1. This has been done to ensure backward compatibility.
- If EPSPAR is set to TRUE, Van Rijn's parametric mixing distribution is also used if the k-ε model is selected in FLOW. If it is set to FALSE, the mixing is set equal to the ε of the k-ε model.
- IOPKCW is a switch to determine ks and kw:

  IOPKCW = 0 : ks = RDC and kw = RDW
  IOPKCW = 1 : ks is taken from current-related effective roughness height as determined in the FLOW (spatially varying) and $k_w = RWAVE \cdot \Delta_r$ (see section 8.3.3).
- The file for specifying bedload, bed level and/or bed composition boundary conditions is described in **??**.

Restriction:

- The values of the parameters are not checked against their domains.

Output enhancements:

The following parameters or (time dependent) data have been added to the result files:

Result file	**Data**
History file	Sediment concentrations, bedload transport, suspended transport, cumulative bedload and suspended transports in monitoring points and integrated over cross-sections, near-bed reference concentrations
Map file	Sediment concentrations per layer, bedload and suspended transport, instantaneous and averaged, time-varying bathymetry, available sediment per fraction, cumulative erosion/sedimentation, near-bed reference concentrations, as well as any additional quantity selected in the output block of the morphology input file (as indicated in Table A.4)

Remarks:

- Use the MATLAB interface or Delft3D-QUICKPLOT to plot all these parameters.
- Use the parameter DENSIN to switch on or off the effect of the sediment concentration on the density and thereby its influence on the turbulence (hindered settling).
- You can use the utility DATSEL to read these values from file. This requires the following modifications to the <files.def>-file in directory <$D3D_HOME\$ARCH\flow\default>. For PC this directory is usually located at: <c:\delft3d\w32\flow\default>. The section about the 'trim'-file should read:

```
'trim-'
'XCOR','YCOR','ALFAS','map-const'
10
'initial bottom depth',      'DP0'  ,' '    ,'map-const' ,'CODB', 'TEMPOUT','d'
'depth water level points',  'DP0'  ,' '    ,'map-const' ,'KCS','map-const','s'
'water level',               'S1'   ,' '    ,'map-series','KCS','map-const','c'
'velocity',                  'U1',   'V1',   'map-series','KCS','map-const','u'
'bottom stress',           'TAUKSI','TAUETA','map-series','KCS','map-const','u'
'thickness of bed layer',    'DPSED',' '    ,'map-sed-series','KCS','map-const','c'
'time-varying depth',        'DPS',' '      ,'map-sed-series','KCS','map-const','c'
'bottom sediment kg/m2',     'BODSED',' '   ,'map-sed-series','KCS','map-const','c'
'bedload transport',        'SBUU' ,'SBVV' ,'map-sed-series','KCS','map-const','u'
'susp. load transport',      'SSUU' ,'SSVV' ,'map-sed-series','KCS','map-const','u'
```

A.3 Sediment transport input file

By default, the formulations of Van Rijn *et al.* (2000) are applied for the suspended and bedload transport of non-cohesive sediment (**IFORM** $= -1$), while the formulations of Partheniades and Krone are used for cohesive sediment (**IFORM** $= -3$). These are just two of the sediment transport formulae implemented; Table A.6 gives an overview of all transport formulae available. You can also supply a library with your own favourite sediment transport formula and use one of those, but more about that in Section A.4. Let's focus now on the set of predefined formulations.

If you want to use one of these formulae, you have to specify the **IFORM** number listed in Table A.6 as value for the keyword `TraFrm` in the **Sediment** block of the sediment transport input file (see Table A.1) and specify the keywords relevant for the selected transport formula. The following table lists the parameters to be specified in the sediment transport input file for each separate transport formula.

Table A.6: *List of transport formulae implemented*

Formula	Bedload	Affected by Waves	IFORM
for cohesive fractions			
8.2.3, Partheniades-Krone	Suspended	Yes	-3
A.5, User defined transport routine for mud fractions	Suspended	Yes	—
for non-cohesive fractions			
8.5.1, Van Rijn (2007)	Bedload + suspended	Yes	-2
??, **??**	Bedload + suspended	Yes	-2
8.5.2, Van Rijn (1993)	Bedload + suspended	Yes	-1
8.5.3, Engelund-Hansen (1967)	Total transport	No	1
8.5.4, Meyer-Peter-Muller (1948)	Total transport	No	2
8.5.5, General formula	Total transport	No	4
8.5.6, Bijker (1971)	Bedload + suspended	Yes	5
8.5.7, Van Rijn (1984)	Bedload + suspended	No	7
8.5.8, Soulsby/Van Rijn	Bedload + suspended	Yes	11
8.5.9, Soulsby	Bedload + suspended	Yes	12
8.5.10, Ashida-Michiue (1974)	Total transport	Yes	14
8.5.11, Wilcock-Crowe (2003)	Bedload	No	16
8.5.12, Gaeuman et al. (2009) laboratory calibration	Bedload	No	17
8.5.13, Gaeuman et al. (2009) Trinity River calibration	Bedload	No	18
A.4, User defined transport routine for sand or bedload fractions	Bedload + suspended	Yes	—

Table A.7: *Transport formula parameters*

Keyword	Parameter	Unit
8.2.3, Partheniades-Krone		
EroPar	erosion parameter	kg/m^{2}s
TcrSed	critical stress for sedimentation	N/m^2
TcrEro	critical stress for erosion of bed	N/m^2
TcrFluff	critical stress for erosion of fluff layer	N/m^2
ParFluff0	maximum erosion flux from fluff layer	kg/m^{2}s
ParFluff1	erosion parameter for fluff layer	1/m^{2}s
DepEff	reduction factor for deposition/sedimentation rate (value between 0 = no sedimentation and 1 = reference sedimentation, or equal to -1 = reduction based on critical stress for sedimentation) [default: -1]	-
A.5, User defined transport routine for mud fractions		
	none	-
8.5.1, Van Rijn (2007)		
IopSus	option for determining suspended sediment diameter (see section 8.3.1)	integer
Pangle	phase lead for bed shear stress of Nielsen (1992)	deg
Fpco	phase lag effects in wave-induced suspended transport	-
Subiw	wave period subdivision [Default: 50]	integer
EpsPar	only for waves in combination with k-epsilon turbulence model; Van Rijn's parabolic mixing coefficient	logical
GamTcr	power of the grain size ratio in the critical shear stress expression	-
SalMax	salinity for saline settling velocity	ppt
??, **??**		
santoss	switch to use the SANTOSS formula to calculate the wave- and current-related bed and suspended load within the wave boundary layer as described in **??**, [1 is true, default is 0]	-
SW_effects	switch to turn on surface wave effects, [1 is true, default is 1]	-
AS_effects	switch to turn on wave asymmetry effects, [1 is true, default is 1]	-
PL_effects	switch to turn on phase lag effects, [1 is true, default is 1]	-
SL_effects	switch to turn on slope effect effects on critical shear stress, [1 is true, default is 1]	-
write_para	switch to write SANTOSS intermediate parameter output, [1 is true, default is 0]	-
8.5.2, Van Rijn (1993)		
IopSus	option for determining suspended sediment diameter (see section 8.3.1)	integer
AksFac	Van Rijn's reference height = AKSFAC $*$ KS	-
RWave	multiplication factor estimated ripple height; wave related roughness = RWAVE $*$ estimated ripple height (1 real) NOTE: estimated ripple height now fixed at 0.025 m.	-

Keyword	Parameter	Unit
RDC	current related roughness ks	m
RDW	wave related roughness kw	m
IopKCW	option for ks and kw	0/1
EpsPar	Only for waves in combination with k-epsilon turbulence model; Van Rijn's parabolic mixing coefficient	logical
8.5.3, Engelund-Hansen (1967)		
ACal	calibration coefficient α	-
RouKs	bed roughness height r_k (dummy)	m
SusFac	suspended sediment fraction	-
8.5.4, Meyer-Peter-Muller (1948)		
ACal	calibration coefficient α	-
8.5.5, General formula		
ACal	calibration coefficient α	-
PowerB	power b	-
PowerC	power c	-
RipFac	ripple factor or efficiency factor μ	-
ThetaC	critical Shields' mobility parameter θ_c	-
8.5.6, Bijker (1971)		
CalBs	calibration coefficient b for shallow water BS	-
CalBd	calibration coefficient b for deep water BD	-
CritCs	shallow water (h_w/h) criterion C_s	-
CritCd	deep water (h_w/h) criterion C_d	-
–*	dummy parameter	NA
RouKs	bed roughness height r_c	m
WSettle	settling velocity w	m/s
Porosity	porosity ε	-
TWave	wave period T_{user} (used if computed wave period $< 10^{-6}$)	s
8.5.7, Van Rijn (1984)		
ACal	calibration coefficient α_1	-
–*	dummy parameter	NA
Aks	reference height ξ_c	m
WSettle	settling velocity w_s	m/s
8.5.8, Soulsby/Van Rijn		
ACal	calibration coefficient A_{cal}	-
RatioD90D50	D_{90}/D_{50} ratio	-
RouZ0	z_0 roughness height	m
8.5.9, Soulsby		
ACal	calibration coefficient A_{cal}	-
ModInd	model index modind	-
RatioD50Z0	D_{50}/z_0 ratio χ	-
–, Wang/Fredsoe		
VicMol	kinematic (molecular) viscosity coefficient ν_{mol}	m^2/s
ACal	calibration coefficient A_{cal}	-
8.5.10, Ashida-Michiue (1974)		
ACal	calibration coefficient α	-
ThetaC	critical Shields' mobility parameter θ_c	-

Keyword	Parameter	Unit
PowerM	power m	-
PowerP	power p	-
PowerQ	power q	-
8.5.11, Wilcock-Crowe (2003)		
ACal	alibration coefficient	-
8.5.12, Gaeuman et al. (2009) laboratory calibration		
ThetaC0	calibration coefficient θ_{c0}	-
Alpha0	calibration coefficient α_0	-
8.5.13, Gaeuman et al. (2009) Trinity River calibration		
ThetaC0	calibration coefficient θ_{c0}	-
Alpha0	calibration coefficient α_0	-
A.4, User defined transport routine for sand or bedload fractions		
	none	-

–* Dummy parameters are only relevant for old files not using keywords.

The value of any parameter can be a number (uniform value) or a file name (spatially varying value). This is an example of a sediment file (see Section A.1) with keywords to be used with the Bijker formulation. All parameters are constant except for the bed porosity which is specified to be spatially varying; the values are read from the file <poros.par>.

```
[SedimentFileInformation]
   FileCreatedBy = Delft3D-FLOW-GUI, Version: 3.39.14.03
   FileCreationDate = Thu Dec 08 2005, 14:47:46
   FileVersion = 02.00
[Sediment]
   Name             = #Sediment sand#         Name of the sediment fraction
   SedTyp           = sand                    Must be "sand", "mud" or "bedload"
   RhoSol           = 2.6500000e+003 [kg/m3]  Specific density
   SedDia           = 2.0000000e-004 [m]      Median sediment diameter (D50)
   CDryB            = 1.6000000e+003 [kg/m3]  Dry bed density
   IniSedThick      = 0.50e+000      [m]      Initial sediment layer thickness at bed
                                              (uniform value or file name)
   FacDSS           = 1.0            [-]      FacDss*SedDia = Initial suspended
                                              sediment diameter.
   TraFrm           = 5                       Transport formula number
                                                    5 represents Bijker (1971)
   CalBs            = 5              [-]      Calibration coefficient b
                                                    for shallow water BS
   CalBd            = 2              [-]      Calibration coefficient b
                                                    for deep water BD
   CritCs           = .4             [-]      Shallow water (hw=h) criterion Cs
   CritCd           = .05            [-]      Deep water (hw=h) criterion Cd
   RouKs            = .05            [m]      Bed roughness height rc
   WSettle          = .016           [m/s]    Settling velocity w
   Porosity         = #poros.par#    [-]      Bed porosity
   TWave            = 7.0            [s]      Wave period (only used if the computed
                                                    wave period < 10E-6)
```

Backward compatibility

The kernel also supports old files in which the value of TraFrm is not the integer of the sediment transport formula, but the name of a sediment transport input file <∗.tra>. This option is not supported by the user interface. These sediment transport input files exist in two flavours: keyword based and not keyword based.

Remark:

- ◇ The user-defined transport formula requires a keyword based transport input file as described below.

Keyword based transport formula files

The format of the keyword based transport input file is given in Table A.8. This file may select one of the implemented transport formulae by means of the transport formula number **IFORM** or it may point to a shared library (on Windows commonly referred to as a DLL) and the subroutine in that library that should be called to determine the transport rates by means of a user-defined transport formula. Two examples are given below: one for the built-in Bijker formula and one for a user-defined transport formula.

Remarks:

- ◇ The user-specified library may contain one or more sediment transport formulae.
- ◇ The interface of the user-specified transport formula subroutine depends on the type of sediment ("sand", "bedload" or "mud") for which the formula is to be used. For sand fractions the routine should return `sbc_total`, `sbc`, `sbcu`, `sbcv`, `equi_conc`, `cesus`, `ssus`, `sbwu`, `sbwv`, `sswu`, `sswv` and `t_relax`. Even though bedload fractions don't have a suspended load component, the subroutine for such sediment fractions should return the same list of quantities as for the case of sand fractions. For mud fractions the routine should return `source` and `sink`. The meaning of these output arguments is described in the Sections A.4 and A.5 for sand and mud fractions, respectively.

Below, you find an example of a keyword based sediment transport input file using the Bijker formulation. The example uses uniform values for all parameters except for the bed porosity which is read from a file <poros.par>.

```
[TransportFormulaFileInformation]
   FileCreationDate = Thu Dec 08 2005, 14:47:50
   FileVersion      = 01.00
[TransportFormula]
   Number   = 5
   CalBs    = 5
   CalBd    = 2
   CritCs   = .4
   CritCd   = .05
   RouKs    = .05
   WSettle  = .016
   Porosity = #poros.par#
   TWave    = 7.0
```

The second example concerns the use of user-defined subroutine `EngHan` that implements the Engelund Hansen transport formula; the subroutine is located in a libary <MyTransportLibrary.dll> or <MyTransportLibrary.so> depending on the operating system. The `DLL` points to the appropriate library file (which should be located in the work directory or somewhere on the Windows search path). The `Function` points to the appropriate subroutine in the library file.

```
[TransportFormulaFileInformation]
   FileCreationDate = Thu Dec 08 2005, 14:47:50
   FileVersion      = 01.00
[TransportFormula]
   Name     = My Engelund Hansen implementation
   DLL      = MyTransportLibrary
   Function = EngHan
```

Table A.8: *Sediment transport formula input file with keywords*

Keyword	Record description
`TransportFormulaFileInformation`	
`FileCreatedBy`	contains version number of user interface
`FileCreationDate`	creation date and time of the <∗.tra> file
`FileVersion`	version number, currently 01.00
`TransportFormula`	
`Number`	sediment transport formula number **IFORM** (1 integer). Only used for the transport formulae listed in Table A.6.
*	If `TraFrm` specifies the number of the sediment transport formula **IFORM** then the keywords associated with the sediment transport formula should also be listed in this block. See Table A.7 for a listing of the transport formula specific keywords.
`Name`	name of transport formula (string). Only used for user defined transport formulae.
`DLL`	library name without <.dll> or <.so> extension (string). Only used for user defined transport formulae.
`Function`	function name within library to call. Only used for user defined transport formulae.
`InputFile`	optional file name to be passed to library. Only used for user defined transport formulae.

Transport formula files without keywords

The formatting of these files is as follows:

- ◇ The file without keywords may start with an arbitrary number of lines not containing the text `IFORM`.
- ◇ Then a line starting with sediment transport formula number **IFORM** and containing text `IFORM`.
- ◇ Then an arbitrary number of lines starting with an asterisk (∗) may follow.
- ◇ Then a line starting with the number sign (#) followed by a transport formula number optionally followed by text identifying the transport formula for the user. The next lines should contain the parameter values of the transport formula coefficients: one parameter value per line optionally followed by text identifying the parameter. There may be an arbitrary number of blocks starting with # in the file, but exactly one should correspond to the transport formula number IFORM specified above.

An example file for transport formula 5 referred to as "Bijker (1971)" is provided below. This file format only supports the specification of uniform values (spatially varying parameters are only supported in the newer keyword based input files). Dummy parameters listed in Table A.7 must be included.

Remarks:

- ◇ Van Rijn (1993) does not require any additional parameters. Only the transport formula number (-1) followed by the string `IFORM` is required.
- ◇ The keyword `IFORM` must be present in the same line as the formula number **IFORM**.
- ◇ The file should not contain tabs.

```
5           Number of transport formula  IFORM
*-------------------------------------------------------
#5          BIJKER with wave effect
 5          -Par 1-  Coefficient shallow water    BS
 2          -Par 2-  Coefficient deep water       BD
 .4         -Par 3-  Shallow water limit          CRITS
 .05        -Par 4-  Deep water limit             CRITD
 .000300    -Par 5-  Dummy D90 grain size         D90
 .05        -Par 6-  Bottom roughness height      RK
 .016       -Par 7-  Particle fall velocity       W
 .4         -Par 8-  Porosity                     POR
 7.0        -Par 9-  Wave Period                  T
# End of specification of transport relation
```

Note that only the number 5, the marker #5 and the values on the next lines are required. All the other text is optional.

A.4 User defined transport routine for sand or bedload fractions

This section gives an example code for a user-defined transport routine for sand or bedload fractions. The interface of the routine for mud fractions is slightly different; it is described in section A.5. This particular example implements the Engelund and Hansen (1967) formula as a total load transport formula; the code can be found in the source directory of the Delft3D installation on your computer.

The order and way in which arguments are passed to external functions differs among FORTRAN compilers. Most compilers allow you to change these settings, however, if these settings do not match the settings of the calling program the program will crash when trying to call the subroutine in the supplied library. It is, therefore, important to make sure that the

settings that you use to compile the library match the settings used when compiling delftflow. It therefore recommended to generate the library using the same compiler as delftflow; at this moment this is the Intel Fortran 11 compiler[1] using default settings for a multithreaded program.

Most of the code is straightforward and standard Fortran, so it should be fairly easy to understand. Some statements may, however, require some explanation. The `!DEC$` statement is read by the compiler and makes sure the subroutine name is visible to the outside world. The real type "hp" is defined as a double precision quantity: even if the simulation runs in single precision, the communication with the library occurs in double precision hence all input and output arguments of the subroutine should be defined to be of the type "real(hp)".

The input quantities are provided using three linear arrays, namely a real array, an integer array and a character array. Each element of these arrays represents a different quantity; see the example for a description of the various input items. You may either use the various elements directly in your formulae or define local variables as done in the example; the latter approach keeps your own code more readable and separate from the Delft3D interface. The array approach for the input items allows us to add extra input parameters to the end of the arrays without breaking compatibility with older routines.

```
subroutine enghan(dll_integers, max_integers, &
                  dll_reals   , max_reals   , &
                  dll_strings , max_strings , &
                  sbc_total, sbc  , sbcu, sbcv, sbwu, sbwv     , &
                  equi_conc, cesus, ssus, sswu, sswv, t_relax  , &
                  error_message   )
!DEC$ ATTRIBUTES DLLEXPORT, ALIAS: 'ENGHAN' :: ENGHAN
!!--description-----------------------------------------------------------------
!
! Computes sediment transport according to
! Engelund and Hansen (1967)
!
!!--pseudo code and references---------------------------------------------------
! NONE
!!--declarations----------------------------------------------------------------
implicit none
!
! Local constants
! Interface is in high precision
!
integer        , parameter :: hp   = kind(1.0d0)
!
! Subroutine arguments: input
!
integer                                   , intent(in)  :: max_integers
integer                                   , intent(in)  :: max_reals
integer                                   , intent(in)  :: max_strings
integer           , dimension(max_integers), intent(in)  :: dll_integers
real(hp)          , dimension(max_reals)   , intent(in)  :: dll_reals
character(len=256), dimension(max_strings) , intent(in)  :: dll_strings
!
! Subroutine arguments: output
!
real(hp)          , intent(out) :: sbc           ! bedload due to currents, magnitude [m3/m/s]
real(hp)          , intent(out) :: sbcu          ! bedload due to currents, m component [m3/m/s
real(hp)          , intent(out) :: sbcv          ! bedload due to currents, n component [m3/m/s
real(hp)          , intent(out) :: sbwu          ! bedload due to waves, m component [m3/m/s]
real(hp)          , intent(out) :: sbwv          ! bedload due to waves, n component [m3/m/s]
real(hp)          , intent(out) :: cesus         ! susp load concentration [m3/m3]
```

[1] If you can't use this compiler then make sure that the following minimum conditions are met: multi-threaded library with calling convention "C, by reference" and "string length arguments after all arguments".

```
real(hp)          , intent(out) :: ssus          ! susp load due to currents, magnitude [m3/
real(hp)          , intent(out) :: sswu          ! susp load due to waves, m component [m3/m
real(hp)          , intent(out) :: sswv          ! susp load due to waves, n component [m3/m
real(hp)          , intent(out) :: t_relax       ! relaxation time in 2D mode [s]
character(len=256), intent(out) :: error_message ! not empty: echo and stop run
logical           , intent(out) :: equi_conc     ! true: contration cesus returned by formul
                                                 ! false: susp load ssus returned by formula
logical           , intent(out) :: sbc_total     ! true: bedload magnitude returned by formu
                                                 ! false: bedload components returned
!
! Local variables for input parameters
!
integer            :: l
integer            :: m
integer            :: n, nm
real(hp)           :: ag
real(hp)           :: chezy
real(hp)           :: d10, d50, d90, dss, dstar
real(hp)           :: h, hidexp, hrms
real(hp)           :: mudfrac
real(hp)           :: rhosol, rhowat, rlabda
real(hp)           :: sal
real(hp)           :: taub, tem, teta, timsec, tp
real(hp)           :: u, umod, uorb, utot, uuu
real(hp)           :: v, vicmol, vvv
real(hp)           :: ws
real(hp)           :: zumod
character(len=256) :: runid
!
! Local variables
!
real(hp)           :: acal
real(hp)           :: cf
real(hp)           :: delta
real(hp)           :: ustar
!
!! extract array variables -----------------------------------------------------
!
if (max_integers < 4) then
   error_message = 'Insufficient integer values provided by delftflow'
   return
endif
nm      = dll_integers( 1) ! nm index of the grid cell
m       = dll_integers( 2) ! m index of the grid cell
n       = dll_integers( 3) ! n index of the grid cell
l       = dll_integers( 4) ! number of the sediment fraction in the computation
!
if (max_reals < 30) then
   error_message = 'Insufficient real values provided by delftflow'
   return
endif
timsec  = dll_reals( 1)    ! current time since reference time [s]
u       = dll_reals( 2)    ! m component of effective depth-averaged velocity [m/s]
v       = dll_reals( 3)    ! n component of effective depth-averaged velocity [m/s]
utot    = dll_reals( 4)    ! magnitude of effective depth-averaged velocity [m/s]
uuu     = dll_reals( 5)    ! m component of characteristic velocity [m/s]
vvv     = dll_reals( 6)    ! n component of characteristic velocity [m/s]
umod    = dll_reals( 7)    ! magnitude of characteristic velocity [m/s]
zumod   = dll_reals( 8)    ! height above bed of characteristic velocity [m]
h       = dll_reals( 9)    ! water depth [m]
chezy   = dll_reals(10)    ! local Chezy value [m1/2/s]
hrms    = dll_reals(11)    ! wave height [m]
tp      = dll_reals(12)    ! wave period [s]
teta    = dll_reals(13)    ! angle between wave dir and local grid orientation [deg]
rlabda  = dll_reals(14)    ! wave length [m]
uorb    = dll_reals(15)    ! orbital velocity at the bed [m/s]
```

```
d50     = dll_reals(16)    ! sediment diameter of fraction [m]
dss     = dll_reals(17)    ! sediment diameter of fraction  when in suspension [m]
dstar   = dll_reals(18)    ! critical dimensionless grain size parameter [-]
d10     = dll_reals(19)    ! 10-percentile diameter of local sediment mixture [m]
d90     = dll_reals(20)    ! 90-percentile diameter of local sediment mixture [m]
mudfrac = dll_reals(21)    ! mud fraction [-]
hidexp  = dll_reals(22)    ! hiding & exposure factor [-]
ws      = dll_reals(23)    ! settling velocity [m/s]
rhosol  = dll_reals(24)    ! solid sediment density [kg/m3]
rhowat  = dll_reals(25)    ! local water density [kg/m3]
sal     = dll_reals(26)    ! local salinity [ppt]
tem     = dll_reals(27)    ! local water temperature [degC]
ag      = dll_reals(28)    ! gravitational acceleration [m/s2]
vicmol  = dll_reals(29)    ! molecular viscosity of water [m2/s]
taub    = dll_reals(30)    ! bed shear stress [N/m2]
!
if (max_strings < 2) then
   error_message = 'Insufficient strings provided by delftflow'
   return
endif
runid   = dll_strings( 1)  ! user-specified run-identification
filenm  = dll_strings( 2)  ! user-specified file name (keyword: InputFile)
!
!! executable statements -------------------------------------------------------
!
write(*,*) 'plugin_delftflow_traform.dll : enghan : called'
! The output argument error_message MUST have value ' ' to continue the calculation.
!
error_message = ' '
!
! If you want to indicate that this subroutine has encountered some invalid input or
! encountered some unexpected situation, you can set the error_message to a non-empty
! string. This error_message will then be shown in the log file of the calling program
! and the simulation will abort. This is shown by the next line, remove it to enable
! this subroutine.
!
! error_message = 'Use the Engelund Hansen formula inside \DFLOW'
!
! Set some parameters and compute derivative quantities.
!
delta = (rhosol - rhowat) / rhowat ! relative density of sediment particle
acal  = 0.6_hp
cf    = ag/chezy/chezy
ustar = sqrt(cf)*utot
!
! Set the transport rates and concentrations.
! Note: all transport quantities should be given in m3 solid material per s.
!       i.e. rate (or concentration) in kg/s =
!               rhosol * specified rate (or concentration)
!
sbc_total     = .true.    ! set flag to indicate that bedload magnitude is given
sbc   = acal*0.05_hp*utot*ustar**4/ag**2/sqrt(cf)/delta**2/d50
                          ! bedload magnitude is non-zero
sbcu    = 0.0_hp          ! bedload component, m direction (here dummy since sbc_total is true)
sbcv    = 0.0_hp          ! bedload component, n direction (here dummy since sbc_total is true)
!
! There should be no suspended load.
!
equi_conc     = .false.   ! set flag to indicate that susp load magnitude is given
cesus   = 0.0_hp          ! suspended load concentration (here dummy since equi_conc is false)
ssus    = 0.0_hp          ! zero suspended load transport
!
! This formula does not include wave driven transport.
!
sbwu    = 0.0_hp          ! bedload transport, m direction due to waves is zero
sbwv    = 0.0_hp          ! bedload transport, n direction due to waves is zero
```

```
sswu    = 0.0_hp          ! suspended load transport, m direction due to waves is zero
sswv    = 0.0_hp          ! suspended load transport, n direction due to waves is zero
!
! Since there is no suspended load, also the relaxation time for depth-averaged models can b
! set to zero.
!
t_relax = 0.0_hp          ! relaxation time is zero
end subroutine enghan
!$
```

For the bedload (due to currents) the routine may either return the total transport rate (`sbc`) or the two transport components (`sbcu` and `sbcv`) in the two grid directions m and n. The logical flag `sbc_total` indicates which values the routine has set (obviously true for the former choice and false for the latter choice). In the former case the sediment transport direction is automatically set equal to the near bed velocity direction in a 3D model and equal to the depth-averaged velocity direction corrected for secondary flow (see Equation (8.37)) in a 2D model.

For the suspended load (due to currents) there are again two options: the routine may either return the (equilibrium) suspended sediment concentration (`cesus`) or the (equilibrium) suspended transport rate (`ssus`). The logical flag `equi_conc` indicates which value the routine has set (obviously true for the former choice and false for the latter choice). For sand fractions the (equilibrium) suspended sediment concentration will be computed in the latter case as S_{sus}/uH where u is the depth-averaged velocity and H is the water depth. For bedload fractions the reverse is done: if `cesus` is given then the suspended sediment transport rate is computed by multiplying it with uH.

If you want to distinguish between flow and wave driven transports, you may set the wave driven bedload and suspended load rate components separately using `sbwu`, `sbwv`, `sswu` and `sswv`. It should be noted that the suspended load due to currents (specified as either `cesus` or `ssus`) will be used to force the advection-diffusion equation for the suspended load. The suspended load due to waves (specified using `sswu` and `sswv`) is treated as a regular explicit sediment flux.

Remark:

- ◇ All transport quantities should be given in [m^3] solid material, i.e. excluding any pore volumes.

In 3D simulations the advection and diffusion of sediment in the vertical direction results in a relaxation behaviour; the concentrations are imposed near the bed and it takes time for the model to reach the equilibrium concentration. In 2D simulations the processes in the vertical direction are lacking; for such applications a relaxation time is needed to reproduce this behaviour. You can specify it here as `t_relax`; if `t_relax` is equal to zero or if it is negative then the program will use the Galappatti (1983) formula.

A.5 User defined transport routine for mud fractions

This section gives an example code for a user-defined transport routine for mud fractions. The interface of the routine for sand and bedload fractions is slightly different; it is described in section A.4. This particular example implements the source and sink terms of Partheniades (1965) formulae; the code can be found in the source directory of the Delft3D installation on your computer.

The order and way in which arguments are passed to external functions differs among FORTRAN compilers. Most compilers allow you to change these settings, however, if these set-

tings do not match the settings of the calling program the program will crash when trying to call the subroutine in the supplied library. It is, therefore, important to make sure that the settings that you use to compile the library match the settings used when compiling delftflow. It therefore recommended to generate the library using the same compiler as delftflow; at this moment this is the Intel Fortran 11 compiler[2] using default settings for a multithreaded program.

Most of the code is straightforward and standard Fortran, so it should be fairly easy to understand. Some statements may, however, require some explanation. The `!DEC$` statement is read by the compiler and makes sure the subroutine name is visible to the outside world. The real type "hp" is defined as a double precision quantity: even if the simulation runs in single precision, the communication with the library occurs in double precision hence all input and output arguments of the subroutine should be defined to be of the type "real(hp)".

The input quantities are provided using three linear arrays, namely a real array, an integer array and a character array. Each element of these arrays represents a different quantity; see the example for a description of the various input items. The input parameters for the mud transport formula are the same as those for the sand and bedload fractions, however, a number of input parameters are not defined in case of mud, namely the characteristic grain diameters D_{10}, D_{50}, D_{90}, D_s, D_*, the mud fraction and the hiding and exposure factor ξ. You may either use the various elements directly in your formulae or define local variables as done in the example; the latter approach keeps your own code more readable and separate from the Delft3D interface. The array approach for the input items allows us to add extra input parameters to the end of the arrays without breaking compatibility with older routines.

```
subroutine parkro(dll_integers, max_integers, &
                  dll_reals   , max_reals   , &
                  dll_strings , max_strings , &
                  sink        , source      , &
                  error_message   )
!DEC$ ATTRIBUTES DLLEXPORT, ALIAS: 'PARKRO' :: PARKRO
!!--description-----------------------------------------------------------------
!
! Computes source and sink terms according to
! Partheniades and Krone (1965)
!
!!--pseudo code and references---------------------------------------------------
! NONE
!!--declarations----------------------------------------------------------------
implicit none
!
! Local constants
! Interface is in high precision
!
integer        , parameter :: hp   = kind(1.0d0)
!
! Subroutine arguments: input
!
integer                                   , intent(in)  :: max_integers
integer                                   , intent(in)  :: max_reals
integer                                   , intent(in)  :: max_strings
integer           , dimension(max_integers), intent(in)  :: dll_integers
real(hp)          , dimension(max_reals)   , intent(in)  :: dll_reals
character(len=256), dimension(max_strings) , intent(in)  :: dll_strings
!
! Subroutine arguments: output
!
```

[2] If you can't use this compiler then make sure that the following minimum conditions are met: multi-threaded library with calling convention "C, by reference" and "string length arguments after all arguments".

```
real(hp)          , intent(out) :: source        ! source term [kg/m2/s]
real(hp)          , intent(out) :: sink          ! sink term [-] (to be multiplied with conc
character(len=256), intent(out) :: error_message ! not empty: echo and stop run
!
! Local variables for input parameters
!
integer            :: l
integer            :: m
integer            :: n, nm
real(hp)           :: ag
real(hp)           :: chezy
real(hp)           :: d10, d50, d90, dss, dstar
real(hp)           :: h, hidexp, hrms
real(hp)           :: mudfrac
real(hp)           :: rhosol, rhowat, rlabda
real(hp)           :: sal
real(hp)           :: taub, tem, teta, timsec, tp
real(hp)           :: u, umod, uorb, utot, uuu
real(hp)           :: v, vicmol, vvv
real(hp)           :: ws
real(hp)           :: zumod
character(len=256) :: runid
!
! Local variables
!
real(hp)           :: eropar
real(hp)           :: taum, tcrero, tcrdep
!
!! extract array variables -----------------------------------------------------
!
if (max_integers < 4) then
   error_message = 'Insufficient integer values provided by delftflow'
   return
endif
nm      = dll_integers( 1) ! nm index of the grid cell
m       = dll_integers( 2) ! m index of the grid cell
n       = dll_integers( 3) ! n index of the grid cell
l       = dll_integers( 4) ! number of the sediment fraction in the computation
!
if (max_reals < 30) then
   error_message = 'Insufficient real values provided by delftflow'
   return
endif
timsec  = dll_reals( 1)    ! current time since reference time [s]
u       = dll_reals( 2)    ! m component of effective depth-averaged velocity [m/s]
v       = dll_reals( 3)    ! n component of effective depth-averaged velocity [m/s]
utot    = dll_reals( 4)    ! magnitude of effective depth-averaged velocity [m/s]
uuu     = dll_reals( 5)    ! m component of characteristic velocity [m/s]
vvv     = dll_reals( 6)    ! n component of characteristic velocity [m/s]
umod    = dll_reals( 7)    ! magnitude of characteristic velocity [m/s]
zumod   = dll_reals( 8)    ! height above bed of characteristic velocity [m]
h       = dll_reals( 9)    ! water depth [m]
chezy   = dll_reals(10)    ! local Chezy value [m1/2/s]
hrms    = dll_reals(11)    ! wave height [m]
tp      = dll_reals(12)    ! wave period [s]
teta    = dll_reals(13)    ! angle between wave dir and local grid orientation [deg]
rlabda  = dll_reals(14)    ! wave length [m]
uorb    = dll_reals(15)    ! orbital velocity at the bed [m/s]
!
!---- the following parameters are undefined for mud fractions -----------------
d50     = dll_reals(16)    ! sediment diameter of fraction [m]
dss     = dll_reals(17)    ! sediment diameter of fraction  when in suspension [m]
dstar   = dll_reals(18)    ! critical dimensionless grain size parameter [-]
d10     = dll_reals(19)    ! 10-percentile diameter of local sediment mixture [m]
d90     = dll_reals(20)    ! 90-percentile diameter of local sediment mixture [m]
mudfrac = dll_reals(21)    ! mud fraction [-]
```

```
hidexp  = dll_reals(22)    ! hiding & exposure factor [-]
!---- the parameters above are undefined for mud fractions ---------------------
!
ws      = dll_reals(23)    ! settling velocity [m/s]
rhosol  = dll_reals(24)    ! solid sediment density [kg/m3]
rhowat  = dll_reals(25)    ! local water density [kg/m3]
sal     = dll_reals(26)    ! local salinity [ppt]
tem     = dll_reals(27)    ! local water temperature [degC]
ag      = dll_reals(28)    ! gravitational acceleration [m/s2]
vicmol  = dll_reals(29)    ! molecular viscosity of water [m2/s]
taub    = dll_reals(30)    ! bed shear stress [N/m2]
!
if (max_strings < 2) then
   error_message = 'Insufficient strings provided by delftflow'
   return
endif
runid   = dll_strings( 1)  ! user-specified run-identification
filenm  = dll_strings( 2)  ! user-specified file name (keyword: InputFile)
!
!! executable statements -------------------------------------------------------
!
write(*,*) 'plugin_delftflow_traform.dll : parkro : called'
! The output argument error_message MUST have value ' ' to continue the calculation.
!
error_message = ' '
!
! If you want to indicate that this subroutine has encountered some invalid input or
! encountered some unexpected situation, you can set the error_message to a non-empty
! string. This error_message will then be shown in the log file of the calling program
! and the simulation will abort. This is shown by the next line, remove it to enable
! this subroutine.
!
! error_message = 'Use the Partheniades Krone formula inside \DFLOW'
!
! Set some parameters and compute derivative quantities.
!
tcrero = 0.1_hp
tcrdep = 0.1_hp
eropar = 2.5e-6_hp
!
! Compute source and sink terms
!
taum   = max(0.0_hp, taub/tcrero - 1.0_hp)
source = eropar * taum
if (tcrdep > 0.0_hp) then
   sink   = max(0.0_hp , 1.0_hp-taub/tcrdep)
else
   sink   = 0.0_hp
endif
end subroutine parkro
```

Compared to the subroutine for sand and bedload fractions (described in section A.4) this routine has very few output arguments, namely only `source` and `sink`. The source term will be used explicitly and should be specified in kg (mud) per unit area (m^2) per unit of time (s). The sink term is treated implicitly and reads `sink` times $c^{t+1}w_s$ where c^{t+1} is the concentration at the new time level in [kg/m^3] and w_s is the local settling velocity in [m/s]; hence the quantity `sink` to be returned by the routine is dimensionless.

Remarks:

- ◇ The unit for the source term is [kg/m^3/s].
- ◇ The sink quantity is dimensionless since it will be multiplied with the concentration in [kg/m^3] and the settling velocity in [m/s] to give the actual sink term in the equation.

A.6 User defined routine for the settling velocity

This section gives an example code for a user-defined routine that computes the settling velocity. This particular example implements a simple salinity dependent settling formula for mud, but the same routine interface can also be used for sand fractions.

The order and way in which arguments are passed to external functions differs among FORTRAN compilers. Most compilers allow you to change these settings, however, if these settings do not match the settings of the calling program the program will crash when trying to call the subroutine in the supplied library. It is, therefore, important to make sure that the settings that you use to compile the library match the settings used when compiling delftflow. It therefore recommended to generate the library using the same compiler as delftflow; at this moment this is the Intel Fortran 11 compiler[3] using default settings for a multithreaded program.

Most of the code is straightforward and standard Fortran, so it should be fairly easy to understand. Some statements may, however, require some explanation. The `!DEC$` statement is read by the compiler and makes sure the subroutine name is visible to the outside world. The real type "hp" is defined as a double precision quantity: even if the simulation runs in single precision, the communication with the library occurs in double precision hence all input and output arguments of the subroutine should be defined to be of the type "real(hp)".

The input quantities are provided using three linear arrays, namely a real array, an integer array and a character array. Each element of these arrays represents a different quantity; see the example for a description of the various input items. The input parameters for the mud transport formula are the same as those for the sand and bedload fractions, however, two input parameters are not defined in case of mud, namely D_{50} and D_s. You may either use the various elements directly in your formulae or define local variables as done in the example; the latter approach keeps your own code more readable and separate from the Delft3D interface. The array approach for the input items allows us to add extra input parameters to the end of the arrays without breaking compatibility with older routines.

```
subroutine settle(dll_integers, max_integers, &
                  dll_reals   , max_reals   , &
                  dll_strings , max_strings , &
                  ws          , &
                  error_message   )
!DEC$ ATTRIBUTES DLLEXPORT, ALIAS: 'SETTLE' :: SETTLE
!!--description-----------------------------------------------------------------
!
! Computes simple salinity dependent settling velocity.
!
!!--pseudo code and references---------------------------------------------------
! NONE
!!--declarations----------------------------------------------------------------
implicit none
!
! Local constants
! Interface is in high precision
!
integer        , parameter :: hp   = kind(1.0d0)
!
! Subroutine arguments: input
!
integer                                    , intent(in)  :: max_integers
integer                                    , intent(in)  :: max_reals
```

[3] If you can't use this compiler then make sure that the following minimum conditions are met: multi-threaded library with calling convention "C, by reference" and "string length arguments after all arguments".

```
integer                                     , intent(in)  :: max_strings
integer           , dimension(max_integers), intent(in)  :: dll_integers
real(hp)          , dimension(max_reals)   , intent(in)  :: dll_reals
character(len=256), dimension(max_strings) , intent(in)  :: dll_strings
!
! Subroutine arguments: output
!
real(hp)          , intent(out) :: ws            ! settling velocity [m/s]
character(len=256), intent(out) :: error_message ! not empty: echo and stop run
!
! Local variables for input parameters
!
integer            :: k
integer            :: l
integer            :: m
integer            :: n, nm
real(hp)           :: ag
real(hp)           :: cconc, chezy, conc, csoil
real(hp)           :: d50, dss
real(hp)           :: epstur
real(hp)           :: h
real(hp)           :: ktur
real(hp)           :: rhosol, rhowat
real(hp)           :: sal
real(hp)           :: tem, timsec
real(hp)           :: u, um
real(hp)           :: v, vicmol, vm
real(hp)           :: w
character(len=256) :: runid
!
! Local variables
!
real(hp)          :: f
real(hp)          :: pi
real(hp)          :: salmax
real(hp)          :: ws0, ws1
!
!! extract array variables -------------------------------------------------------
!
if (max_integers < 5) then
   error_message = 'Insufficient integer values provided by delftflow'
   return
endif
nm      = dll_integers( 1) ! nm index of the grid cell
m       = dll_integers( 2) ! m index of the grid cell
n       = dll_integers( 3) ! n index of the grid cell
k       = dll_integers( 4) ! layer number of the grid cell
l       = dll_integers( 5) ! number of the sediment fraction in the computation
!
if (max_reals < 21) then
   error_message = 'Insufficient real values provided by delftflow'
   return
endif
timsec  = dll_reals( 1)    ! current time since reference time [s]
u       = dll_reals( 2)    ! m component of the local velocity [m/s]
v       = dll_reals( 3)    ! n component of the local velocity [m/s]
w       = dll_reals( 4)    ! vertical component of the local velocity [m/s]
sal     = dll_reals( 5)    ! local salinity [ppt]
tem     = dll_reals( 6)    ! local water temperature [degC]
rhowat  = dll_reals( 7)    ! local water density [kg/m3]
conc    = dll_reals( 8)    ! sediment concentration [kg/m3] of considered fraction
cconc   = dll_reals( 9)    ! total sediment concentration [kg/m3] over all fractions
ktur    = dll_reals(10)    ! turbulent kinetic energy [m2/s2]
epstur  = dll_reals(11)    ! turbulent dissipation [m2/s3]
!
!---- the following parameters are undefined for mud fractions -----------------
```

```
d50     = dll_reals(12)    ! sediment diameter of fraction [m]
dss     = dll_reals(13)    ! sediment diameter of fraction  when in suspension [m]
!---- the parameters above are undefined for mud fractions ---------------------
!
rhosol  = dll_reals(14)    ! solid sediment density [kg/m3]
csoil   = dll_reals(15)    ! reference density for hindered settling calculations [kg/m3]
ag      = dll_reals(16)    ! gravitational acceleration [m/s2]
vicmol  = dll_reals(17)    ! molecular viscosity of water [m2/s]
h       = dll_reals(18)    ! water depth [m]
um      = dll_reals(19)    ! m component of effective depth-averaged velocity [m/s]
vm      = dll_reals(20)    ! n component of effective depth-averaged velocity [m/s]
chezy   = dll_reals(21)    ! local Chezy value [m1/2/s]
!
if (max_strings < 2) then
   error_message = 'Insufficient strings provided by delftflow'
   return
endif
runid   = dll_strings( 1)  ! user-specified run-identification
filenm  = dll_strings( 2)  ! user-specified file name (keyword: SettleInput)
!
!! executable statements -------------------------------------------------------
!
write(*,*) 'plugin_delftflow_traform.dll : settle : called'
! The output argument error_message MUST have value ' ' to continue the calculation.
!
error_message = ' '
!
! If you want to indicate that this subroutine has encountered some invalid input or
! encountered some unexpected situation, you can set the error_message to a non-empty
! string. This error_message will then be shown in the log file of the calling program
! and the simulation will abort. This is shown by the next line, remove it to enable
! this subroutine.
!
! error_message = 'Use the settling velocity routine inside \DFLOW'
!
! Set some parameters and compute derivative quantities.
!
ws1    = 5.0e-4_hp    ! settling velocity at S >= S_max
ws0    = 5.0e-4_hp    ! settling velocity at S = 0
salmax = 30.0_hp
!
pi = 4.0_hp * atan(1.0_hp)
!
! Compute settling velocity
!
if (sal > salmax) then
   f = 1.0_hp
else
   f = 0.5_hp * (1 - cos(pi*sal/salmax))
endif
ws = ws0 + (ws1 - ws0) * f
end subroutine settle
```

Compared to the subroutine for sand and bedload fractions (described in section A.4) this routine has very few output arguments, namely only `source` and `sink`. The source term will be used explicitly and should be specified in kg (mud) per unit area (m^2) per unit of time (s). The sink term is treated implicitly and reads `sink` times $c^{t+1}w_s$ where c^{t+1} is the concentration at the new time level in [kg/m^3] and w_s is the local settling velocity in [m/s]; hence the quantity `sink` to be returned by the routine is dimensionless.

Remarks:

- ◇ The unit for the source term is [kg/m^3/s].
- ◇ The sink quantity is dimensionless since it will be multiplied with the concentration in

[kg/m^3] and the settling velocity in [m/s] to give the actual sink term in the equation.

A.7 Morphological factor file

File contents	Time-series for morphological factor
Filetype	ASCII
File format	Fix format for header information; free format for time-series data.
Filename	<*name*.mft>
Generated	manually offline

Record description:

The data is given in two related blocks:

- ◇ A header block containing a number of compulsory and optional keywords accompanied by their values.
- ◇ A data block containing the time dependent data.

Description header block:

Text	Required	Value
`table-name` `hline location`	no no	arbitrary string should be blank if specified
`time-function`	no	{'non-equidistant'} or 'equidistant'
`time-step`	yes	time step only in case of time-function 'equidistant'
`reference-time`	yes	yyyymmdd, yyymmdd hhmmss or 'from model'
`time-unit`	no	'years', 'decades', 'days', 'hours', {'minutes'}, 'seconds', 'ddhhmmss' or 'date'
`interpolation`	yes	'block' (default value 'linear' should not be used)
`extrapolation`	no	'periodic', 'constant' or {'none'}
`parameter`	yes	'parameter name and location' units '[ccc]'
`records-in-table`	no	number of times/lines in the data block

Remarks:

- ◇ Maximum record length is 512.
- ◇ The parameter name of the column should read 'time'.
- ◇ The 'parameter name and location' string should read 'MorFac'.
- ◇ Default parameter values are indicated in braces.
- ◇ Interpolation method should be 'block' for MorFac!
- ◇ Reference-time not required if time-unit equals 'date'.
- ◇ Unit strings are currently not interpreted by Delft3D-FLOW.

Description data block:

Record	Record description
`each record`	Time in time-units after the reference-time and followed by as many values as parameters have been defined in the description block (all reals). In case of time-function 'equidistant', the first (time) column should be dropped. In case of time-unit 'date' the date and time should be specified as one string using the format: yyyymmddhhmmss.

Example:

The following file prescribes a morphological factor of 5 until Jan 2, 1994 0:00 and a factor of 10 thereafter.

```
time-function        'non-equidistant'
reference-time       19941001
time-unit            'minutes'
interpolation        'block'
extrapolation        'constant'
parameter            'time' unit '[min]'
parameter            'MorFac' unit '[-]'
      0.0000   5.0
   1440.0000   10.0
```

A.8 Initial bed composition file

The initial bed composition file allows you to specify the initial composition of multiple layers in the bed. If the bed is intially vertically homogeneous, you can use the `IniSedThick` (or older `SdBUni`) keywords in the <∗.sed> file. If the bed is initially not completely homogeneous in the vertical direction, you should use this initial bed composition file. This <∗.inb> file is keywords based.

Table A.9: *Initial bed composition file keywords*

Keyword	Record description
BedCompositionFileInformation	
`FileCreatedBy`	contains version number of FLOW-GUI
`FileCreationDate`	creation date and time of the <∗.inb> file
`FileVersion`	version number, currently 01.00
Layer	
`Type`	Layer type (1 string) options: mass fraction: requires `Thick` and `Fraction`x keywords volume fraction: requires `Thick` and `Fraction`x keywords sediment mass: requires `SedBed`x keywords sediment thickness: requires `SedBed`x keywords
`Thick`	thickness of sediment layer [m] in case of either 'mass fraction' or 'volume fraction' type layer uniform value (1 real) or filename <∗.thk> with non-uniform values at cell centres (1 string)

Keyword	Record description
`Fraction1, Fraction2, ...`	mass or volume fraction in case of 'mass fraction' and 'volume fraction' type layer respectively uniform value (1 real) or filename <∗.frc> with non-uniform values at cell centres (1 string)
`SedBed1, SedBed2, ...`	mass or thickness in case of 'sediment mass' and 'sediment thickness' type layer respectively uniform value (1 real) or filename <∗.sdb> with non-uniform values at cell centres (1 string)
The Layer block can be repeated as often as needed.	

Example of an initial bed composition file:

The example file contains two layers. The first (top) layer has a spatially varying thickness as given by the QUICKIN file <layer1.thk> while the composition is uniform 30 % of sediment fraction 1 and 70 % of sediment fraction 2. The characteristics of the second layer are given as sediment mass [kg/m^2]: a constant 1600 kg m^{-2} of sediment fraction 2 and a spatially varying amount of sediment fraction 1 (as specified in the QUICKIN file <layer2fraction1mass.sdb>).

```
[BedCompositionFileInformation]
   FileCreationDate = Thu Dec 08 2005, 14:47:50
   FileVersion      = 01.00
[Layer]
   Type            = mass fraction
   Thick           = layer1.thk
   Fraction1       = 0.3
   Fraction2       = 0.7
[Layer]
   Type            = sediment mass
   SedBed1         = layer2fraction1mass.sdb
   SedBed2         = 1600
```

A.9 Dredge and dump characteristics

File contents	Characteristics of all dredging, dumping and sediment nourishment activities in the simulation (Data Group *Operations - Dredge and dump*).
Filetype	ASCII
File format	Fix formatted for text variables, free formatted for real and integer values.
Filename	<*name*.dad>
Generated	QUICKIN, or manually offline

Record description:

The file consists of a header block (containing information about versions) followed by an optional general block with global settings for all dredge/dump blocks and all domains, one (or more) optional domain blocks with settings for the specified domain, a dredge block for each dredge area, a nourishment block for each sediment nourishment measure and an optional dump block for each dump area. Table A.10 gives an overview of all supported keywords and their purpose. The name of the dredge and dump polygon file should be specified in the general block, but for reasons of backward compatibility it is also accepted that the `PolygonFile` is located in the header block.

Table A.10: *Dredge and dump input file with keywords*

Keyword	Format	Record description
DredgeFileInformation		
`FileCreatedBy`	string	program name and version
`FileCreationDate`	string	creation date and time of the <∗.dad> file
`FileVersion`	string	version number of the <∗.dad> file ('01.02')
General		
`PolygonFile`	string	name of polygon file with polylines defining dump and dredge areas
`InPolygon`	1 I	default flag to indicate how to check whether a grid cell is inside or outside a dredge or dump polygon (1–3, default: 2). This option can be used to study the sensitivity of the simulation for changes in polygon sizes. A grid cell is inside the polygon if 1 all corners of the grid cell lie within the polygon (minimum area) 2 the centre of the grid cell lies within the polygon (default) 3 one of the corners of the grid cell lies within the polygon (maximum area)
`RefPlane`	1 R or string	elevation of reference plane above reference level of the simulation for dredging and dumping for this domain: constant value or file name (default: 0 m) Overruled by value for current domain.
`DepthDef`	1 I	default flag to indicate meaning of depth definitions (1–4; default: 1)) See description in dredge block.
`DredgeDepth`	1 R	default depth to be maintained by dredging (default: -999.) Set to -999. if dredging is not limited by depth.

continued on next page

R = Real; I = Integer; L = Logical; C = Character

Table A.10 – continued from previous page

Keyword	Format	Record description
`MaxVolRate`	1 R	default maximum dredging or sediment nourishment rate in m^3/morphological year (volume including pores) (default: -999.) Set to -999. if dredging rate is unlimited.
`DredgeDistr`	1 I	default distribution of dredging activities when limited by rate (1–8, default: 3) See description in dredge block.
`Clearance`	1 R	default additional depth to dredge when dredging occurs (default: 0 m).
`TriggerAll`	1 L	default flag to indicate that if one point in the dredge area exceeds the dredging threshold, all points should be dredged to clearance level irrespective whether they exceed the trigger level (default: false)
`DredgeWhenDry`	1 L	default flag to indicate whether dredging should continue at dry points (default: false).
`DredgeWhileMorfac0`	1 L	default flag to indicate whether dredging activities should occur during morphological startup period or periods with morfac=0 (default: true). This flag affects only dredging activities not limited by dredging rate; activities that are limited by a maximum dredging rate are always inactive during startup and other periods with morfac=0 as the effective morphological time is zero.
`ObeyCmp`	1 L	default flag to indicate whether dredging should be limited to the amount of sediment available (default: true). If false: excess dredged volume is recorded but cannot be dumped as composition is unknown and considered to be irrelevant for the simulation.
`TimeSeries`	string, optional	name of file containing time-dependent dredging activities
`TS_MorTimeScale`	1 L	flag to indicate whether times in `TimeSeries` file are specified on hydrodynamical or morphological time scale (true = morphological time scale; default: false = hydrodynamical time scale)
`DistrOverDump`	1 I	default method of distributing sediment over dump areas. (1–3; default: 1) See description in dredge block.

continued on next page

R = Real; I = Integer; L = Logical; C = Character

Table A.10 – continued from previous page

Keyword	Format	Record description
DumpDistr	1 I	default method of distributing sediment within a dump area. (1–4; default: 1) See description in dump block.
MinimumDumpDepth	1 R	default minimum remaining depth after dumping: when specified, dumping continues until the specified level is reached. Any surplus of sediment is removed from the model (default: -999.) Set to -999. if dumping should not be restricted.
DumpWhenDry	1 L	default flag to indicate whether dumping should continue at dry points (default: false)
UseDunes	1 L	flag to indicate whether simulated dune heights should be included in volume computations when dredging and dumping; if included, dune height will be set to 0 after dredging and dumping (default: false)
AlphaDuneHeight	[0 0.5]	if UseDunes is true, then the effective bed level is increased by this fraction of the dune height when checking whether dredging threshold is exceeded (default: 0.5)
Domain		
Name	string	name of the domain
RefPlane	1 R or string	elevation of reference plane above reference level of the simulation for dredging and dumping for this domain: constant value or file name (default: constant as specified in General block) The format of the file is a QUICKIN compatible file with data at cell centres.
Dredge		
Name	string	name of the dredge area: should correspond to a blockname in the polygon file
InPolygon	1 I	flag to indicate how to check whether a grid cell is inside or outside the dredge polygon (1–3, default: as indicated in General block). See description in General block.

continued on next page

R = Real; I = Integer; L = Logical; C = Character

Table A.10 – continued from previous page

Keyword	Format	Record description
`DepthDef`	1 I	flag to indicate meaning of depth definitions (1–4; default: as specified in General block) 1 relative to reference plane 2 relative to water level 3 relative to maximum of reference plane and water level 4 relative to minimum of reference plane and water level
`DredgeDepth`	1 R	depth to be maintained by dredging relative (default: as specified in General block) Set to -999. if dredging is not limited by depth.
`MaxVolRate`	1 R	maximum dredging rate in m^3/morphological year (volume including pores) (default: as specified in General block) Set to -999. if dredging rate is unlimited. This maximum volume per year will only be reached if dredging takes place year-round and never runs out of available dredging material, i.e. it doesn't increase the dredging rate per time step if the dredging strategy isn't active for a while.
`DredgeDistr`	1 I	in case the maximum dredging rate is reached in a certain timestep, the model has to decide what sediment to remove (1–8; default: as specified in General block). Eight rules have been implemented 1 remove same sediment thickness from every grid cell 2 remove highest sediment deposits first 3 remove sediment proportionally to the amount of sediment available for dredging (default) 4 remove sediment from highest point first (gives more or less same results as 2 for small time steps, but may give erratic behavior when large time steps are used) 5 remove sediment from lowest point first 6 remove sediment from shallowest areas first 7 remove sediment from shallowest point first (gives more or less same results as 6 for small time steps, but may give erratic behavior when large time steps are used) 8 remove sediment from deepest point first
`Clearance`	1 R	additional depth to dredge when dredging occurs (default: as specified in General block)

continued on next page

R = Real; I = Integer; L = Logical; C = Character

Table A.10 – continued from previous page

Keyword	Format	Record description
`TriggerAll`	1 L	flag to indicate that if one point in the dredge area exceeds the dredging threshold, all points should be dredged to clearance level irrespective whether they exceed the trigger level (default: as specified in General block)
`DredgeWhenDry`	1 L	flag to indicate whether dredging should continue at dry points (default: as specified in General block)
`DredgeWhileMorfac0`	1 L	flag to indicate whether dredging activities should occur during morphological startup period or periods with morfac=0 (default: as specified in General block). This flag affects only dredging activities not limited by dredging rate.
`ObeyCmp`	1 L	flag to indicate whether dredging should be limited to the amount of sediment available (default: as specified in General block). If false: excess dredged volume is recorded but cannot be dumped as composition is unknown and considered to be irrelevant for the simulation.
`DumpLimited`	1 L	flag to indicate that dredging is limited by dump capacity (default: false)
`DistrOverDump`	1 I	method of distributing sediment over dump areas (old keyword `DumpDistr` still supported). Three methods have been implemented (1–3, default: 1) 1 based on user specified percentages 2 fill dump areas in specified order 3 distribute sediment based on dump capacity
`Dump`	string	name of the dump area: should correspond to a blockname in the polygon file
`Sediment`	string, optional	name of sediment fraction
`Percentage`	1 R	percentage of dredged material of the indicated sediment fraction to be dumped in the indicated dump area; if no sediment fraction is indicated: uniform value for all fractions.
Nourishment		
`Name`	string, optional	name of the nourishment source. Contrary to the Name in the dredge and dump blocks, this name is not associated with a specific polygon.

continued on next page

R = Real; I = Integer; L = Logical; C = Character

Table A.10 – continued from previous page

Keyword	Format	Record description
`Volume`	1 R	total sediment volume (including pores) to be supplied
`MaxVolRate`	1 R	maximum sediment nourishment rate in m^3/morphological year (volume including pores) (default: as specified in General block) This rate will be converted into a rate per time step assuming that nourishment occurs at a constant rate year-round, i.e. it does not try to compensate for periods of limited dumping capacity or periods of inactivity as optionally specified in `TimeSeries` file.
`Sediment`	string	name of sediment fraction
`SedPercentage`	1 R	composition of supplied sediment: volumetric percentage of the indicated sediment fraction
`DistrOverDump`	1 I	method of distributing sediment over dump areas (old keyword `DumpDistr` still supported). Three methods have been implemented (1–3, default: 1) 1 based on user specified percentages 2 fill dump areas in specified order 3 distribute sediment based on dump capacity
`Dump`	string	name of the dump area: should correspond to a blockname in the polygon file
`Sediment`	string, optional	name of sediment fraction
`Percentage`	1 R	percentage of dredged material of the indicated sediment fraction to be dumped in the indicated dump area; if no sediment fraction is indicated: uniform value for all fractions.
Dump		
`Name`	string	name of the dump area: should correspond to a blockname in the polygon file
`InPolygon`	1 I	flag to indicate how to check whether a grid cell is inside or outside the dump polygon (1–3, default: as indicated in General block). See description in General block.

continued on next page

R = Real; I = Integer; L = Logical; C = Character

Table A.10 – continued from previous page

Keyword	Format	Record description
`DepthDef`	1 I	flag to indicate meaning of depth definitions (1–4; default: as specified in General block) 1 relative to reference plane 2 relative to water level 3 relative to maximum of reference plane and water level 4 relative to minimum of reference plane and water level
`MinimumDumpDepth`	1 R	minimum remaining depth after dumping: when specified, dumping continues until the specified level is reached. Any surplus of sediment is removed from the model (default: as specified in General block) Set to -999. if dumping should not be restricted.
`DumpDistr`	1 I	determines how the sediment is dumped within the dump area. Four options have been implemented (1–4; default as specified in General block) 1 dump with uniform thickness 2 fill in lowest parts first (horizontal reference plane) 3 fill in deepest parts first 4 dump proportional to capacity (only for dumping areas with limited capacity)
`DumpWhenDry`	1 L	flag to indicate whether dumping should continue at dry points (default: as specified in General block)

R = Real; I = Integer; L = Logical; C = Character

Warning:

- ◇ QUICKIN does not yet recognize all keywords and will remove all keywords it does not recognize when you attempt to edit a manually edited dredge and dump file with QUICKIN. Backup old <∗.dad> files before you try to do so!

Restrictions:

- ◇ The maximum record length in the file is 256 characters.
- ◇ Dredge and dump activities may be combined with domain decomposition simulations. However, please note that in such cases one should select the same <∗.dad> for all domains and use the **domain** block if there are differences between the domains.
- ◇ Dumping conditions (to a certain minimum depth or to flooded points only) may not exactly be satisfied if multiple dredging and dumping overlap. In case of dredging limited by dumping capacity similar interactions may also cause deviations from requested behaviour.

Remarks:

- ◇ The order of the data blocks is arbitrary.
- ◇ To remove sediment from the model, specify one (or more) dump areas outside the grid.
- ◇ Dredging measures are processed in the order in which the **dredge** blocks are specified in the input file.

◇ Dumping measures are processed in the order in which they are specified in the **dredge** and **nourishment** blocks of the input file.

Example:

The number of dredge areas is 3. 'dredge 1' and 'dredge 2' will be dredged to a depth of 10 m. All dredged material is dumped in area 'dump 1'. Area 'dredge 3' is dredged to a depth of 20 m and the material removed from that area is dumped in 'dump 2'.

```
[DredgeFileInformation]
   FileCreatedBy    = Deltares, QUICKIN Version 4.20.00.30984, Nov 12 2013, 09:50:44
   FileCreationDate = 2013-11-28, 16:01:21
   FileVersion      = 01.03
[General]
   PolygonFile      = dad_areas.pol
[Dredge]
   Name        = dredge 1
   DredgeDepth =    10.00
   Dump        = dump 1
   Percentage  = 100.0
[Dredge]
   Name        = dredge 2
   DredgeDepth =    10.00
   Dump        = dump 1
   Percentage  = 100.0
[Dredge]
   Name        = dredge 3
   DredgeDepth =    20.00
   Dump        = dump 2
   Percentage  = 100.0
```

A.10 Dredge and nourishment time-series

File contents	Time-series for dredge and nourishment activities; filename specified in dredge and dump characteristics file.
Filetype	ASCII
File format	Fix format for header information; free format for time-series data.
Filename	<*name*.ddt>
Generated	manually offline

Record description:

The file may contain one or more time-series for dredging and sediment nourishment activities. A time-series will be used for all dredging and sediment nourishment activities if the `location` equals 'General'. It will be used only for a single dredging or sediment nourishment activity if the `location` equals the name of the dredging or sediment nourishment activity. The order of the paired header/data blocks is arbitrary.

Description header block:

Keyword	Record description
`location`	'General' or name of dredging or sediment nourishment activity (1 quoted string)
`time-function`	time function type (quoted string: 'non-equidistant')
`reference-time`	reference time (integer formatted as yyyymmdd or quoted string 'from model')
`time-unit`	time unit (quoted string: 'decades', 'years', 'days', 'hours', 'minutes', 'seconds', 'ddhhmmss', 'absolute')
`interpolation`	interpolation type (quoted string: 'block')
`parameter`	parameter name (quoted string: 'time' or 'active') followed by keyword `unit` and dummy unit specification (quoted string: time-unit or '-')

Description data block:

Record	Record description
`each record`	time specified in `time-unit` since `reference-time` or absolute time specified as an integer formatted as yyyymmddhhmmss value indicating whether dredging (or sediment nourishment) is active from the specified time onwards (0=inactive, 1=active).

Example:

Model with multiple dredging and nourishment activities. All specified activities will be active during the first two days except for the dredging activity called 'dredge 3' which is active during days two till four.

```
location             'General              '
time-function        'non-equidistant      '
reference-time       'from model'
time-unit            'days'
interpolation        'block'
parameter            'time                 '       unit ' '
parameter            'active               '       unit '-'
      0.0000       1.0
      2.0000       0.0
location             'dredge 3             '
time-function        'non-equidistant      '
reference-time       'from model'
time-unit            'days'
interpolation        'block'
parameter            'time                 '       unit ' '
parameter            'active               '       unit '-'
      0.0000       0.0
      2.0000       1.0
      4.0000       0.0
```

References

Bagnold, R. A., 1966. *An approach to the sediment transport problem from general physics*. US government Print Office.

Bailard, J. A., 1981. "An Energetics Total Load Sediment Transport Model for Plane Sloping Beaches." *Journal of Geophysical Research* 86 (C11): 10938–10954.

Engelund, F. and E. Hansen, 1967. *A monograph on Sediment Transport in Alluvial Streams*. Teknisk Forlag, Copenhagen.

Gaeuman, D., E. Andrews, A. Krause and W. Smith, 2009. "Predicting fractional bed load transport rates: Application of the Wilcock-Crowe equations to a regulated gravel bed river." *Water Resources Research* 45.

Galappatti, R., 1983. *A depth integrated model for suspended transport*. Tech. rep., Delft University of Technology, Delft, The Netherlands.

Grasmeijer, B. and L. Van Rijn, 1998. "Breaker bar formation and migration." *Coastal Engineering* pages 2750–2758. Virginia, USA.

Ikeda, S., 1982. "Incipient Motion of Sand Particles on Side Slopes." *Journal of the Hydraulics Division, ASCE* 108 (1): 95–114.

Ikeda, S., 1988. *Not yet known*.

Isobe, M. and K. Horikawa, 1982. "Study on water particle velocities of shoaling and breaking waves." *Coastal Engineering in Japan* 25: 109–123.

Koch, F. G. and C. Flokstra, 1980. "Bed level computations for curved alluvial channels." In *Proceedings of the XIXth congress of the International Association for Hydraulic Research, 2-7 Feb. 1981, New Delhi, India*, vol. 2, pages 357–364.

Kolmogorov, A. N., 1942. "Equations of turbulent motion in incompressible fluid." *Izv. Akad. Nauk. SSR, Seria fizicheska Vi* No.1 2 (1-2): 56–58. English translation: 1968 Imperial College, Mech. Eng. Dept. Rept. ON/6.

Lesser, G., J. van Kester and J. A. Roelvink, 2000. *On-line sediment transport within Delft3D-FLOW*. Tech. Rep. Z2899, WL | Delft Hydraulics, Delft, The Netherlands.

Nipius, K. G., 1998. *Transverse transport modelling using Bailard applied to Grevelingen-mouth delta*. Delft University of Technology, Delft, The Netherlands. M.Sc. thesis, in Dutch (Dwarstransportmodellering m.b.v. Bailard toegepast op de Voordelta Grevelingen-monding).

Parker, G. and E. D. Andrews, 1985. "Sorting of bed load sediment by flow in meander bends." *Water Resources Research* 21: 1361–1373.

Partheniades, E., 1965. "Erosion and Deposition of Cohesive Soils." *Journal of the Hydraulics Division, ASCE* 91 (HY 1): 105–139. January.

Prandtl, L., 1945. "Über ein neues Formelsystem für die ausgebildete Turbulenz." *Nachrichten von der Akademie der Wissenschaften in Gottingen. Mathematisch-Physikalische Klasse* pages 6–19.

Richardson, J. F. and W. N. Zaki, 1954. "Sedimentation and fluidization: Part I." *I. Trans. Institution of Chemical Engineers* 32: 35–53.

Rienecker, M. M. and J. D. Fenton, 1981. "A Fourier approximation method for steady water waves." *Journal of Fluid Mechanics* 104: 119–137.

Rijn, L. C. van, 1984a. “Sediment transport, Part I: bed load transport.” *Journal of Hydraulic Engineering* 110 (10): 1431–1456.

Rijn, L. C. van, 1984b. “Sediment transport, Part II: suspended load transport.” *Journal of Hydraulic Engineering* 110 (11): 1613–1640.

Rijn, L. C. van, 1984c. “Sediment transport, Part III: bed form and alluvial roughness.” *Journal of Hydraulic Engineering* 110 (12): 1733–1754.

Rijn, L. C. van, 1993. *Principles of Sediment Transport in Rivers, Estuaries and Coastal Seas*. Aqua Publications, The Netherlands.

Rijn, L. C. van, 2001. *General view on sand transport by currents and waves : data analysis and engineering modelling for uniform and graded sand (TRANSPOR 2000 and CROSMOR 2000 models)*. Z2899.20 / Z2099.30 / Z2824.30. WL | Delft Hydraulics, Delft, The Netherlands.

Rijn, L. C. van, 2003. “Sediment transport by currents and waves; general approximation formulae Coastal Sediments.” In *Corpus Christi, USA*.

Rijn, L. C. van, J. A. Roelvink and W. T. Horst, 2000. *Approximation formulae for sand transport by currents and waves and implementation in DELFT-MOR*. Tech. Rep. Z3054.40, WL | Delft Hydraulics, Delft, The Netherlands.

Rijn, L. van, D. Walstra, B. Grasmeijer, J. Sutherland, S. Pan and J. Sierra, 2003. “The predictability of cross-shore bed evolution of sandy beaches at the time scale of storms and seasons using process-based profile models.” *Coastal Engineering* 47: 295–327.

Roelvink, J. A. and M. J. F. Stive, 1989. “Bar-generating cross-shore flow mechanisms on a beach.” *Journal of Geophysical Research* 94 (C4): 4785–4800.

Soulsby, R., 1997. *Dynamics of marine sands, a manual for practical applications*. Thomas Telford, London.

Soulsby, R. L., A. G. Davies, J. Fredsøe, D. A. Huntley, I. G. Jonnson, D. Myrhaug, R. R. Simons, A. Temperville and T. J. Zitman, 1993. “Bed shear stresses due to combined waves and currents.” In *Abstracts-in-depth of the Marine Science and Technology G8-M overall workshop, Grenoble.*, pages 2.1-1/2.1–4.

Stive, M. J. F., 1986. “A model for cross-shore sediment transport.” In *Proceedings 20th International Coastal Engineering Conference*, pages 1550–1564. American Society of Civil Engineers, New York.

Swart, 1974. *Offshore sediment transport and equilibrium beach profiles*. Ph.D. thesis, Delft University of Technology, Delft, The Netherlands. Delft Hydraulics Publ. 131.

Talmon, A. M., N. Struiksma and M. C. L. M. van Mierlo, 1995. “Laboratory measurements of the direction of sediment transport on transverse alluvial-bed slopes.” *Journal of Hydraulic Research* 33 (4): 495–517.

Walstra, D. J. R., J. A. Roelvink and J. Groeneweg, 2000. “Calculation of Wave-Driven Currents in a 3D Mean Flow Model.” In *Proceedings 27th International Conference on Coastal Engineering, Sydney, Australia, July 16-21, 2000*.

Wilcock, P. and J. Crowe, 2003. “Surface-based transport model for mixed-size sediment.” *Journal of Hydraulic Engineering* 129 (2): 120–128.



Rijkswaterstaat
Ministry of Infrastructure and Water Management

Deltares
Enabling Delta Life

PO Box 177
2600 MH Delft
Boussinesqweg 1
2629 HV Delft
The Netherlands

+31 (0)88 335 81 88